MINISTERO DELLA DIFESA

meteomont
Servizio Nazionale di previsione neve e valanghe

EAWS EUROPEAN AVALANCHE WARNING SERVICES

CARABINIERI

MAJELLA

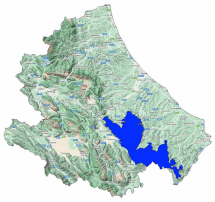

Avalanche Bulletin N. 380/2026 issued at 14:00 on 02/04/2026
48 hours validity. Next issue on 03/04/2026
By the METEOMONT Service of the ARMA dei CARABINIERI ITALY
In collaboration with Air Force Meteorological Service

Situation on 02/04/2026

DANGER PATTERNS: loose snow and wind.

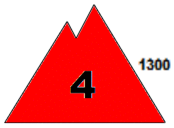



DANGER PATTERNS: rain on snow.

Snow line (m.a.s.l.)	North	South
	900 - 1000	1000 - 1100

Snow depth (cm)	ground snow	new snow	Elevation (m.a.s.l.)
	141	015	1164
	120	005	1250

REGISTERED AVALANCHES: -.

FORECAST 03/04/2026

Danger level: HIGH 4

DANGER PATTERNS: loose snow and wind.

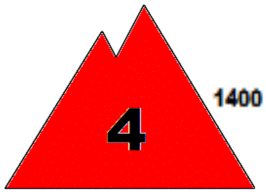

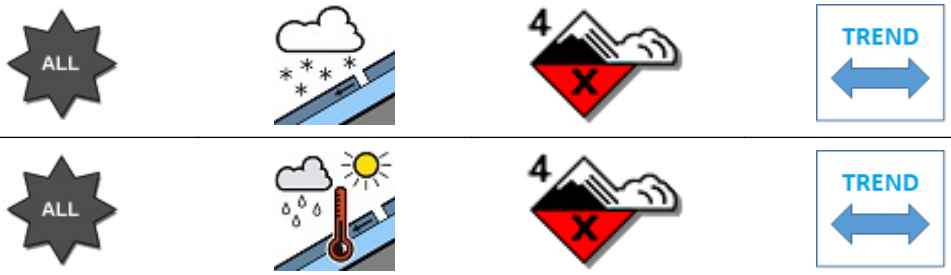

DANGER PATTERNS: rain on snow.

SNOWPACK: Snowpack stability is poor on many points (areas) above 1400 m.a.s.l. All aspects are critical. large avalanches are possible.
Snowpack stability is poor on many points (areas) below 1400 m.a.s.l. All aspects are critical. Large avalanches are possible.

WARNING

It is absolutely forbidden to practice outdoor activities beyond the maintained and marked tracks.

EUROPEAN AVALANCHE WARNING SERVICE

AVALANCHE PROBLEMS

According to EAWS standards Meteomont bulletin is a synoptic-scale system (regional scale). It shall be the user's responsibility to correlate the danger level evaluation of the bulletin with a detailed and expertise analysis of the zonal hazards (single slope), that could be markedly different. Meteorological forecast are issued at UTC (for Italy: in winter time UTC+1: in summer time UTC+2).

Bulletin is subjected to check processes through: the record of Observers and Avalanches and snow Experts data in C-Sifa; the validation by forecasters; the certification by Meteomont Section.

MINISTERO DELLA DIFESA

meteomont
Servizio Nazionale di previsione neve e valanghe

EAWS EUROPEAN AVALANCHE WARNING SERVICES

CARABINIERI

MAJELLA

WEATHER FORECAST FOR

Elevation		03/04/2026 h6:00	03/04/2026 h12:00	03/04/2026 h18:00
1000	Wind	04 Knots from North	04 Knots from N-East	03 Knots from North
	Temperatures	-02 °C	-01 °C	-02 °C
	Wind chill	-5 °C	-4 °C	-4 °C
2000	Wind	11 Knots from North	08 Knots from N-East	09 Knots from North
	Temperatures	-04 °C	-03 °C	-03 °C
	Wind chill	-10 °C	-8 °C	-8 °C
3000	Wind	17 Knots from N-East	12 Knots from N-East	07 Knots from North
	Temperatures	-08 °C	-07 °C	-05 °C
	Wind chill	-17 °C	-14 °C	-10 °C
Freezing level		1300-1500 m.	1400-1600 m.	1300-1500 m.
Atmospheric phenomenon				—
Keys to sky condition				

KEYS TO ATMOSPHERIC PHENOMENON

— Absence of adverse weather phenomena
Fog
Mist
Light rain
Moderate rain
Heavy rain
Thunderstorm
Weak snowfall
Moderate snowfall
Heavy snowfall

KEYS TO SKY CONDITION

Clear
Partly cloudy
Cloudy
Mostly cloudy
Overcast

Weather and snow data recorded during field and out of field obsevations on 02/04/2026.

Observation field	District	Elevation (m.a.s.l.)	Snow depth (cm)	Snowfall in previous 24 hours (cm)	Temp. Min (°C)	Temp. Max (°C)	General weather conditions
QUARTARANA	Campo di Giove (AQ)	1200	95	35	-2	+2	Moderate snow
VALICO FORCHETTA *	Palena (CH)	1250	120	5	0	+2	Continuous light snow
PIZZOFERRATO *	Pizzoferrato (CH)	1440	38	3	N.P.	N.P.	Continuous light snow
SCHIAPPARO *	Pretoro (CH)	1164	141	15	N.P.	N.P.	Heavy or moderate rain and snow or drizzle
GIARDINO BOTANICO *	Sant'Eufemia a Maiella (PE)	915	85	0	N.P.	N.P.	Moderate rain
MONTE ROTELLA *	Rocca Pia (AQ)	1695	139	10	N.P.	N.P.	Continuous light snow

(*) Out of field survey

INFORMATION MEANS PREVENTION - SCAN QRCODE TO KNOW DAILY AVALANCHE DANGER LEVEL!

IL CAPO DEL CENTRO NAZIONALE METEOMONT
(Ten. Col. RFI Emanuela Gini)
FIRMA AUTOGRAFA OMESSA AI SENSI
DELL'ART.3 DEL D.LGS N.39/1993

According to EAWS standards Meteomont bulletin is a synoptic-scale system (regional scale). It shall be the user's responsibility to correlate the danger level evaluation of the bulletin with a detailed and expertise analysis of the zonal hazards (single slope), that could be markedly different. Meteorological forecast are issued at UTC (for Italy: in winter time UTC+1: in summer time UTC+2).

Bulletin is subjected to check processes through: the record of Observers and Avalanches and snow Experts data in C-Sifa; the validation by forecasters; the certification by Meteomont Section.