# APPENNINO LUCANO

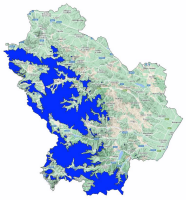

Avalanche Bulletin N. 290/2026 issued at 14:00 on 02/04/2026
48 hours validity. Next issue on 03/04/2026

**By the METEOMONT Service of the ARMA dei CARABINIERI ITALY**
**In collaboration with Air Force Meteorological Service**

## Situation on 02/04/2026

**DANGER PATTERNS: loose snow and wind.**

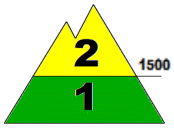





**DANGER PATTERNS: rain on snow.**

| Snow line (m.a.s.l.) | North | South |
|---|---|---|
| | 1300 - 1400 | 1500 - 1600 |

| Snow depth (cm) | ground snow | new snow | Elevation (m.a.s.l.) |
|---|---|---|---|
| | 056 | 039 | 1560 |
| | 006 | 000 | 1410 |

**REGISTERED AVALANCHES: -.**

## FORECAST 03/04/2026

# Danger level: MODERATE 2

## DANGER PATTERNS: loose snow and wind.

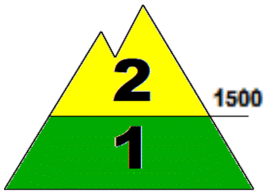





## DANGER PATTERNS: rain on snow.

**SNOWPACK: Snowpack stability is moderate on some points (areas) above 1500 m.a.s.l. All North-facing slopes are critical. medium avalanches are possible.**
**Snowpack stability is moderate on some points (areas) below 1500 m.a.s.l. All aspects are critical. Small avalanches are possible.**

## WARNING

Due to snow cover conditions ,outdoor activities beyond the maintained and marked tracks require a good evaluation of local danger points.

## EUROPEAN AVALANCHE WARNING SERVICE

## AVALANCHE PROBLEMS

According to EAWS standards Meteomont bulletin is a synoptic-scale system (regional scale). It shall be the user's responsibility to correlate the danger level evaluation of the bulletin with a detailed and expertise analysis of the zonal hazards (single slope), that could be markedly different. Meteorological forecast are issued at UTC (for Italy: in winter time UTC+1: in summer time UTC+2).

Bulletin is subjected to check processes through: the record of Observers and Avalanches and snow Experts data in C-Sifa; the validation by forecasters; the certification by Meteomont Section.

# APPENNINO LUCANO

## WEATHER FORECAST FOR

| Elevation | | 03/04/2026 h6:00 | 03/04/2026 h12:00 | 03/04/2026 h18:00 |
|---|---|---|---|---|
| 1000 | Wind | 12 Knots from North | 11 Knots from N-East | 11 Knots from N-East |
| | Temperatures | +05 °C | +07 °C | +07 °C |
| | Wind chill | 1 °C | 4 °C | 4 °C |
| 2000 | Wind | 16 Knots from N-East | 12 Knots from N-East | 15 Knots from N-East |
| | Temperatures | +02 °C | +03 °C | +03 °C |
| | Wind chill | -4 °C | -2 °C | -2 °C |
| 3000 | Wind | 08 Knots from N-East | 07 Knots from N-East | 09 Knots from North |
| | Temperatures | -05 °C | -04 °C | -03 °C |
| | Wind chill | -11 °C | -9 °C | -8 °C |
| Freezing level | | 2100-2300 m. | 2400-2600 m. | 2400-2600 m. |
| Atmospheric phenomenon | | — | — | — |
| Keys to sky condition | | | | |

## KEYS TO ATMOSPHERIC PHENOMENON

— Absence of adverse weather phenomena
Fog
Mist
Light rain
Moderate rain
Heavy rain
Thunderstorm
Weak snowfall
Moderate snowfall
Heavy snowfall

## KEYS TO SKY CONDITION

Clear
Partly cloudy
Cloudy
Mostly cloudy
Overcast

## Weather and snow data recorded during field and out of field obsevations on 02/04/2026.

| Observation field | District | Elevation (m.a.s.l.) | Snow depth (cm) | Snowfall in previous 24 hours (cm) | Temp. Min (°C) | Temp. Max (°C) | General weather conditions |
|---|---|---|---|---|---|---|---|
| BARESANO * | Lagonegro (PZ) | 1410 | 6 | 0 | N.P. | N.P. | Moderate rain |
| PIANO IMPERATORE | Marsicovetere (PZ) | 1560 | 56 | 39 | +1 | +4 | Continuous light snow |

(*) Out of field survey

**INFORMATION MEANS PREVENTION - SCAN QRCODE TO KNOW DAILY AVALANCHE DANGER LEVEL!**

**IL CAPO DEL CENTRO NAZIONALE METEOMONT**
**(Ten. Col. RFI Emanuela Gini)**
**FIRMA AUTOGRAFA OMESSA AI SENSI**
**DELL'ART.3 DEL D.LGS N.39/1993**

According to EAWS standards Meteomont bulletin is a synoptic-scale system (regional scale). It shall be the user's responsibility to correlate the danger level evaluation of the bulletin with a detailed and expertise analysis of the zonal hazards (single slope), that could be markedly different. Meteorological forecast are issued at UTC (for Italy: in winter time UTC+1: in summer time UTC+2).

Bulletin is subjected to check processes through: the record of Observers and Avalanches and snow Experts data in C-Sifa; the validation by forecasters; the certification by Meteomont Section.