MINISTERO DELLA DIFESA

meteomont
Servizio Nazionale di previsione neve e valanghe

EAWS EUROPEAN AVALANCHE WARNING SERVICES

CARABINIERI

# ALPI OROBICHE

Avalanche Bulletin N. 393/2026 issued at 14:00 on 03/04/2026
48 hours validity. Next issue on 04/04/2026

**By the METEOMONT Service of the ARMA dei CARABINIERI ITALY**
**In collaboration with Air Force Meteorological Service**

## Situation on 03/04/2026

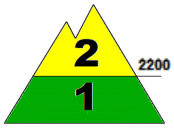


**DANGER PATTERNS: shallow snow next to deep snow.**




**DANGER PATTERNS: springtime situation.**

| Snow line (m.a.s.l.) | North | South |
|---|---|---|
| | 1600 - 1800 | 2100 - 2200 |

| Snow depth (cm) | ground snow | new snow | Elevation (m.a.s.l.) |
|---|---|---|---|
| | 150 | 0 | 2080 |
| | 45 | 0 | 1922 |

**REGISTERED AVALANCHES: No avalanches detected.**

## FORECAST 04/04/2026

# Danger level: MODERATE 2

## DANGER PATTERNS: shallow snow next to deep snow.

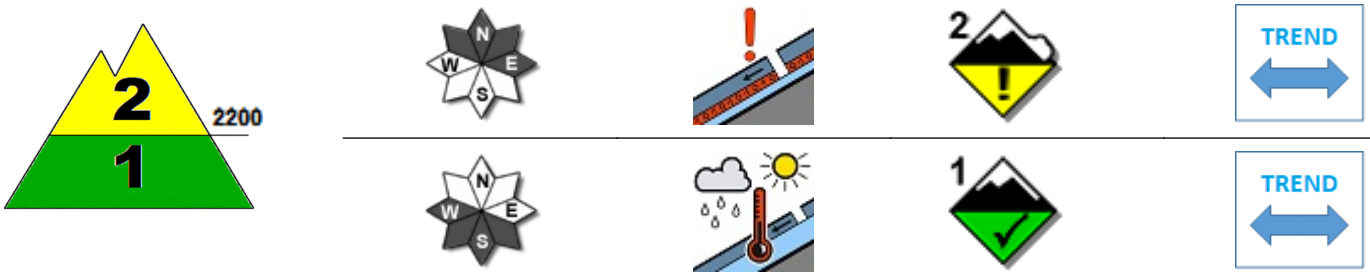


## DANGER PATTERNS: springtime situation.

**SNOWPACK: Snowpack stability is poor on some points (areas) above 2200 m.a.s.l. All Shaddy slopes are critical. medium avalanches are possible.**
**Snowpack stability is good on few points (areas) below 2200 m.a.s.l. All Sunny slopes are critical. Small avalanches are possible.**

## WARNING

Due to observed wind activity, avoid accumulation zones, bowls, gullies, irregular slopes and leeward slopes in general.

## EUROPEAN AVALANCHE WARNING SERVICE

## AVALANCHE PROBLEMS

According to EAWS standards Meteomont bulletin is a synoptic-scale system (regional scale). It shall be the user's responsibility to correlate the danger level evaluation of the bulletin with a detailed and expertise analysis of the zonal hazards (single slope), that could be markedly different. Meteorological forecast are issued at UTC (for Italy: in winter time UTC+1: in summer time UTC+2).

Bulletin is subjected to check processes through: the record of Observers and Avalanches and snow Experts data in C-Sifa; the validation by forecasters; the certification by Meteomont Section.

# ALPI OROBICHE

## WEATHER FORECAST FOR

| Elevation | | 04/04/2026 h6:00 | 04/04/2026 h12:00 | 04/04/2026 h18:00 |
|---|---|---|---|---|
| 1000 | Wind | 03 Knots from North | 02 Knots from North | 02 Knots from North |
| | Temperatures | +03 °C | +04 °C | +04 °C |
| | Wind chill | 2 °C | 4 °C | 4 °C |
| 2000 | Wind | 05 Knots from North | 03 Knots from North | 03 Knots from North |
| | Temperatures | +03 °C | +05 °C | +06 °C |
| | Wind chill | 0 °C | 4 °C | 5 °C |
| 3000 | Wind | 11 Knots from North | 06 Knots from North | 03 Knots from North |
| | Temperatures | -03 °C | -02 °C | -01 °C |
| | Wind chill | -9 °C | -6 °C | -3 °C |
| Freezing level | | 2400-2600 m. | 2600-2800 m. | 2800-3000 m. |
| Atmospheric phenomenon | | — | — | — |
| Keys to sky condition | | | | |

## KEYS TO ATMOSPHERIC PHENOMENON

— Absence of adverse weather phenomena
Fog
Mist
Light rain
Moderate rain
Heavy rain
Thunderstorm
Weak snowfall
Moderate snowfall
Heavy snowfall

## KEYS TO SKY CONDITION

Clear
Partly cloudy
Cloudy
Mostly cloudy
Overcast

## Weather and snow data recorded during field and out of field obsevations on 03/04/2026.

| Observation field | District | Elevation (m.a.s.l.) | Snow depth (cm) | Snowfall in previous 24 hours (cm) | Temp. Min (°C) | Temp. Max (°C) | General weather conditions |
|---|---|---|---|---|---|---|---|
| QUARTA BAITA | Foppolo (BG) | 1760 | 57 | 0 | -3 | -2 | Absence of rain or other precipitation |
| CIMA BIANCA | Colere (BG) | 2080 | 150 | 0 | -3 | +6 | Absence of rain or other precipitation |
| P.SSO CAMPELLI * | Schilpario (BG) | 1922 | 45 | 0 | N.P. | N.P. | Absence of rain or other precipitation |
| PASSO DELL'OMO * | Teglio (SO) | 2500 | 210 | 0 | N.P. | N.P. | Absence of rain or other precipitation |

(*) Out of field survey

**INFORMATION MEANS PREVENTION - SCAN QRCODE TO KNOW DAILY AVALANCHE DANGER LEVEL!**

IL CAPO DEL CENTRO NAZIONALE METEOMONT
(Ten. Col. RFI Emanuela Gini)
FIRMA AUTOGRAFA OMESSA AI SENSI
DELL'ART.3 DEL D.LGS N.39/1993

According to EAWS standards Meteomont bulletin is a synoptic-scale system (regional scale). It shall be the user's responsibility to correlate the danger level evaluation of the bulletin with a detailed and expertise analysis of the zonal hazards (single slope), that could be markedly different. Meteorological forecast are issued at UTC (for Italy: in winter time UTC+1: in summer time UTC+2).

Bulletin is subjected to check processes through: the record of Observers and Avalanches and snow Experts data in C-Sifa; the validation by forecasters; the certification by Meteomont Section.