MINISTERO DELLA DIFESA

meteomont
Servizio Nazionale di previsione neve e valanghe

EAWS EUROPEAN AVALANCHE WARNING SERVICES

CARABINIERI

# VELINO - SIRENTE

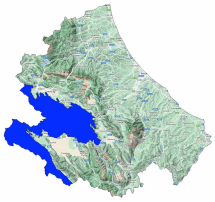

Avalanche Bulletin N. 367/2026 issued at 14:00 on 04/04/2026
48 hours validity. Next issue on 05/04/2026

**By the METEOMONT Service of the ARMA dei CARABINIERI ITALY**
**In collaboration with Air Force Meteorological Service**

## Situation on 04/04/2026

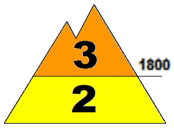


**DANGER PATTERNS: loose snow and wind.**




**DANGER PATTERNS: springtime situation.**

| Snow line (m.a.s.l.) | North | South |
|---|---|---|
| | 1300 - 1400 | 1400 - 1500 |

| Snow depth (cm) | ground snow | new snow | Elevation (m.a.s.l.) |
|---|---|---|---|
| | 080 | 000 | 1729 |
| | 007 | 000 | 1540 |

**REGISTERED AVALANCHES: No avalanches detected.**

## FORECAST 05/04/2026

# Danger level: CONSIDERABLE 3

## DANGER PATTERNS: springtime situation.



**SNOWPACK: Snowpack stability is poor on some points (areas) for All aspects, large avalanches are possible.**

## WARNING

Due to the snow cover conditions,outdoor activities beyond the maintained and marked tracks require an excellent evaluation of local danger points.

## EUROPEAN AVALANCHE WARNING SERVICE

## AVALANCHE PROBLEMS

According to EAWS standards Meteomont bulletin is a synoptic-scale system (regional scale). It shall be the user's responsibility to correlate the danger level evaluation of the bulletin with a detailed and expertise analysis of the zonal hazards (single slope), that could be markedly different. Meteorological forecast are issued at UTC (for Italy: in winter time UTC+1: in summer time UTC+2).

Bulletin is subjected to check processes through: the record of Observers and Avalanches and snow Experts data in C-Sifa; the validation by forecasters; the certification by Meteomont Section.

MINISTERO DELLA DIFESA

meteomont
Servizio Nazionale di previsione neve e valanghe

EAWS EUROPEAN AVALANCHE WARNING SERVICES

CARABINIERI

# VELINO - SIRENTE

## WEATHER FORECAST FOR

| Elevation | | 05/04/2026 h6:00 | 05/04/2026 h12:00 | 05/04/2026 h18:00 |
|---|---|---|---|---|
| 1000 | Wind | 03 Knots from N-East | 03 Knots from N-West | 03 Knots from North |
| | Temperatures | +04 °C | +08 °C | +06 °C |
| | Wind chill | 3 °C | 7 °C | 5 °C |
| 2000 | Wind | 04 Knots from N-East | 03 Knots from N-West | 04 Knots from North |
| | Temperatures | +04 °C | +07 °C | +06 °C |
| | Wind chill | 2 °C | 6 °C | 4 °C |
| 3000 | Wind | 10 Knots from North | 06 Knots from North | 07 Knots from N-East |
| | Temperatures | -02 °C | -02 °C | +01 °C |
| | Wind chill | -8 °C | -6 °C | -3 °C |
| Freezing level | | 2700-2900 m. | 2700-2900 m. | 3000-3200 m. |
| Atmospheric phenomenon | | — | — | — |
| Keys to sky condition | | | | |

## KEYS TO ATMOSPHERIC PHENOMENON

— Absence of adverse weather phenomena
Fog
Mist
Light rain
Moderate rain
Heavy rain
Thunderstorm
Weak snowfall
Moderate snowfall
Heavy snowfall

## KEYS TO SKY CONDITION

Clear
Partly cloudy
Cloudy
Mostly cloudy
Overcast

## Weather and snow data recorded during field and out of field obsevations on 04/04/2026.

| Observation field | District | Elevation (m.a.s.l.) | Snow depth (cm) | Snowfall in previous 24 hours (cm) | Temp. Min (°C) | Temp. Max (°C) | General weather conditions |
|---|---|---|---|---|---|---|---|
| PASSO LE FORCHE | Magliano de' Marsi (AQ) | 1276 | 0 | 0 | -1 | +12 | Absence of rain or other precipitation |
| SANT'ELIA * | Collelongo (AQ) | 1540 | 7 | 0 | N.P. | N.P. | Absence of rain or other precipitation |
| CAMPO FELICE - BRECCIARA | Rocca di Cambio (AQ) | 1729 | 80 | 0 | -2 | +7 | Absence of rain or other precipitation |
| MARSIA | Tagliacozzo (AQ) | 1450 | 0 | 0 | -4 | +4 | Absence of rain or other precipitation |
| LA CROCETTA | Lucoli (AQ) | 1573 | 12 | 0 | -2 | +7 | Absence of rain or other precipitation |

(*) Out of field survey

**INFORMATION MEANS PREVENTION - SCAN QRCODE TO KNOW DAILY AVALANCHE DANGER LEVEL!**

IL CAPO DEL CENTRO NAZIONALE METEOMONT
(Ten. Col. RFI Emanuela Gini)
FIRMA AUTOGRAFA OMESSA AI SENSI
DELL'ART.3 DEL D.LGS N.39/1993

According to EAWS standards Meteomont bulletin is a synoptic-scale system (regional scale). It shall be the user's responsibility to correlate the danger level evaluation of the bulletin with a detailed and expertise analysis of the zonal hazards (single slope), that could be markedly different. Meteorological forecast are issued at UTC (for Italy: in winter time UTC+1: in summer time UTC+2).

Bulletin is subjected to check processes through: the record of Observers and Avalanches and snow Experts data in C-Sifa; the validation by forecasters; the certification by Meteomont Section.