BUTLLETÍ DEL PERILL D'ALLAUS DEL PRINCIPAT D'ANDORRA

Servei meteorològic nacional
Principat d'Andorra

Prepared on 06/04/2026 07:34
Next update 06/04/2026 at 16 am

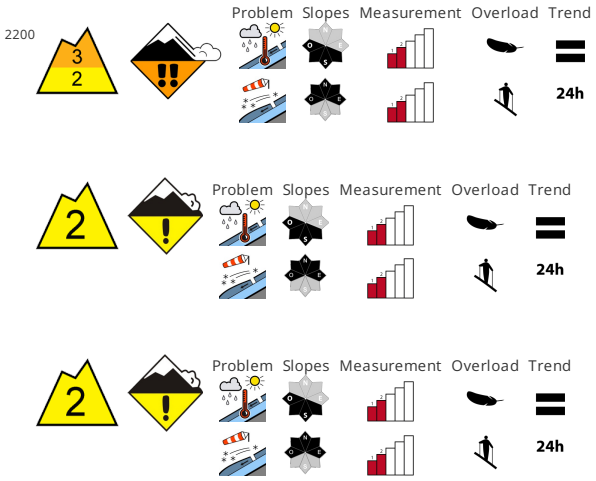

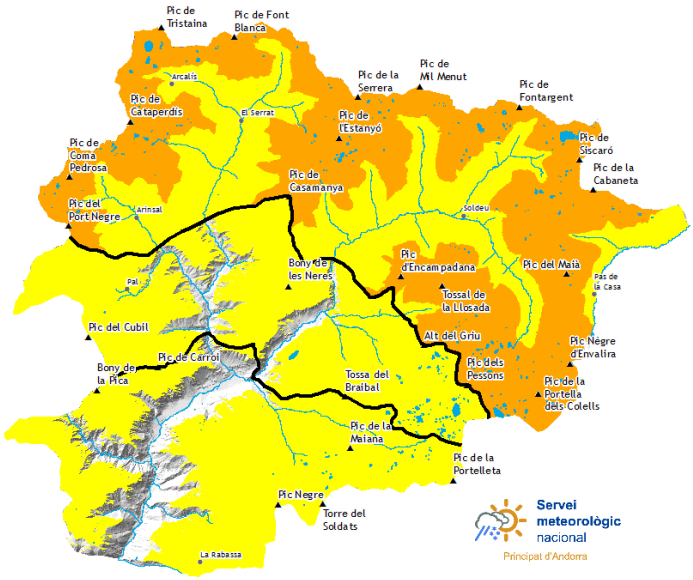

SNOW QUALITY

As a consequence of warming during the day and solar radiation dry and moist avalanches are possible as the day progresses, even medium-sized ones. Gliding avalanches can also occur. This applies especially on sunny slopes and below approximately 2200 m. On shady slopes more dry slab avalanches are possible. In many cases the avalanches are medium-sized and can be released by a single winter sport participant. Backcountry touring and other off-piste activities call for experience in the assessment of avalanche danger and caution.

STABILITY OF THE SNOW MANTLE

The fresh wind slabs are lying on soft layers. The snowpack remains subject to considerable local variations. Adjacent to ridgelines snow depths vary greatly, depending on the infuence of the wind. The weather will be sunny. As a consequence of rising temperatures solar radiation the snowpack will settle during the next few days.

OFF-PISTE SNOW COVER THICKNESSES

North zone		Snow thickness		
Snowpack		1500m	2000m	2500m
N	1300 m	20 cm	180 cm	250 cm
S	1300 m	10 cm	150 cm	200 cm

Center area		Snow thickness		
Snowpack		1500m	2000m	2500m
N	1300 m	10 cm	150 cm	200 cm
S	1500 m	5 cm	100 cm	150 cm

South zone		Snow thickness		
Snowpack		1500m	2000m	2500m
N	1300 m	10 cm	120 cm	160 cm
S	1500 m	5 cm	60 cm	120 cm

Govern d'Andorra

EAWS EUROPEAN AVALANCHE WARNING SERVICES

Aquest butlletí ha estat elaborat seguint les normes i recomanacions de l'**European Avalanche Warning Services**, del qual el **Servei meteorològic Nacional** n'és membre

Detailed information for protected areas

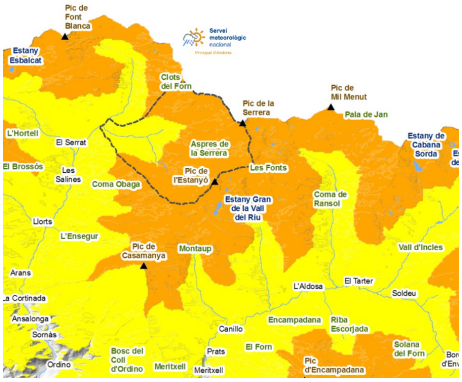

SORTENY

The successive snowfalls that mainly affected the north of Andorra left wintry conditions. With the increase in temperatures and solar radiation, we will find soft snow and spring conditions as the day progresses. On the opaque slopes we can still find windy snow, slightly harder.

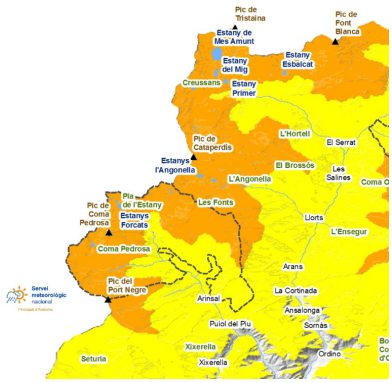

COMAPEDROSA

In the superficial part of the mantle we find wind plates, hidden under the recent mid-week snow and difficult to identify. Since much of the Park's terrain is complex or demanding, the conditions are delicate for excursions with skis and snowshoes.

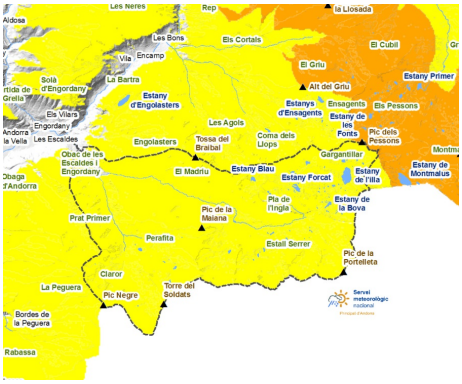

MADRIU-PERAFITA-CLAROR

Snow has returned to all elevations in the valley, but will retreat quickly from the lower elevations. At high altitudes the atmosphere is still wintry. We will have to drive very carefully, keeping a safe distance.

BUTLLETÍ DEL PERILL D'ALLAUS DEL PRINCIPAT D'ANDORRA

Servei meteorològic nacional
Principat d'Andorra

Thick snow in recent days (last 24 hours measured at 06:00 UTC)

	02/04/2026	03/04/2026	04/04/2026	05/04/2026
FEDA (Central)	0 cm	0 cm	0 cm	0 cm
Engolasters - FEDA	0 cm	0 cm	0 cm	0 cm
Bony de les Neres	0 cm	0 cm	0 cm	0 cm
Les Fonts d'Arinsal	0 cm	0 cm	0 cm	0 cm
Perafita	30 cm	0 cm	0 cm	0 cm
Tossa Espiolets	27 cm	0 cm	0 cm	0 cm
Grau Roig - FEDA	0 cm	0 cm	0 cm	0 cm
Fontverd	0 cm	0 cm	0 cm	0 cm
Coll Ordino	0 cm	0 cm	0 cm	0 cm
Ransol - FEDA	3 cm	0 cm	0 cm	0 cm
Setúria	4 cm	0 cm	0 cm	0 cm
Caborreu	1 cm	0 cm	0 cm	0 cm
La Solana	4 cm	0 cm	0 cm	0 cm
Coll Pa	7 cm	0 cm	0 cm	0 cm
Vall del Riu FEDA	13 cm	0 cm	0 cm	0 cm