MINISTERO DELLA DIFESA

meteomont
Servizio Nazionale di previsione neve e valanghe

EAWS EUROPEAN AVALANCHE WARNING SERVICES

CARABINIERI

MAJELLA

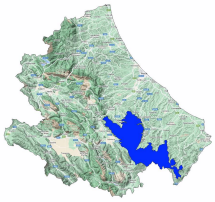

Avalanche Bulletin N. 384/2026 issued at 14:00 on 06/04/2026
48 hours validity. Next issue on 07/04/2026
By the METEOMONT Service of the ARMA dei CARABINIERI ITALY
In collaboration with Air Force Meteorological Service

Situation on 06/04/2026

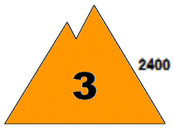

DANGER PATTERNS: loose snow and wind.

DANGER PATTERNS: springtime situation.

Snow line (m.a.s.l.)	North	South
	800 - 900	900 - 1000

Snow depth (cm)	ground snow	new snow	Elevation (m.a.s.l.)
	231	000	1650
	075	000	1270

REGISTERED AVALANCHES: Several medium avalanches, Both types of surface avalanches.

FORECAST 07/04/2026

Danger level: CONSIDERABLE 3

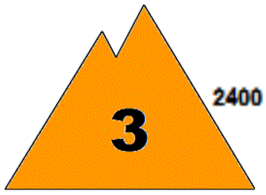

DANGER PATTERNS: loose snow and wind.



DANGER PATTERNS: springtime situation.

SNOWPACK: Snowpack stability is poor on some points (areas) above 2400 m.a.s.l. All are critical. large avalanches are possible.
Snowpack stability is poor on some points (areas) below 2400 m.a.s.l. All aspects are critical. Large avalanches are possible.

WARNING

Avoid practicing outdoor activities beyond the maintained and marked tracks around midday , in particular on steep, sunny and irregularly exposed slopes.

EUROPEAN AVALANCHE WARNING SERVICE

AVALANCHE PROBLEMS

According to EAWS standards Meteomont bulletin is a synoptic-scale system (regional scale). It shall be the user's responsibility to correlate the danger level evaluation of the bulletin with a detailed and expertise analysis of the zonal hazards (single slope), that could be markedly different. Meteorological forecast are issued at UTC (for Italy: in winter time UTC+1: in summer time UTC+2).

Bulletin is subjected to check processes through: the record of Observers and Avalanches and snow Experts data in C-Sifa; the validation by forecasters; the certification by Meteomont Section.

MINISTERO DELLA DIFESA

meteomont
Servizio Nazionale di previsione neve e valanghe

EAWS EUROPEAN AVALANCHE WARNING SERVICES

CARABINIERI

MAJELLA

WEATHER FORECAST FOR

Elevation		07/04/2026 h6:00	07/04/2026 h12:00	07/04/2026 h18:00
1000	Wind	02 Knots from S-West	02 Knots from West	02 Knots from S-West
	Temperatures	+08 °C	+09 °C	+08 °C
	Wind chill	8 °C	9 °C	8 °C
2000	Wind	02 Knots from N-West	04 Knots from West	04 Knots from West
	Temperatures	+07 °C	+08 °C	+08 °C
	Wind chill	7 °C	7 °C	7 °C
3000	Wind	05 Knots from N-West	10 Knots from N-West	08 Knots from N-West
	Temperatures	+01 °C	+00 °C	+01 °C
	Wind chill	-2 °C	-5 °C	-3 °C
Freezing level		3100-3300 m.	2900-3100 m.	3000-3200 m.
Atmospheric phenomenon		—	—	—
Keys to sky condition				

KEYS TO ATMOSPHERIC PHENOMENON

— Absence of adverse weather phenomena
Fog
Mist
Light rain
Moderate rain
Heavy rain
Thunderstorm
Weak snowfall
Moderate snowfall
Heavy snowfall

KEYS TO SKY CONDITION

Clear
Partly cloudy
Cloudy
Mostly cloudy
Overcast

Weather and snow data recorded during field and out of field obsevations on 06/04/2026.

Observation field	District	Elevation (m.a.s.l.)	Snow depth (cm)	Snowfall in previous 24 hours (cm)	Temp. Min (°C)	Temp. Max (°C)	General weather conditions
QUARTARANA	Campo di Giove (AQ)	1200	38	0	+2	+8	Absence of rain or other precipitation
PASSOLANCIANO	Lettomanoppello (PE)	1300	199	0	0	+4	Absence of rain or other precipitation
VALICO DELLA FORCHETTA	Palena (CH)	1270	75	0	-1	+11	Absence of rain or other precipitation
VALLE DEL SOLE	Pizzoferrato (CH)	1440	76	0	+3	+12	Absence of rain or other precipitation
MAIELETTA MAMMA ROSA	Pretoro (CH)	1650	231	0	0	+11	Absence of rain or other precipitation
ROCCACARAMANICO *	Sant'Eufemia a Maiella (PE)	1107	77	0	N.P.	N.P.	Absence of rain or other precipitation

(*) Out of field survey

INFORMATION MEANS PREVENTION - SCAN QRCODE TO KNOW DAILY AVALANCHE DANGER LEVEL!

IL CAPO DEL CENTRO NAZIONALE METEOMONT
(Ten. Col. RFI Emanuela Gini)
FIRMA AUTOGRAFA OMESSA AI SENSI
DELL'ART.3 DEL D.LGS N.39/1993

According to EAWS standards Meteomont bulletin is a synoptic-scale system (regional scale). It shall be the user's responsibility to correlate the danger level evaluation of the bulletin with a detailed and expertise analysis of the zonal hazards (single slope), that could be markedly different. Meteorological forecast are issued at UTC (for Italy: in winter time UTC+1: in summer time UTC+2).

Bulletin is subjected to check processes through: the record of Observers and Avalanches and snow Experts data in C-Sifa; the validation by forecasters; the certification by Meteomont Section.