MINISTERO DELLA DIFESA

meteomont Servizio Nazionale di previsione neve e valanghe

EAWS EUROPEAN AVALANCHE WARNING SERVICES

CARABINIERI

# ALPI LIGURI SUD

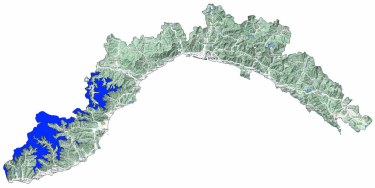

Avalanche Bulletin N. 349/2026 issued at 14:00 on 07/04/2026
48 hours validity. Next issue on 08/04/2026

**By the METEOMONT Service of the ARMA dei CARABINIERI ITALY**
**In collaboration with Air Force Meteorological Service**

## Situation on 07/04/2026

**DANGER PATTERNS: springtime situation.**

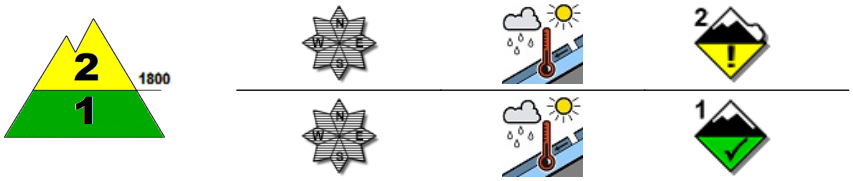


**DANGER PATTERNS: springtime situation.**

| Snow line (m.a.s.l.) | North | South |
|---|---|---|
| | 1400 - 1800 | 1900 |

| Snow depth (cm) | ground snow | new snow | Elevation (m.a.s.l.) |
|---|---|---|---|
| | 120 - 160 | 00 | 1800 |
| | 55 | 00 | 1400 |

**REGISTERED AVALANCHES: Some medium avalanches, Surface loose snow avalanches.**

## FORECAST 08/04/2026

## Danger level: MODERATE 2

## DANGER PATTERNS: springtime situation.




## DANGER PATTERNS: springtime situation.

**SNOWPACK: Snowpack stability is moderate on few points (areas) above 1800 m.a.s.l. All Isolated slopes are critical. medium avalanches are possible.**
**Snowpack stability is moderate on very few points (areas) below 1800 m.a.s.l. All Isolated slopes are critical. Small avalanches are possible.**

## WARNING

Due to daytime rising temperatures,careful evaluation of the timing of outdoor activities, in order to avoid crossing steep slopes during the warmest hours of the day , is required.

## EUROPEAN AVALANCHE WARNING SERVICE

## AVALANCHE PROBLEMS

According to EAWS standards Meteomont bulletin is a synoptic-scale system (regional scale). It shall be the user's responsibility to correlate the danger level evaluation of the bulletin with a detailed and expertise analysis of the zonal hazards (single slope), that could be markedly different. Meteorological forecast are issued at UTC (for Italy: in winter time UTC+1: in summer time UTC+2).

Bulletin is subjected to check processes through: the record of Observers and Avalanches and snow Experts data in C-Sifa; the validation by forecasters; the certification by Meteomont Section.

# ALPI LIGURI SUD

## WEATHER FORECAST FOR

| Elevation | | 08/04/2026 h6:00 | 08/04/2026 h12:00 | 08/04/2026 h18:00 |
|---|---|---|---|---|
| 1000 | Wind | 02 Knots from North | 00 Calm | 01 Knots from North |
| | Temperatures | +12 °C | +11 °C | +12 °C |
| | Wind chill | 12 °C | 11 °C | 12 °C |
| 2000 | Wind | 01 Knots from North | 01 Knots from South | 01 Knots from North |
| | Temperatures | +09 °C | +09 °C | +11 °C |
| | Wind chill | 9 °C | 9 °C | 11 °C |
| 3000 | Wind | 02 Knots from N-East | 01 Knots from N-West | 02 Knots from North |
| | Temperatures | +03 °C | +03 °C | +04 °C |
| | Wind chill | 3 °C | 3 °C | 4 °C |
| Freezing level | | 3200-3400 m. | 3300-3500 m. | 3400-3600 m. |
| Atmospheric phenomenon | | — | — | — |
| Keys to sky condition | | | | |

## KEYS TO ATMOSPHERIC PHENOMENON

— Absence of adverse weather phenomena
Fog
Mist
Light rain
Moderate rain
Heavy rain
Thunderstorm
Weak snowfall
Moderate snowfall
Heavy snowfall

## KEYS TO SKY CONDITION

Clear
Partly cloudy
Cloudy
Mostly cloudy
Overcast

## Weather and snow data recorded during field and out of field obsevations on 07/04/2026.

| Observation field | District | Elevation (m.a.s.l.) | Snow depth (cm) | Snowfall in previous 24 hours (cm) | Temp. Min (°C) | Temp. Max (°C) | General weather conditions |
|---|---|---|---|---|---|---|---|
| MONESI DI TRIORA * | Triora (IM) | 1425 | 55 | 0 | N.P. | N.P. | Absence of rain or other precipitation |
| MELOSA | Pigna (IM) | 1540 | 0 | 0 | N.P. | N.P. | Absence of rain or other precipitation |
| MARGHERIA VIOLETTO * | Triora (IM) | 1830 | 165 | 0 | N.P. | N.P. | Absence of rain or other precipitation |

(*) Out of field survey

**INFORMATION MEANS PREVENTION - SCAN QRCODE TO KNOW DAILY AVALANCHE DANGER LEVEL!**

IL CAPO DEL CENTRO NAZIONALE METEOMONT
(Ten. Col. RFI Emanuela Gini)
FIRMA AUTOGRAFA OMESSA AI SENSI
DELL'ART.3 DEL D.LGS N.39/1993

According to EAWS standards Meteomont bulletin is a synoptic-scale system (regional scale). It shall be the user's responsibility to correlate the danger level evaluation of the bulletin with a detailed and expertise analysis of the zonal hazards (single slope), that could be markedly different. Meteorological forecast are issued at UTC (for Italy: in winter time UTC+1: in summer time UTC+2).

Bulletin is subjected to check processes through: the record of Observers and Avalanches and snow Experts data in C-Sifa; the validation by forecasters; the certification by Meteomont Section.