Thursday 09.04.2026

Published 08 04 2026, 17:00

AM

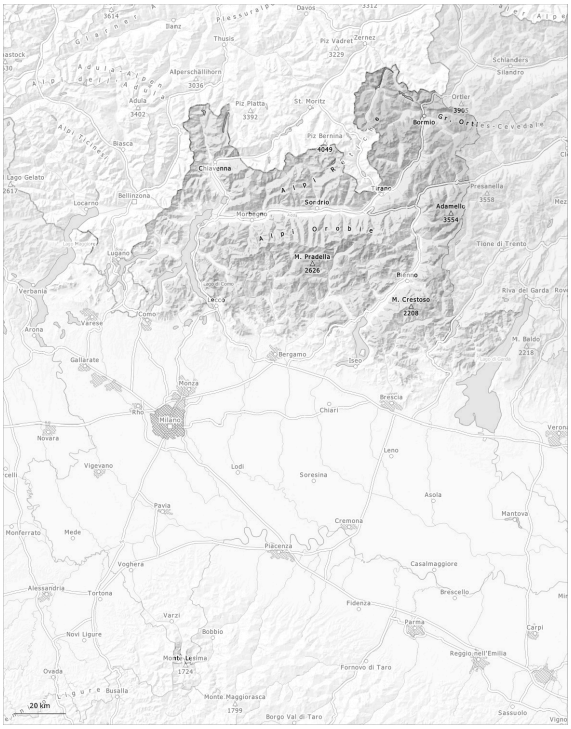
Davos
Thusis
Piz Vadret
3229
Zernez
Alpe
Schlanders
Silandro
Alpe Bella
Alpe Adona
Alpe Gleno
Alpe Cavallo
Alpe Cavallo
Alpe Cavallo

Danger Level 2 - Moderate

AM:

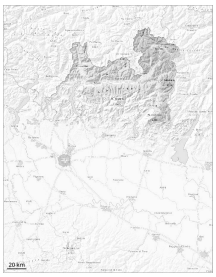

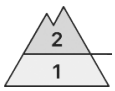

2500m

Tendency: Constant avalanche danger
on Friday 10 04 2026

Wet snow

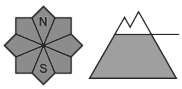

2500m

Persistent
weak layer

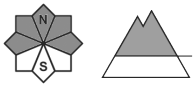

Treeline

PM:

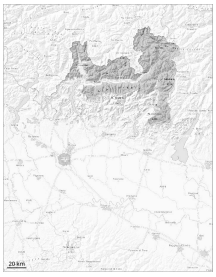

Tendency: Constant avalanche danger
on Friday 10 04 2026

Wet snow

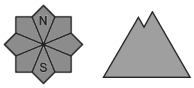

Persistent
weak layer

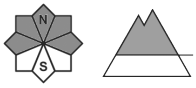

Treeline

Gradual increase in danger of moist and wet avalanches as a consequence of warming during the day and solar radiation.

As a consequence of warming during the day and solar radiation small and medium-sized moist and wet avalanches are possible in all altitude zones. More recent wind slabs are clearly recognisable. The wind slabs can be released, especially by large additional loads, in particular on steep shady slopes. The avalanche prone locations are to be found in particular at the base of rock walls, and adjacent to ridgelines and in gullies and bowls.
Weak layers exist in the old snowpack on northwest, north and northeast facing slopes. Avalanches can be triggered in the old snowpack reach large size in isolated cases in particular on northwest, north and northeast facing slopes.

Snowpack

Danger patterns dp.6: cold, loose snow and wind | dp.1: deep persistent weak layer

These spring-like weather conditions from the late morning will give rise to moistening of the snowpack in all aspects. The various wind slabs have bonded with each other and the old snowpack.
Individual weak layers exist in the old snowpack especially on shady slopes. Avalanches can in some places

> be released in deep layers in particular on northwest, north and northeast facing slopes.

Danger Level 2 - Moderate

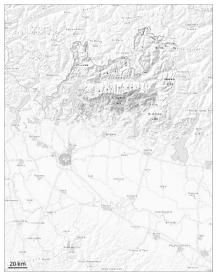

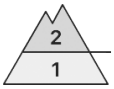

Treeline

Tendency: Constant avalanche danger
on Friday 10 04 2026

Wet snow

Treeline

Wet loose snow avalanches in all aspects.

The surface of the snowpack has frozen to form a strong crust and will soften during the day. As a consequence of warming during the day and solar radiation moist and wet avalanches are possible as the day progresses, but they will be mostly small. The more recent wind slabs are easy to recognise and can be released by large loads at their margins in particular.
Avalanches can penetrate down to the ground and reach medium size in some cases.

Snowpack

Danger patterns dp.10: springtime scenario | dp.6: cold, loose snow and wind

The small quantity of fresh snow and in particular the wind slabs formed by the strong wind are lying on the unfavourable surface of an old snowpack.
The high temperatures from the late morning will give rise to increasing softening of the snowpack in some cases in particular on sunny slopes.

Danger Level 1 - Low

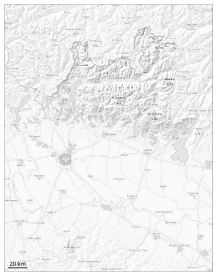

Tendency: Constant avalanche danger
on Friday 10 04 2026

Wet snow

Treeline

Wind slabs and wet snow represent the main danger.

In the vicinity of peaks a generally favourable avalanche situation will be encountered in some localities. As the day progresses as a consequence of warming during the day there will be an increase in the danger of wet avalanches. Above approximately 1500 m small small avalanches are possible.

Snowpack

Danger patterns dp.10: springtime scenario

As a consequence of warming, the likelihood of wet snow slides and avalanches being released will increase in all aspects in all altitude zones.