MINISTERO DELLA DIFESA

meteomont
Servizio Nazionale di previsione neve e valanghe

EAWS EUROPEAN AVALANCHE WARNING SERVICES

CARABINIERI

# GRAN SASSO OVEST

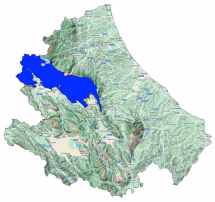

Avalanche Bulletin N. 387/2026 issued at 14:00 on 07/04/2026
48 hours validity. Next issue on 08/04/2026

**By the METEOMONT Service of the ARMA dei CARABINIERI ITALY**
**In collaboration with Air Force Meteorological Service**

## Situation on 07/04/2026

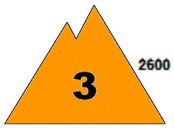


**DANGER PATTERNS: shallow snow next to deep snow.**




**DANGER PATTERNS: springtime situation.**

| Snow line (m.a.s.l.) | North | South |
|---|---|---|
| | 1100 - 1200 | 1200 - 1400 |

| Snow depth (cm) | ground snow | new snow | Elevation (m.a.s.l.) |
|---|---|---|---|
| | 205 | 000 | 2135 |
| | 012 | 000 | 1400 |

**REGISTERED AVALANCHES: Some medium avalanches, Full-depth slab avalanches.**

## FORECAST 08/04/2026

# Danger level: CONSIDERABLE 3

## DANGER PATTERNS: shallow snow next to deep snow.

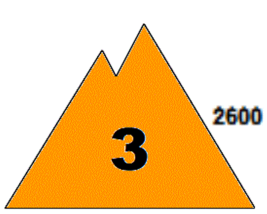





## DANGER PATTERNS: springtime situation.

**SNOWPACK: Snowpack stability is poor on many points (areas) above 2600 m.a.s.l. All Isolated slopes are critical. medium avalanches are possible.**
**Snowpack stability is poor on many points (areas) below 2600 m.a.s.l. All aspects are critical. Medium avalanches are possible.**

## WARNING

Avoid practicing outdoor activities beyond the maintained and marked tracks around midday, in particular on steep, sunny ,exposed slopes.

## EUROPEAN AVALANCHE WARNING SERVICE

## AVALANCHE PROBLEMS

According to EAWS standards Meteomont bulletin is a synoptic-scale system (regional scale). It shall be the user's responsibility to correlate the danger level evaluation of the bulletin with a detailed and expertise analysis of the zonal hazards (single slope), that could be markedly different. Meteorological forecast are issued at UTC (for Italy: in winter time UTC+1: in summer time UTC+2).

Bulletin is subjected to check processes through: the record of Observers and Avalanches and snow Experts data in C-Sifa; the validation by forecasters; the certification by Meteomont Section.

MINISTERO DELLA DIFESA

meteomont
Servizio Nazionale di previsione neve e valanghe

EAWS EUROPEAN AVALANCHE WARNING SERVICES

CARABINIERI

# GRAN SASSO OVEST

## WEATHER FORECAST FOR

| Elevation | | 08/04/2026 h6:00 | 08/04/2026 h12:00 | 08/04/2026 h18:00 |
|---|---|---|---|---|
| 1000 | Wind | 04 Knots from North | 01 Knots from S-West | 02 Knots from North |
| | Temperatures | +04 °C | +10 °C | +08 °C |
| | Wind chill | 2 °C | 10 °C | 8 °C |
| 2000 | Wind | 08 Knots from N-West | 04 Knots from West | 07 Knots from N-West |
| | Temperatures | +07 °C | +06 °C | +07 °C |
| | Wind chill | 4 °C | 4 °C | 5 °C |
| 3000 | Wind | 11 Knots from N-West | 08 Knots from N-West | 09 Knots from N-West |
| | Temperatures | +00 °C | +01 °C | +01 °C |
| | Wind chill | -5 °C | -3 °C | -3 °C |
| Freezing level | | 2900-3100 m. | 3000-3200 m. | 3100-3300 m. |
| Atmospheric phenomenon | | — | — | — |
| Keys to sky condition | | | | |

## KEYS TO ATMOSPHERIC PHENOMENON

— Absence of adverse weather phenomena
Fog
Mist
Light rain
Moderate rain
Heavy rain
Thunderstorm
Weak snowfall
Moderate snowfall
Heavy snowfall

## KEYS TO SKY CONDITION

Clear
Partly cloudy
Cloudy
Mostly cloudy
Overcast

## Weather and snow data recorded during field and out of field obsevations on 07/04/2026.

| Observation field | District | Elevation (m.a.s.l.) | Snow depth (cm) | Snowfall in previous 24 hours (cm) | Temp. Min (°C) | Temp. Max (°C) | General weather conditions |
|---|---|---|---|---|---|---|---|
| S. DONATO | Castel del Monte (AQ) | 1400 | 12 | 0 | +1 | +16 | Absence of rain or other precipitation |
| CAMPO IMPERATORE | L'Aquila (AQ) | 2135 | 205 | 0 | +1 | +8 | Absence of rain or other precipitation |

(*) Out of field survey

**INFORMATION MEANS PREVENTION - SCAN QRCODE TO KNOW DAILY AVALANCHE DANGER LEVEL!**

IL CAPO DEL CENTRO NAZIONALE METEOMONT
(Ten. Col. RFI Emanuela Gini)
FIRMA AUTOGRAFA OMESSA AI SENSI
DELL'ART.3 DEL D.LGS N.39/1993

According to EAWS standards Meteomont bulletin is a synoptic-scale system (regional scale). It shall be the user's responsibility to correlate the danger level evaluation of the bulletin with a detailed and expertise analysis of the zonal hazards (single slope), that could be markedly different. Meteorological forecast are issued at UTC (for Italy: in winter time UTC+1: in summer time UTC+2).

Bulletin is subjected to check processes through: the record of Observers and Avalanches and snow Experts data in C-Sifa; the validation by forecasters; the certification by Meteomont Section.