BUTLLETÍ DEL PERILL D'ALLAUS DEL PRINCIPAT D'ANDORRA

Servei meteorològic nacional
Principat d'Andorra

Prepared on 09/04/2026 16:00
Next update 10/04/2026 at 16 am

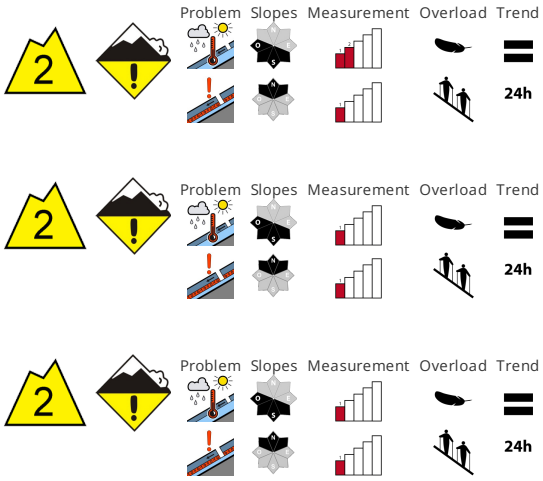

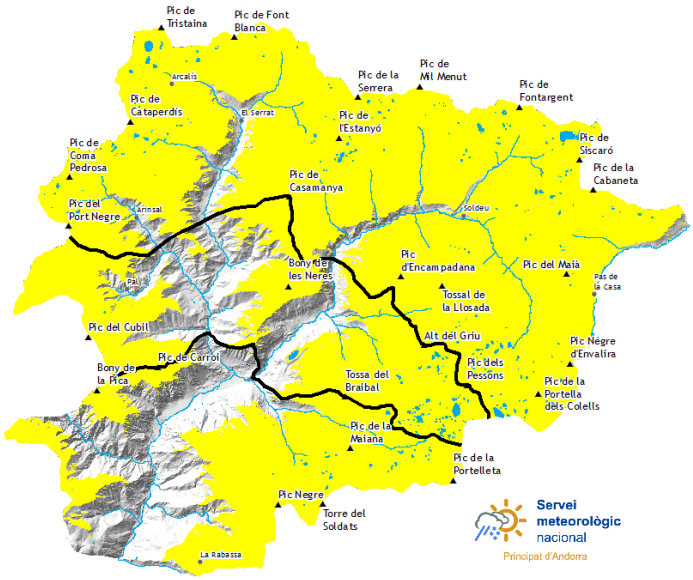

SNOW QUALITY

A clear night will be followed in the early morning by generally favourable avalanche conditions. As a consequence of warming during the day and the solar radiation, the likelihood of moist avalanches being released will increase gradually on sunny slopes. Individual gliding avalanches can also occur. Faceted weak layers exist in the top section of the snowpack on very steep shady slopes. Dry avalanches can be released in near-surface layers, mostly by large additional loads. In isolated cases the avalanches in these regions are medium-sized.

STABILITY OF THE SNOW MANTLE

The weather will be sunny. The surface of the snowpack will freeze to form a strong crust and will soften during the day. The snowpack remains subject to considerable local variations. Adjacent to ridgelines snow depths vary greatly, depending on the infuence of the wind. Even in moderately steep terrain there is a danger of falling on the hard snow surface. Backcountry tours should be started and concluded early. The backcountry touring conditions are spring-like.

OFF-PISTE SNOW COVER THICKNESSES

North zone		Snow thickness		
Snowpack		1500m	2000m	2500m
N	1600 m	0 cm	150 cm	250 cm
S	1800 m	0 cm	100 cm	180 cm

Center area		Snow thickness		
Snowpack		1500m	2000m	2500m
N	1600 m	0 cm	120 cm	160 cm
S	1800 m	0 cm	60 cm	120 cm

South zone		Snow thickness		
Snowpack		1500m	2000m	2500m
N	1600 m	0 cm	120 cm	160 cm
S	1800 m	0 cm	60 cm	120 cm

Govern d'Andorra

EAWS EUROPEAN AVALANCHE WARNING SERVICES

Aquest butlletí ha estat elaborat seguint les normes i recomanacions de l'**European Avalanche Warning Services**, del qual el **Servei meteorològic Nacional** n'és membre

Detailed information for protected areas

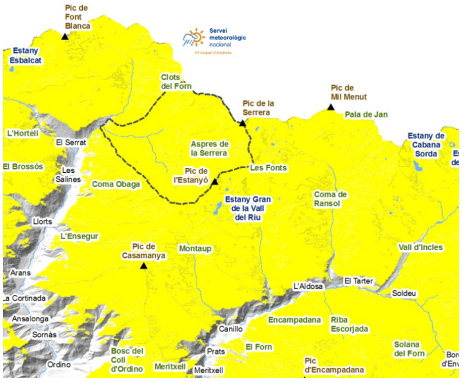

SORTENY

On the southern slopes, the streaks of water percolation have been exposed again, which gives us signs of stability. In the morning, however, the hard snow must make us take extreme precautions not to slip. On the northern slopes, we will identify accumulations of blown snow by their color. It will always be safer, in terms of avalanche stability, to drive through hard snow.

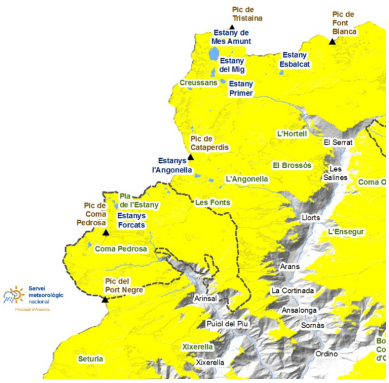

COMAPEDROSA

You can still make numerous excursions with mountain skis, but the lower parts of Arinsal have no snow. Either we will have to approach it by skiing or we will have to access it via Soulcem or l'Angonella. We will have to access it early in the morning, as we must have enough time to return when the snow has not yet transformed excessively.

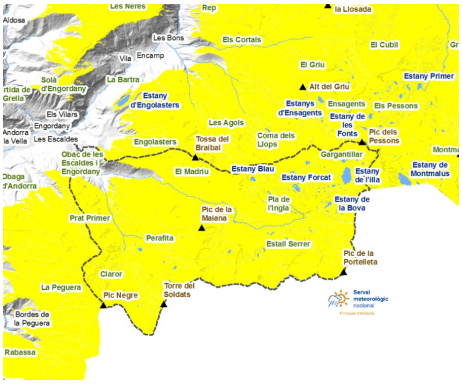

MADRIU-PERAFITA-CLAROR

The conditions are spring-like, but on the steeper and more opaque northern slopes you may still find some dry snow that we will have to avoid.

BUTLLETÍ DEL PERILL D'ALLAUS DEL PRINCIPAT D'ANDORRA

Servei meteorològic nacional
Principat d'Andorra

Thick snow in recent days (last 24 hours measured at 06:00 UTC)

	05/04/2026	06/04/2026	07/04/2026	08/04/2026
FEDA (Central)	0 cm	0 cm	0 cm	0 cm
Engolasters - FEDA	0 cm	0 cm	0 cm	0 cm
Bony de les Neres	0 cm	0 cm	0 cm	0 cm
Sorteny	0 cm	0 cm	0 cm	0 cm
Les Fonts d'Arinsal	0 cm	0 cm	0 cm	0 cm
Aixàs	0 cm	0 cm	0 cm	0 cm
Perafita	0 cm	0 cm	0 cm	0 cm
Tossa Espiolets	0 cm	0 cm	0 cm	0 cm
Grau Roig - FEDA	0 cm	0 cm	0 cm	0 cm
Fontverd	0 cm	0 cm	0 cm	0 cm
Coll Ordino	0 cm	0 cm	0 cm	0 cm
Ransol - FEDA	0 cm	0 cm	0 cm	0 cm
Setúria	0 cm	0 cm	0 cm	0 cm
Caborreu	0 cm	0 cm	0 cm	0 cm
La Solana	0 cm	0 cm	0 cm	0 cm
Coll Pa	0 cm	0 cm	0 cm	0 cm
Envalira Antenes	0 cm	0 cm	0 cm	0 cm
Vall del Riu FEDA	0 cm	0 cm	0 cm	0 cm