MINISTERO DELLA DIFESA

meteomont Servizio Nazionale di previsione neve e valanghe

EAWS EUROPEAN AVALANCHE WARNING SERVICES

CARABINIERI

In collaborazione con: arpav

# DOLOMITI SETTENTRIONALI

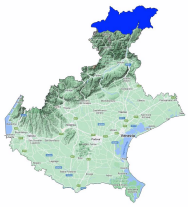

Avalanche Bulletin N. 399/2026 issued at 14:00 on 09/04/2026
48 hours validity. Next issue on 10/04/2026

**By the METEOMONT Service of the ARMA dei CARABINIERI ITALY**
**In collaboration with Air Force Meteorological Service**

## Situation on 09/04/2026

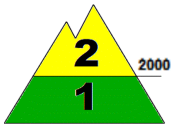


**DANGER PATTERNS: shallow snow next to deep snow.**




**DANGER PATTERNS: springtime situation.**

| Snow line (m.a.s.l.) | North | South |
|---|---|---|
| | 1200 - 1600 | 1600 - 2000 |

| Snow depth (cm) | ground snow | new snow | Elevation (m.a.s.l.) |
|---|---|---|---|
| | 95 | 000 | 2100 |
| | 44 | 000 | 1759 |

**REGISTERED AVALANCHES: No avalanches detected.**

## FORECAST 10/04/2026

## Danger level: MODERATE 2

### DANGER PATTERNS: shallow snow next to deep snow.

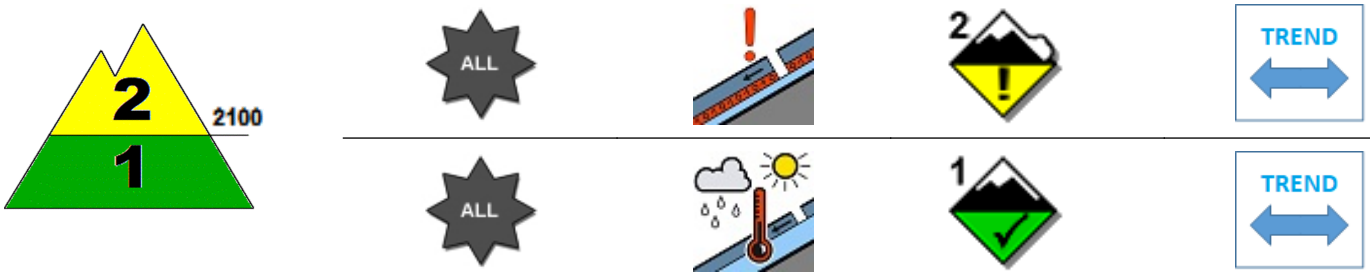


### DANGER PATTERNS: springtime situation.

**SNOWPACK: Snowpack stability is poor on few points (areas) above 2100 m.a.s.l. All aspects are critical. medium avalanches are possible.**
**Snowpack stability is moderate on few points (areas) below 2100 m.a.s.l. All aspects are critical. Medium avalanches are possible.**

## WARNING

Due to daytime rising temperatures,careful evaluation of the timing of outdoor activities, in order to avoid crossing steep slopes during the warmest hours of the day , is required.

## EUROPEAN AVALANCHE WARNING SERVICE

5 - VERY HIGH | 4 - HIGH | 3 - CONSIDERABLE | 2 - MODERATE | 1 - LOW | NO SNOW | NO INFO

## AVALANCHE PROBLEMS

NEW SNOW | WIND - DRIFTED SNOW | PERSISTENT WEAK LAYERS | WET SNOW | GLIDING SNOW | SNOW CORNICES | NO EVIDENT AVALANCHE PROBLEM. | NO INFO

According to EAWS standards Meteomont bulletin is a synoptic-scale system (regional scale). It shall be the user's responsibility to correlate the danger level evaluation of the bulletin with a detailed and expertise analysis of the zonal hazards (single slope), that could be markedly different. Meteorological forecast are issued at UTC (for Italy: in winter time UTC+1: in summer time UTC+2).

Bulletin is subjected to check processes through: the record of Observers and Avalanches and snow Experts data in C-Sifa; the validation by forecasters; the certification by Meteomont Section.

# DOLOMITI SETTENTRIONALI

## WEATHER FORECAST FOR

| Elevation | | 10/04/2026 h6:00 | 10/04/2026 h12:00 | 10/04/2026 h18:00 |
|---|---|---|---|---|
| 1000 | Wind | 02 Knots from N-West | 01 Knots from N-West | 01 Knots from North |
| | Temperatures | +03 °C | +04 °C | +03 °C |
| | Wind chill | 3 °C | 4 °C | 3 °C |
| 2000 | Wind | 04 Knots from N-West | 02 Knots from West | 03 Knots from N-West |
| | Temperatures | +04 °C | +05 °C | +05 °C |
| | Wind chill | 2 °C | 5 °C | 4 °C |
| 3000 | Wind | 16 Knots from N-West | 11 Knots from N-West | 11 Knots from N-West |
| | Temperatures | -03 °C | -03 °C | -03 °C |
| | Wind chill | -10 °C | -9 °C | -9 °C |
| Freezing level | | 2400-2600 m. | 2600-2800 m. | 2500-2700 m. |
| Atmospheric phenomenon | | — | — | — |
| Keys to sky condition | | | | |

## KEYS TO ATMOSPHERIC PHENOMENON

— Absence of adverse weather phenomena
Fog
Mist
Light rain
Moderate rain
Heavy rain
Thunderstorm
Weak snowfall
Moderate snowfall
Heavy snowfall

## KEYS TO SKY CONDITION

Clear
Partly cloudy
Cloudy
Mostly cloudy
Overcast

## Weather and snow data recorded during field and out of field obsevations on 09/04/2026.

| Observation field | District | Elevation (m.a.s.l.) | Snow depth (cm) | Snowfall in previous 24 hours (cm) | Temp. Min (°C) | Temp. Max (°C) | General weather conditions |
|---|---|---|---|---|---|---|---|
| MISURINA | Auronzo di Cadore (BL) | 1759 | 21 | 0 | -2 | +22 | Absence of rain or other precipitation |
| MONTE FALORIA | Cortina d'Ampezzo (BL) | 2119 | 61 | 0 | +2 | +19 | Absence of rain or other precipitation |
| PIZ LAVARELLA * | Marebbe (BZ) | 2968 | 75 | 0 | N.P. | N.P. | Absence of rain or other precipitation |

(*) Out of field survey

**INFORMATION MEANS PREVENTION - SCAN QRCODE TO KNOW DAILY AVALANCHE DANGER LEVEL!**

IL CAPO DEL CENTRO NAZIONALE METEOMONT
(Ten. Col. RFI Emanuela Gini)
FIRMA AUTOGRAFA OMESSA AI SENSI
DELL'ART.3 DEL D.LGS N.39/1993

According to EAWS standards Meteomont bulletin is a synoptic-scale system (regional scale). It shall be the user's responsibility to correlate the danger level evaluation of the bulletin with a detailed and expertise analysis of the zonal hazards (single slope), that could be markedly different. Meteorological forecast are issued at UTC (for Italy: in winter time UTC+1: in summer time UTC+2).

Bulletin is subjected to check processes through: the record of Observers and Avalanches and snow Experts data in C-Sifa; the validation by forecasters; the certification by Meteomont Section.