MINISTERO DELLA DIFESA

meteomont Servizio Nazionale di previsione neve e valanghe

EAWS EUROPEAN AVALANCHE WARNING SERVICES

CARABINIERI

# APPENNINO EMILIANO CENTRALE

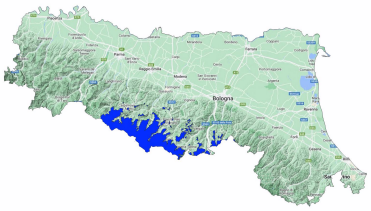

Avalanche Bulletin N. 372/2026 issued at 14:00 on 09/04/2026
48 hours validity. Next issue on 10/04/2026

**By the METEOMONT Service of the ARMA dei CARABINIERI ITALY**
**In collaboration with Air Force Meteorological Service**

## Situation on 09/04/2026

**DANGER PATTERNS: springtime situation.**

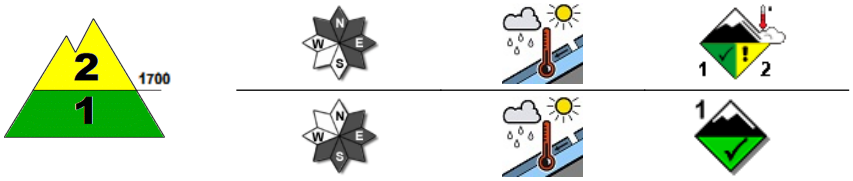


**DANGER PATTERNS: springtime situation.**

| Snow line (m.a.s.l.) | North | South |
|---|---|---|
| | 1500 - 1600 | 1700 |

| Snow depth (cm) | ground snow | new snow | Elevation (m.a.s.l.) |
|---|---|---|---|
| | 120 | 000 | 1850 |
| | 22 | 000 | 1550 |

**REGISTERED AVALANCHES: No avalanches detected.**

## FORECAST 10/04/2026

## Danger level: MODERATE 2

## DANGER PATTERNS: springtime situation.




## DANGER PATTERNS: springtime situation.

**SNOWPACK: Snowpack stability is poor on some points (areas) above 1700 m.a.s.l. All are critical. medium avalanches are possible.**
**Snowpack stability is moderate on few points (areas) below 1700 m.a.s.l. All are critical. Medium avalanches are possible.**

## WARNING

Due to daytime rising temperatures,careful evaluation of the timing of outdoor activities, in order to avoid crossing steep slopes during the warmest hours of the day , is required.

## EUROPEAN AVALANCHE WARNING SERVICE

## AVALANCHE PROBLEMS

According to EAWS standards Meteomont bulletin is a synoptic-scale system (regional scale). It shall be the user's responsibility to correlate the danger level evaluation of the bulletin with a detailed and expertise analysis of the zonal hazards (single slope), that could be markedly different. Meteorological forecast are issued at UTC (for Italy: in winter time UTC+1: in summer time UTC+2).

Bulletin is subjected to check processes through: the record of Observers and Avalanches and snow Experts data in C-Sifa; the validation by forecasters; the certification by Meteomont Section.

# APPENNINO EMILIANO CENTRALE

## WEATHER FORECAST FOR

| Elevation | | 10/04/2026 h6:00 | 10/04/2026 h12:00 | 10/04/2026 h18:00 |
|---|---|---|---|---|
| 1000 | Wind | 02 Knots from West | 01 Knots from N-West | 01 Knots from S-East |
| | Temperatures | +09 °C | +14 °C | +14 °C |
| | Wind chill | 9 °C | 14 °C | 14 °C |
| 2000 | Wind | 04 Knots from N-West | 06 Knots from N-West | 02 Knots from West |
| | Temperatures | +08 °C | +08 °C | +09 °C |
| | Wind chill | 7 °C | 6 °C | 9 °C |
| 3000 | Wind | 11 Knots from N-West | 10 Knots from N-West | 07 Knots from N-West |
| | Temperatures | +01 °C | +01 °C | +01 °C |
| | Wind chill | -4 °C | -4 °C | -3 °C |
| Freezing level | | 3000-3200 m. | 3100-3300 m. | 3100-3300 m. |
| Atmospheric phenomenon | | — | — | — |
| Keys to sky condition | | | | |

## KEYS TO ATMOSPHERIC PHENOMENON

— Absence of adverse weather phenomena
Fog
Mist
Light rain
Moderate rain
Heavy rain
Thunderstorm
Weak snowfall
Moderate snowfall
Heavy snowfall

## KEYS TO SKY CONDITION

Clear
Partly cloudy
Cloudy
Mostly cloudy
Overcast

## Weather and snow data recorded during field and out of field obsevations on 09/04/2026.

| Observation field | District | Elevation (m.a.s.l.) | Snow depth (cm) | Snowfall in previous 24 hours (cm) | Temp. Min (°C) | Temp. Max (°C) | General weather conditions |
|---|---|---|---|---|---|---|---|
| LAGO DELLA NINFA | Sestola (MO) | 1550 | 22 | 0 | +7 | +16 | Absence of rain or other precipitation |
| CUPINO * | Fanano (MO) | 1817 | 153 | 0 | N.P. | N.P. | Absence of rain or other precipitation |

(*) Out of field survey

**INFORMATION MEANS PREVENTION - SCAN QRCODE TO KNOW DAILY AVALANCHE DANGER LEVEL!**

**IL CAPO DEL CENTRO NAZIONALE METEOMONT**
**(Ten. Col. RFI Emanuela Gini)**
**FIRMA AUTOGRAFA OMESSA AI SENSI**
**DELL'ART.3 DEL D.LGS N.39/1993**

According to EAWS standards Meteomont bulletin is a synoptic-scale system (regional scale). It shall be the user's responsibility to correlate the danger level evaluation of the bulletin with a detailed and expertise analysis of the zonal hazards (single slope), that could be markedly different. Meteorological forecast are issued at UTC (for Italy: in winter time UTC+1: in summer time UTC+2).

Bulletin is subjected to check processes through: the record of Observers and Avalanches and snow Experts data in C-Sifa; the validation by forecasters; the certification by Meteomont Section.