BUTLLETÍ DEL PERILL D'ALLAUS DEL PRINCIPAT D'ANDORRA

Servei meteorològic nacional
Principat d'Andorra

Prepared on 12/04/2026 16:00
Next update 13/04/2026 at 16 am

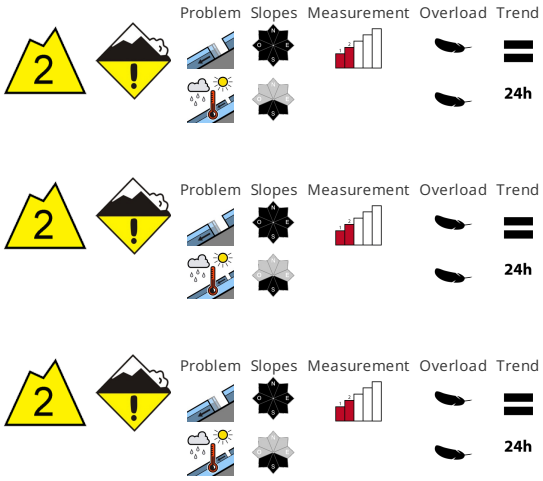

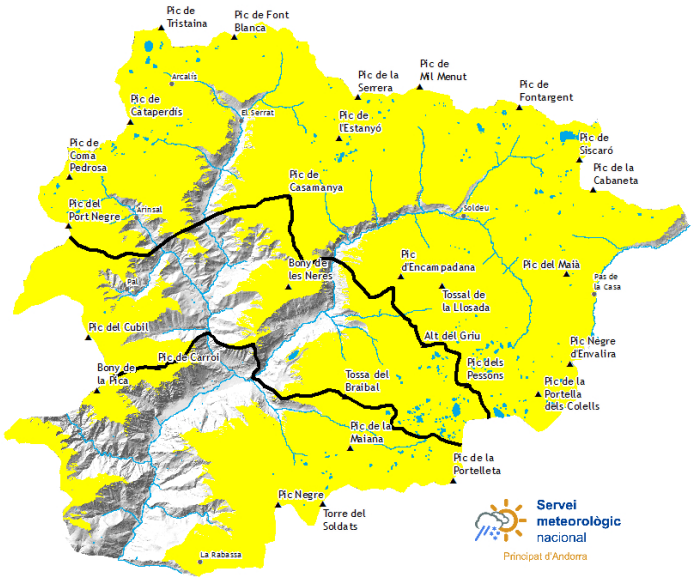

SNOW QUALITY

Some fresh snow and the mostly small wind slabs can be released easily or naturally in particular on steep sunny slopes. As a consequence of warming during the day and solar radiation small and, in isolated cases, medium-sized moist snow slides and avalanches are to be expected. Individual gliding avalanches can also occur.

STABILITY OF THE SNOW MANTLE

The covering of new snow is largely stable and has a loosely bonded surface. The solar radiation will give rise as the day progresses to increasing moistening of the snowpack on sunny slopes. Areas with glide cracks are to be avoided.

OFF-PISTE SNOW COVER THICKNESSES

North zone		Snow thickness		
Snowpack		1500m	2000m	2500m
N	1600 m	0 cm	150 cm	250 cm
S	1800 m	0 cm	100 cm	180 cm

Center area		Snow thickness		
Snowpack		1500m	2000m	2500m
N	1600 m	0 cm	120 cm	160 cm
S	1800 m	0 cm	60 cm	120 cm

South zone		Snow thickness		
Snowpack		1500m	2000m	2500m
N	1600 m	0 cm	120 cm	160 cm
S	1800 m	0 cm	60 cm	120 cm

Detailed information for protected areas

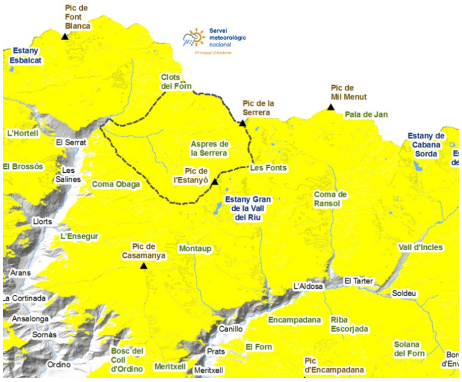

SORTENY

After the snowfall on Sunday evening, with snow at all elevations of the Natural Park and its accesses such as Ransol, we hope that the sun will moisten the snow and clear the sunny slopes. Even so, there will still be residual cloudiness and light snow on the summits bordering France, such as the Serra.

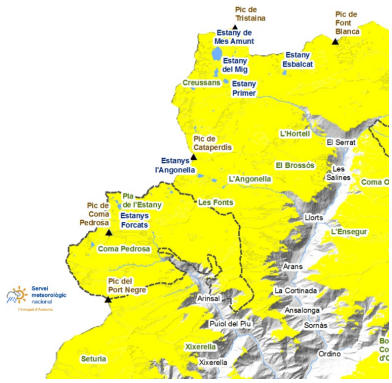

COMAPEDROSA

Residual cloudiness in the northern end of the Natural Park, but the clearings will gain prominence in the south, especially in the afternoon. The new snow will be moistened, especially at low elevations and on the southern slopes and compacted. Purge of wet snow will descend on the steeper slopes.

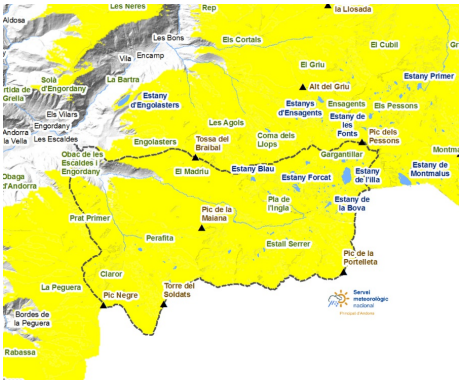

MADRIU-PERAFITA-CLAROR

In the early morning, visibility will still not be good, but the clearings will gain prominence from south to north. The sun will stabilize the mantle with its compaction, but during the day we expect purges on the southern slopes.

BUTLLETÍ DEL PERILL D'ALLAUS DEL PRINCIPAT D'ANDORRA

Servei meteorològic nacional
Principat d'Andorra

Thick snow in recent days (last 24 hours measured at 06:00 UTC)

	08/04/2026	09/04/2026	10/04/2026	11/04/2026
FEDA (Central)	0 cm	0 cm	0 cm	0 cm
Engolasters - FEDA	0 cm	0 cm	0 cm	0 cm
Bony de les Neres	0 cm	0 cm	0 cm	0 cm
Sorteny	0 cm	0 cm	0 cm	0 cm
Les Fonts d'Arinsal	0 cm	0 cm	0 cm	0 cm
Aixàs	0 cm	0 cm	0 cm	0 cm
Perafita	0 cm	0 cm	0 cm	0 cm
Tossa Espiolets	0 cm	0 cm	0 cm	0 cm
Grau Roig - FEDA	0 cm	0 cm	0 cm	0 cm
Fontverd	0 cm	0 cm	0 cm	0 cm
Coll Ordino	0 cm	0 cm	0 cm	0 cm
Ransol - FEDA	0 cm	0 cm	0 cm	0 cm
Setúria	0 cm	0 cm	0 cm	0 cm
Caborreu	0 cm	0 cm	0 cm	0 cm
La Solana	0 cm	0 cm	0 cm	0 cm
Coll Pa	0 cm	0 cm	0 cm	0 cm
Envalira Antenes	0 cm	0 cm	0 cm	0 cm
Vall del Riu FEDA	0 cm	0 cm	0 cm	0 cm