MINISTERO DELLA DIFESA

meteomont Servizio Nazionale di previsione neve e valanghe

EAWS EUROPEAN AVALANCHE WARNING SERVICES

CARABINIERI

In collaborazione con: MARCHE

APPENNINO UMBRO-MARCHIG. MERID. - MONTI SIBILLINI

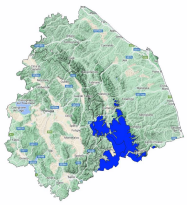

Avalanche Bulletin N. 356/2026 issued at 14:00 on 12/04/2026
48 hours validity. Next issue on 13/04/2026

By the METEOMONT Service of the ARMA dei CARABINIERI ITALY
In collaboration with Air Force Meteorological Service

Situation on 12/04/2026

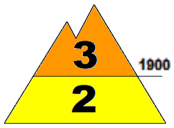

DANGER PATTERNS: springtime situation.



DANGER PATTERNS: springtime situation.

Snow line (m.a.s.l.)	North	South
	1400 - 1500	1700 - 1800

Snow depth (cm)	ground snow	new snow	Elevation (m.a.s.l.)
	70-200	000	2100
	30-90	00	1800

REGISTERED AVALANCHES: Several very large avalanches, Both types of surface avalanches.

FORECAST 13/04/2026

Danger level: CONSIDERABLE 3

DANGER PATTERNS: rain on snow.



DANGER PATTERNS: rain on snow.

SNOWPACK: Snowpack stability is poor on some points (areas) above 1900 m.a.s.l. All aspects are critical. large avalanches are possible.
Snowpack stability is moderate on some points (areas) below 1900 m.a.s.l. All Isolated slopes are critical. Medium avalanches are possible.

WARNING

Due to daytime rising temperatures,careful evaluation of the timing of outdoor activities, in order to avoid crossing steep slopes during the warmest hours of the day , is required.

EUROPEAN AVALANCHE WARNING SERVICE

AVALANCHE PROBLEMS

According to EAWS standards Meteomont bulletin is a synoptic-scale system (regional scale). It shall be the user's responsibility to correlate the danger level evaluation of the bulletin with a detailed and expertise analysis of the zonal hazards (single slope), that could be markedly different. Meteorological forecast are issued at UTC (for Italy: in winter time UTC+1: in summer time UTC+2).

Bulletin is subjected to check processes through: the record of Observers and Avalanches and snow Experts data in C-Sifa; the validation by forecasters; the certification by Meteomont Section.

MINISTERO DELLA DIFESA

meteomont
Servizio Nazionale di previsione neve e valanghe

EAWS EUROPEAN AVALANCHE WARNING SERVICES

CARABINIERI

In collaborazione con: MARCHE

APPENNINO UMBRO-MARCHIG. MERID. - MONTI SIBILLINI

WEATHER FORECAST FOR

Elevation		13/04/2026 h6:00	13/04/2026 h12:00	13/04/2026 h18:00
1000	Wind	04 Knots from S-East	02 Knots from S-East	03 Knots from South
	Temperatures	+09 °C	+10 °C	+10 °C
	Wind chill	8 °C	10 °C	10 °C
2000	Wind	13 Knots from S-East	04 Knots from South	08 Knots from South
	Temperatures	+07 °C	+05 °C	+06 °C
	Wind chill	3 °C	3 °C	3 °C
3000	Wind	19 Knots from South	13 Knots from South	14 Knots from South
	Temperatures	+01 °C	-01 °C	+00 °C
	Wind chill	-6 °C	-7 °C	-6 °C
Freezing level		3000-3200 m.	2700-2900 m.	2800-3000 m.
Atmospheric phenomenon		—		—
Keys to sky condition				

KEYS TO ATMOSPHERIC PHENOMENON

— Absence of adverse weather phenomena
Fog
Mist
Light rain
Moderate rain
Heavy rain
Thunderstorm
Weak snowfall
Moderate snowfall
Heavy snowfall

KEYS TO SKY CONDITION

Clear
Partly cloudy
Cloudy
Mostly cloudy
Overcast

Weather and snow data recorded during field and out of field obsevations on 12/04/2026.

Observation field	District	Elevation (m.a.s.l.)	Snow depth (cm)	Snowfall in previous 24 hours (cm)	Temp. Min (°C)	Temp. Max (°C)	General weather conditions
FORCA DI GUALDO	Castelsantangelo sul Nera (MC)	1496	5	0	+6	+16	Absence of rain or other precipitation
LA VALLETTA	Bolognola (MC)	1352	0	0	+6	+12	Absence of rain or other precipitation
COLLE	Montegallo (AP)	1036	0	0	+5	+18	Absence of rain or other precipitation
PARCO GUARNIERI	Montemonaco (AP)	980	0	0	+11	+19	Absence of rain or other precipitation
FRONTIGNANO *	Ussita (MC)	1505	10	0	N.P.	N.P.	Absence of rain or other precipitation

(*) Out of field survey

INFORMATION MEANS PREVENTION - SCAN QRCODE TO KNOW DAILY AVALANCHE DANGER LEVEL!

IL CAPO DEL CENTRO NAZIONALE METEOMONT
(Ten. Col. RFI Emanuela Gini)
FIRMA AUTOGRAFA OMESSA AI SENSI
DELL'ART.3 DEL D.LGS N.39/1993

According to EAWS standards Meteomont bulletin is a synoptic-scale system (regional scale). It shall be the user's responsibility to correlate the danger level evaluation of the bulletin with a detailed and expertise analysis of the zonal hazards (single slope), that could be markedly different. Meteorological forecast are issued at UTC (for Italy: in winter time UTC+1: in summer time UTC+2).

Bulletin is subjected to check processes through: the record of Observers and Avalanches and snow Experts data in C-Sifa; the validation by forecasters; the certification by Meteomont Section.