BUTLLETÍ DEL PERILL D'ALLAUS DEL PRINCIPAT D'ANDORRA

Prepared on 13/04/2026 16:00
Next update 14/04/2026 at 16 am

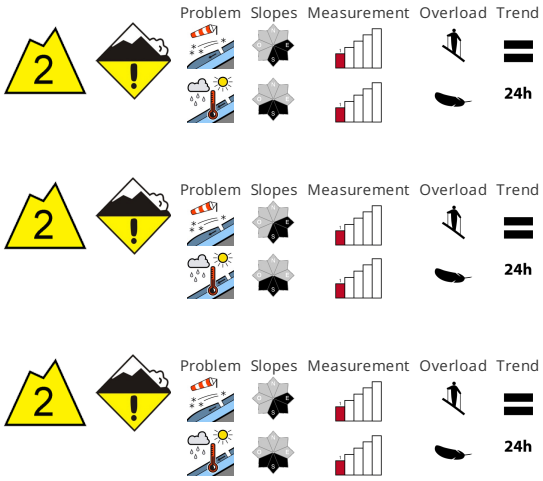

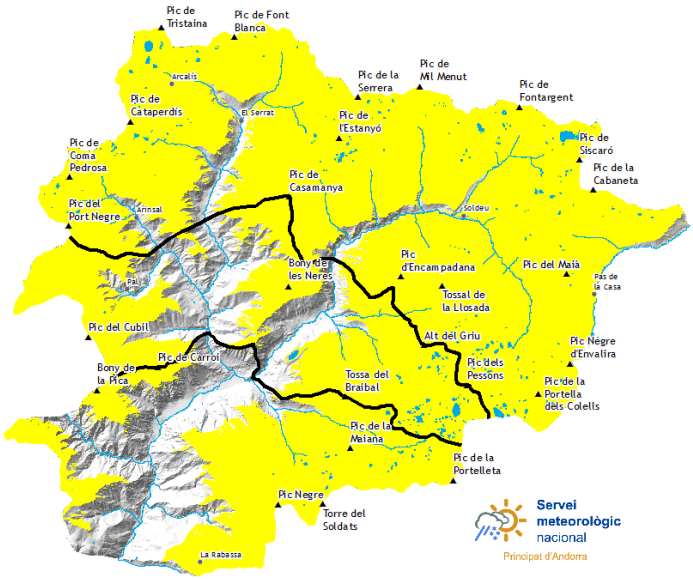

SNOW QUALITY

Some fresh snow and the sometimes large wind slabs can be released easily or naturally on steep east, southeast and south facing slopes. As a consequence of warming during the day and solar radiation small and, in isolated cases, medium-sized moist snow slides and avalanches are to be expected. Individual gliding avalanches can also occur. The avalanche prone locations are easy to recognise.

STABILITY OF THE SNOW MANTLE

The covering of new snow is largely stable and has a loosely bonded surface. Snow depths vary greatly, depending on the infuence of the wind. The solar radiation will give rise as the day progresses to increasing moistening of the snowpack on sunny slopes. Areas with glide cracks are to be avoided.

OFF-PISTE SNOW COVER THICKNESSES

North zone		Snow thickness		
Snowpack		1500m	2000m	2500m
N	1600 m	0 cm	150 cm	250 cm
S	1800 m	0 cm	100 cm	180 cm

Center area		Snow thickness		
Snowpack		1500m	2000m	2500m
N	1600 m	0 cm	120 cm	160 cm
S	1800 m	0 cm	60 cm	120 cm

South zone		Snow thickness		
Snowpack		1500m	2000m	2500m
N	1600 m	0 cm	120 cm	160 cm
S	1800 m	0 cm	60 cm	120 cm

Detailed information for protected areas

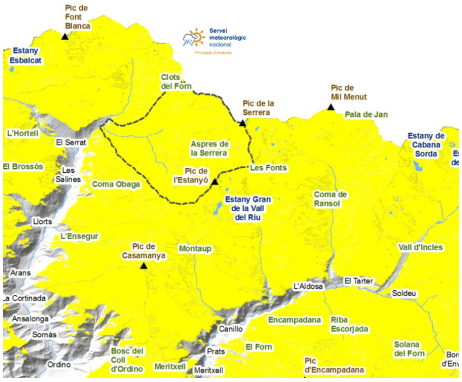

SORTENY

After the snowfall on Sunday evening, with snow at all elevations of the Natural Park and its accesses such as Ransol, we hope that the sun will moisten the snow and clear the sunny slopes. Even so, there will still be residual cloudiness on the summits bordering France, such as the Serra. At low altitudes the wind has exposed the old snow stained by the mud from Sunday morning's rain and it has frozen.

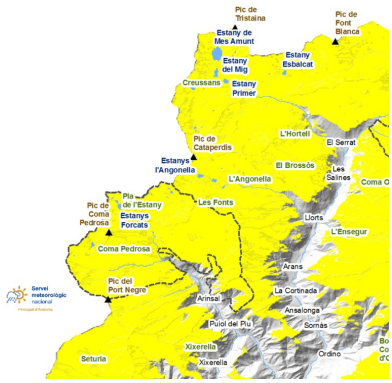

COMAPEDROSA

Residual cloudiness in the northern end of the Natural Park, but the clearings will gain prominence. The new snow will be moistened, especially at low elevations and on the southern slopes and compacted. Purge of wet snow will descend on the steeper slopes. In the early hours, with the snow still hard at low altitudes, it will be more difficult and technical to cycle at medium altitudes than at high altitudes, where there is more fresh snow.

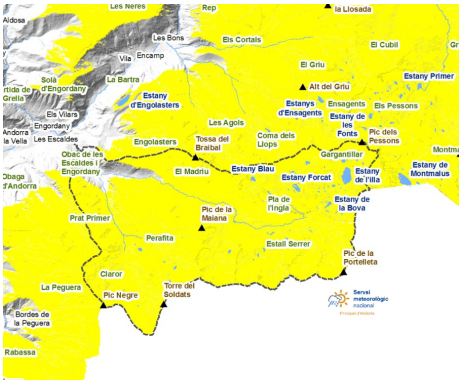

MADRIU-PERAFITA-CLAROR

The sun will stabilize the mantle with its compaction, but during the day we expect purges on the southern slopes. It will be safer to ride on the hard brown snow to avoid the wind plates.

BUTLLETÍ DEL PERILL D'ALLAUS DEL PRINCIPAT D'ANDORRA

Servei meteorològic nacional
Principat d'Andorra

Thick snow in recent days (last 24 hours measured at 06:00 UTC)

	09/04/2026	10/04/2026	11/04/2026	12/04/2026
FEDA (Central)	0 cm	0 cm	0 cm	0 cm
Engolasters - FEDA	0 cm	0 cm	0 cm	0 cm
Bony de les Neres	0 cm	0 cm	0 cm	4 cm
Sorteny	0 cm	0 cm	0 cm	0 cm
Les Fonts d'Arinsal	0 cm	0 cm	0 cm	11 cm
Aixàs	0 cm	0 cm	0 cm	0 cm
Perafita	0 cm	0 cm	0 cm	10 cm
Tossa Espiolets	0 cm	0 cm	0 cm	8 cm
Grau Roig - FEDA	0 cm	0 cm	0 cm	3 cm
Fontverd	0 cm	0 cm	0 cm	4 cm
Ransol - FEDA	0 cm	0 cm	0 cm	0 cm
Setúria	0 cm	0 cm	0 cm	5 cm
Caborreu	0 cm	0 cm	0 cm	0 cm
La Solana	0 cm	0 cm	0 cm	10 cm
Coll Pa	0 cm	0 cm	0 cm	17 cm
Envalira Antenes	0 cm	0 cm	0 cm	0 cm
Vall del Riu FEDA	0 cm	0 cm	0 cm	0 cm