MINISTERO DELLA DIFESA

meteomont
Servizio Nazionale di previsione neve e valanghe

EAWS EUROPEAN AVALANCHE WARNING SERVICES

CARABINIERI

# GRAN SASSO EST - LAGA EST

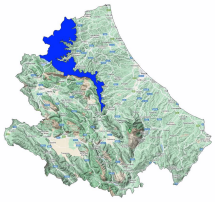

Avalanche Bulletin N. 391/2026 issued at 14:00 on 12/04/2026
48 hours validity. Next issue on 13/04/2026

**By the METEOMONT Service of the ARMA dei CARABINIERI ITALY**
**In collaboration with Air Force Meteorological Service**

## Situation on 12/04/2026

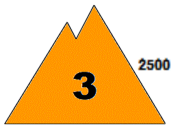


**DANGER PATTERNS: shallow snow next to deep snow.**




**DANGER PATTERNS: springtime situation.**

| Snow line (m.a.s.l.) | North | South |
|---|---|---|
| | 1100 - 1300 | 1200 - 1400 |

| Snow depth (cm) | ground snow | new snow | Elevation (m.a.s.l.) |
|---|---|---|---|
| | 063 | 000 | 1380 |
| | 000 | 000 | 1075 |

**REGISTERED AVALANCHES: Some medium avalanches, Full-depth slab avalanches.**

## FORECAST 13/04/2026

# Danger level: CONSIDERABLE 3

## DANGER PATTERNS: shallow snow next to deep snow.

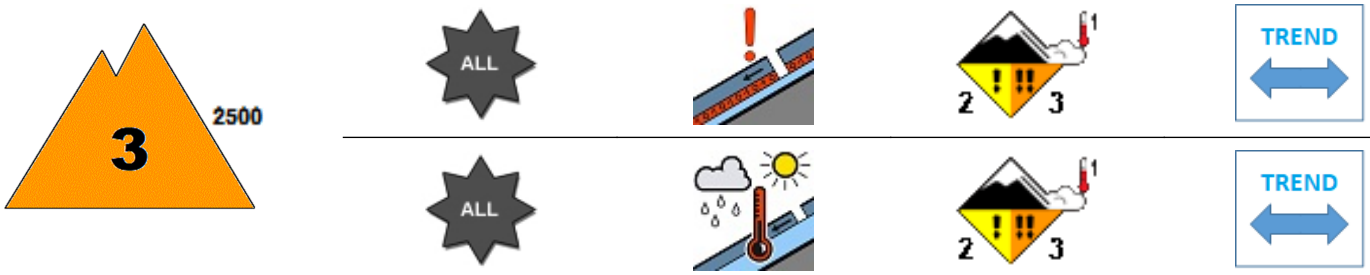


## DANGER PATTERNS: springtime situation.

**SNOWPACK: Snowpack stability is poor on many points (areas) above 2500 m.a.s.l. All aspects are critical. large avalanches are possible.**
**Snowpack stability is poor on many points (areas) below 2500 m.a.s.l. All aspects are critical. Large avalanches are possible.**

## WARNING

Due to daytime rising temperatures,careful evaluation of the timing of outdoor activities, in order to avoid crossing steep slopes during the warmest hours of the day , is required.

## EUROPEAN AVALANCHE WARNING SERVICE

## AVALANCHE PROBLEMS

According to EAWS standards Meteomont bulletin is a synoptic-scale system (regional scale). It shall be the user's responsibility to correlate the danger level evaluation of the bulletin with a detailed and expertise analysis of the zonal hazards (single slope), that could be markedly different. Meteorological forecast are issued at UTC (for Italy: in winter time UTC+1: in summer time UTC+2).

Bulletin is subjected to check processes through: the record of Observers and Avalanches and snow Experts data in C-Sifa; the validation by forecasters; the certification by Meteomont Section.

MINISTERO DELLA DIFESA

meteomont
Servizio Nazionale di previsione neve e valanghe

EAWS EUROPEAN AVALANCHE WARNING SERVICES

CARABINIERI

# GRAN SASSO EST - LAGA EST

## WEATHER FORECAST FOR

| Elevation | | 13/04/2026 h6:00 | 13/04/2026 h12:00 | 13/04/2026 h18:00 |
|---|---|---|---|---|
| 1000 | Wind | 04 Knots from S-East | 04 Knots from S-East | 03 Knots from South |
| | Temperatures | +06 °C | +12 °C | +09 °C |
| | Wind chill | 4 °C | 11 °C | 8 °C |
| 2000 | Wind | 17 Knots from S-East | 10 Knots from South | 11 Knots from South |
| | Temperatures | +07 °C | +06 °C | +06 °C |
| | Wind chill | 3 °C | 3 °C | 2 °C |
| 3000 | Wind | 20 Knots from S-East | 15 Knots from South | 17 Knots from South |
| | Temperatures | +01 °C | -01 °C | -01 °C |
| | Wind chill | -6 °C | -8 °C | -8 °C |
| Freezing level | | 3100-3300 m. | 2700-2900 m. | 2700-2900 m. |
| Atmospheric phenomenon | | — | | — |
| Keys to sky condition | | | | |

## KEYS TO ATMOSPHERIC PHENOMENON

— Absence of adverse weather phenomena
Fog
Mist
Light rain
Moderate rain
Heavy rain
Thunderstorm
Weak snowfall
Moderate snowfall
Heavy snowfall

## KEYS TO SKY CONDITION

Clear
Partly cloudy
Cloudy
Mostly cloudy
Overcast

## Weather and snow data recorded during field and out of field obsevations on 12/04/2026.

| Observation field | District | Elevation (m.a.s.l.) | Snow depth (cm) | Snowfall in previous 24 hours (cm) | Temp. Min (°C) | Temp. Max (°C) | General weather conditions |
|---|---|---|---|---|---|---|---|
| PRATO SELVA | Fano Adriano (TE) | 1355 | 39 | 0 | +8 | +18 | Absence of rain or other precipitation |
| PIANO SAN PIETRO | Isola del Gran Sasso d'Italia (TE) | 950 | 0 | 0 | N.P. | N.P. | Absence of rain or other precipitation |
| PRATI DI TIVO | Pietracamela (TE) | 1380 | 63 | 0 | +4 | +17 | Absence of rain or other precipitation |
| CEPPO | Rocca Santa Maria (TE) | 1349 | 0 | 0 | +8 | +17 | Absence of rain or other precipitation |
| SAN PAOLO | Acquasanta Terme (AP) | 960 | 0 | 0 | +8 | +20 | Absence of rain or other precipitation |
| COLLE SAN GIACOMO | Civitella del Tronto (TE) | 1075 | 0 | 0 | +9 | +19 | Absence of rain or other precipitation |

(*) Out of field survey

**INFORMATION MEANS PREVENTION - SCAN QRCODE TO KNOW DAILY AVALANCHE DANGER LEVEL!**

IL CAPO DEL CENTRO NAZIONALE METEOMONT
(Ten. Col. RFI Emanuela Gini)
FIRMA AUTOGRAFA OMESSA AI SENSI
DELL'ART.3 DEL D.LGS N.39/1993

According to EAWS standards Meteomont bulletin is a synoptic-scale system (regional scale). It shall be the user's responsibility to correlate the danger level evaluation of the bulletin with a detailed and expertise analysis of the zonal hazards (single slope), that could be markedly different. Meteorological forecast are issued at UTC (for Italy: in winter time UTC+1: in summer time UTC+2).

Bulletin is subjected to check processes through: the record of Observers and Avalanches and snow Experts data in C-Sifa; the validation by forecasters; the certification by Meteomont Section.