Wednesday 15.04.2026

Published 14 04 2026, 17:00

AM

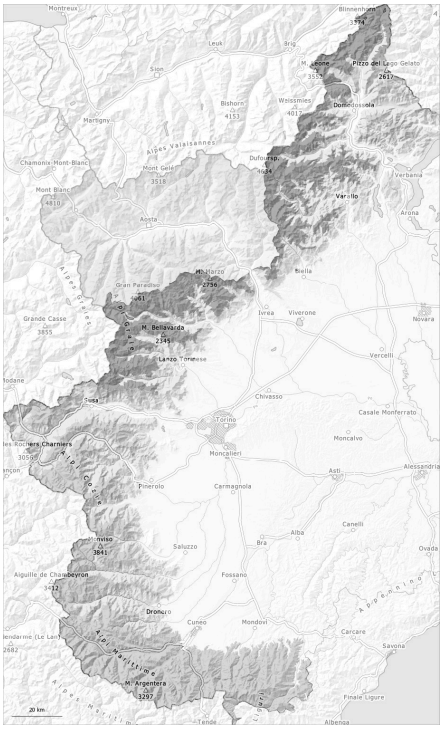

PM

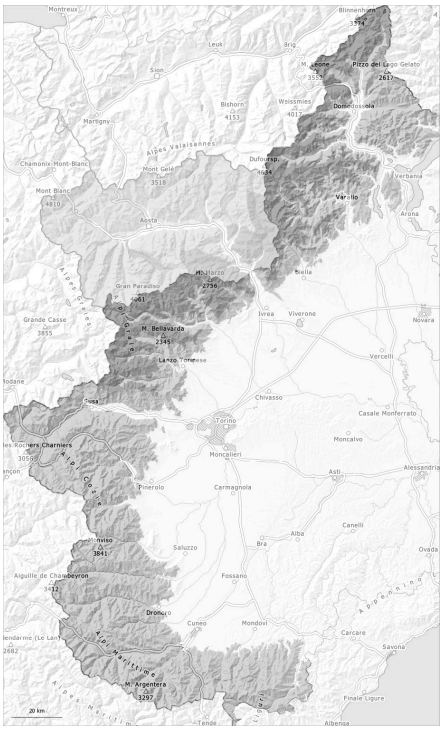

1	2	3	4	5
low	moderate	considerable	high	very high

Danger Level 3 - Considerable

AM:

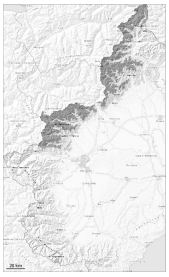

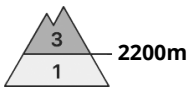

Tendency: Decreasing avalanche danger
on Thursday 16 04 2026

Wind slab

PM:

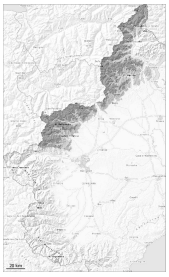

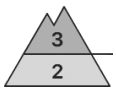

Tendency: Decreasing avalanche danger
on Thursday 16 04 2026

Wind slab

Wet snow

New snow and wind slabs at elevated altitudes. In particular, however, the danger of moist and wet avalanches will increase as the day progresses.

Towards its surface, the snowpack is unstable.

Above approximately 2200 m: As a consequence of new snow and northeasterly wind, sometimes avalanche prone wind slabs formed in the last two days adjacent to ridgelines and in pass areas. Avalanches can be released in near-surface layers and reach large size in particular on very steep shady slopes.

In particular on very steep grassy slopes and on rocky slopes medium-sized and, in isolated cases, large wet avalanches are possible as the day progresses as the moisture increases.

Naturally triggered avalanches and penetration of the old snow cover indicate the significant danger.

Snowpack

Danger patterns dp.6: cold, loose snow and wind | dp.10: springtime scenario

Over a wide area 40 to 60 cm of snow, and even more in some localities, fell in the last two days above approximately 2000 m. Yesterday above approximately 2500 m numerous small and medium-sized avalanches were observed. Several occasionally large powder avalanches have been released at high altitude.
A clear night: The surface of the snowpack has frozen to form a strong crust, this also applies at low and

intermediate altitudes.

Shady slopes as well as high altitudes: Over a wide area new snow and wind slabs are lying on a hard crust.

Sunshine and high temperatures will give rise as the day progresses to gradual moistening of the snowpack. This applies in particular on steep east, south and west facing slopes below approximately 2700 m, as well as on north facing slopes below approximately 2400 m.

Below approximately 2500 m no snow is lying on south facing slopes.

The snowpack is well consolidated and its surface has a melt-freeze crust. This applies especially in all aspects below approximately 2300 m.

Tendency

The weather will be mild. A clear night will be followed by favourable conditions generally, but the danger of wet and gliding avalanches will increase later.

As a consequence of highly fluctuating temperatures and solar radiation the snow drift accumulations will stabilise during the next few days.

Danger Level 2 - Moderate

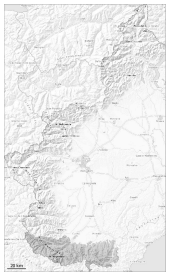

2

Tendency: Constant avalanche danger
on Thursday 16 04 2026

Wet snow

The danger of wet and gliding avalanches will already exist in the early morning.

The surface of the snowpack will only just freeze and will already be soft in the early morning, in the event of an overcast night, also at intermediate and high altitudes.

In the late morning the natural activity of moist and wet avalanches will rapidly increase.
At low and intermediate altitudes and on very steep grassy slopes medium-sized and, in isolated cases, large gliding avalanches and moist snow slides are possible as the penetration by moisture increases.

The wet fresh snow and the small wind slabs formed during the snowfall can be released by a single winter sport participant. Naturally triggered avalanches and penetration of the old snow cover indicate the existence of a weak snowack.

Backcountry tours and ascents to alpine cabins should be started and concluded very early.

Snowpack

Danger patterns dp.10: springtime scenario | dp.2: gliding snow

5 to 15 cm of snow, and even more in some localities, fell in the last two days above approximately 2000 m.

The sleet gave rise on Tuesday to extreme moistening of the snowpack below approximately 2200 m. In some places relatively hard layers of snow are lying on a wet old snowpack.

Tendency

The weather will be very mild.
The surface of the snowpack will freeze to form a strong crust only at high altitudes and will soften quickly.
The spring-like weather conditions from the late morning will give rise to a loss of strength within the snowpack over a wide area.

Danger Level 2 - Moderate

AM:

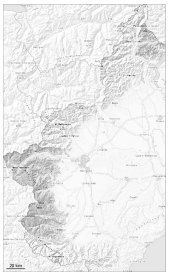

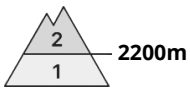

Tendency: Constant avalanche danger
on Thursday 16 04 2026

Wind slab

PM:

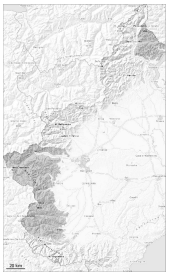

Tendency: Constant avalanche danger
on Thursday 16 04 2026

Wind slab

Wet snow

The danger of moist and wet avalanches will increase during the day.

The fresh snow and the mostly small wind slabs formed during the snowfall can be released by a single winter sport participant. This applies in particular on very steep slopes at high altitudes and in high Alpine regions, as well as at the base of rock walls and behind abrupt changes in the terrain.

In particular on very steep slopes small and medium-sized gliding avalanches and moist snow slides are possible as the penetration by moisture increases.

Backcountry tours and ascents to alpine cabins should be started early and concluded timely.

Snowpack

Danger patterns dp.6: cold, loose snow and wind | dp.10: springtime scenario

In some regions 15 to 30 cm of snow, but less in some localities, fell in the last two days above approximately 2100 m.
The surface of the snowpack has frozen to form a strong crust and will already soften in the late morning, this also applies at low and intermediate altitudes. Sunshine and high temperatures will give rise from early morning to increasing moistening of the snowpack below approximately 2300 m. This applies in particular on steep east, south and west facing slopes below approximately 2700 m, as well as on north facing slopes below approximately 2400 m.

Below approximately 2200 m no snow is lying on south facing slopes.

The snowpack is well consolidated and its surface has a melt-freeze crust, especially on shady slopes above approximately 1800 m, as well as in all aspects below approximately 2300 m.

Tendency

The weather will be mild.
A clear night will be followed by favourable conditions generally, but the danger of wet and gliding avalanches will increase later.