BUTLLETÍ DEL PERILL D'ALLAUS DEL PRINCIPAT D'ANDORRA

Prepared on 14/04/2026 16:00
Next update 15/04/2026 at 16 am

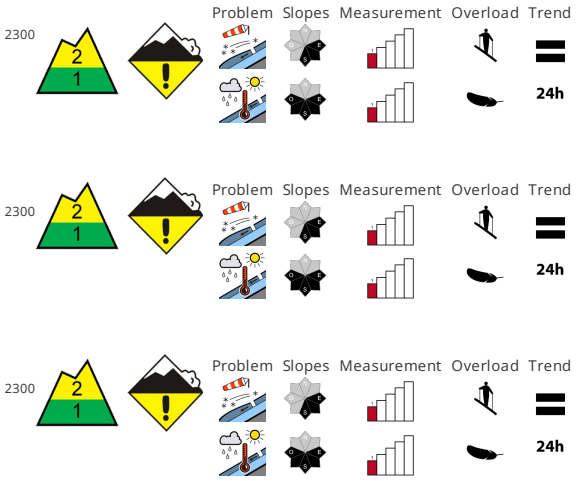

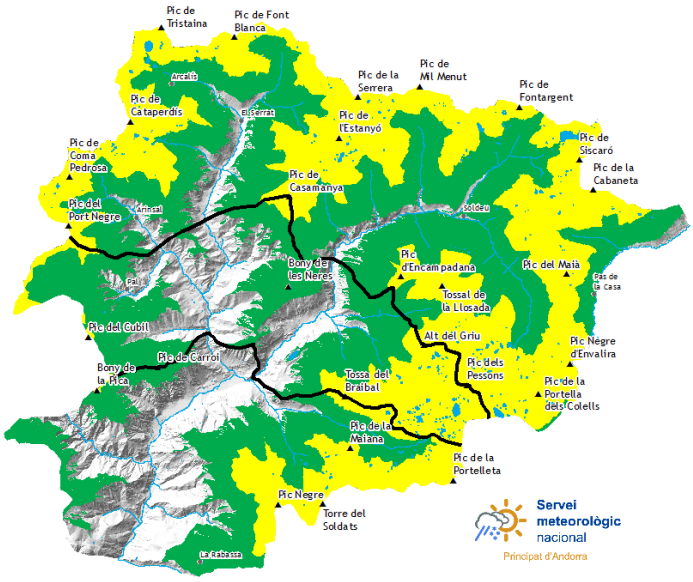

SNOW QUALITY

The sometimes large wind slabs represent the main danger. They are in some cases deep and can in some cases be released easily especially at their margins. As a consequence of warming during the day and solar radiation moist snow slides and avalanches are to be expected. The avalanches can be released naturally and reach medium size. Individual gliding avalanches can also occur. The avalanche prone locations are easy to recognise.

STABILITY OF THE SNOW MANTLE

Snow depths vary greatly, depending on the infuence of the wind. The solar radiation will give rise as the day progresses to increasing moistening of the snowpack on sunny slopes. Areas with glide cracks are to be avoided. Even in moderately steep terrain there is a danger of falling on the icy crust. This applies in particular below approximately 2300 m.

OFF-PISTE SNOW COVER THICKNESSES

North zone		Snow thickness		
Snowpack		1500m	2000m	2500m
N	1600 m	0 cm	150 cm	250 cm
S	1800 m	0 cm	100 cm	180 cm

Center area		Snow thickness		
Snowpack		1500m	2000m	2500m
N	1600 m	0 cm	120 cm	160 cm
S	1800 m	0 cm	60 cm	120 cm

South zone		Snow thickness		
Snowpack		1500m	2000m	2500m
N	1600 m	0 cm	120 cm	160 cm
S	1800 m	0 cm	60 cm	120 cm

Govern d'Andorra

EAWS EUROPEAN AVALANCHE WARNING SERVICES

Aquest butlletí ha estat elaborat seguint les normes i recomanacions de l'**European Avalanche Warning Services**, del qual el **Servei meteorològic Nacional** n'és membre

Detailed information for protected areas

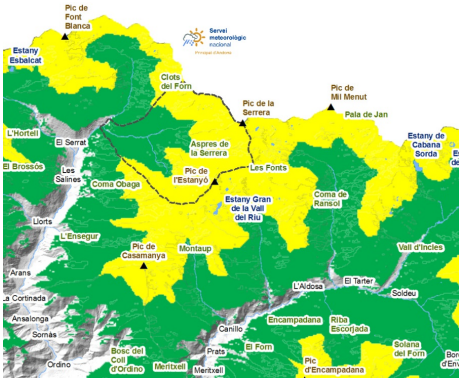

SORTENY

The sun is gradually moistening the snow on the southern slopes, but it is still cold in the north. At low altitudes the wind has exposed the old snow stained by the mud from Sunday morning's rain and it has frozen. The ascents are technical at medium altitudes due to the ice. At high altitudes, it is recommended to avoid windy snow accumulations and cycle through the harder, browner snow.

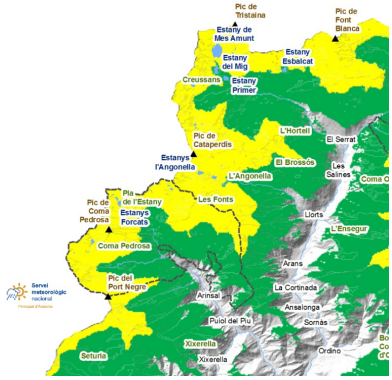

COMAPEDROSA

The snow will be moistened on the southern slopes and low elevations, but in the morning we will find it very hard. Purge of wet snow will descend on the steeper slopes. In the early hours, with the snow still hard, it will be more difficult and technical to cycle through medium altitudes than through high altitudes, where there is more recent snow.

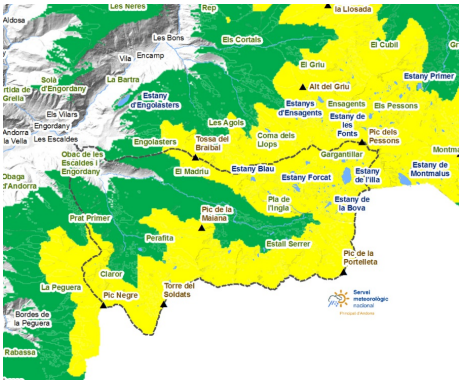

MADRIU-PERAFITA-CLAROR

The sun will stabilize the mantle with its compaction, but during the day we expect purges on the southern slopes. It will be safer to ride on the hard brown snow to avoid the wind plates.

BUTLLETÍ DEL PERILL D'ALLAUS DEL PRINCIPAT D'ANDORRA

Servei meteorològic nacional
Principat d'Andorra

Thick snow in recent days (last 24 hours measured at 06:00 UTC)

	10/04/2026	11/04/2026	12/04/2026	13/04/2026
FEDA (Central)	0 cm	0 cm	0 cm	0 cm
Engolasters - FEDA	0 cm	0 cm	0 cm	0 cm
Bony de les Neres	0 cm	0 cm	4 cm	0 cm
Sorteny	0 cm	0 cm	0 cm	0 cm
Les Fonts d'Arinsal	0 cm	0 cm	11 cm	0 cm
Aixàs	0 cm	0 cm	0 cm	0 cm
Perafita	0 cm	0 cm	10 cm	0 cm
Tossa Espiolets	0 cm	0 cm	8 cm	1 cm
Grau Roig - FEDA	0 cm	0 cm	3 cm	2 cm
Fontverd	0 cm	0 cm	4 cm	0 cm
Coll Ordino	0 cm	0 cm	2 cm	0 cm
Ransol - FEDA	0 cm	0 cm	0 cm	0 cm
Setúria	0 cm	0 cm	5 cm	0 cm
Caborreu	0 cm	0 cm	0 cm	0 cm
La Solana	0 cm	0 cm	10 cm	4 cm
Coll Pa	0 cm	0 cm	17 cm	0 cm
Envalira Antenes	0 cm	0 cm	0 cm	1 cm
Vall del Riu FEDA	0 cm	0 cm	0 cm	0 cm