MINISTERO DELLA DIFESA

meteomont Servizio Nazionale di previsione neve e valanghe

EAWS EUROPEAN AVALANCHE WARNING SERVICES

CARABINIERI

In collaborazione con: MARCHE

## APPENNINO UMBRO-MARCHIG. MERID. - MONTI SIBILLINI

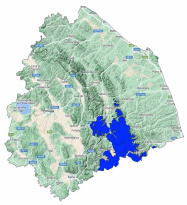

Avalanche Bulletin N. 357/2026 issued at 14:00 on 13/04/2026
48 hours validity. Next issue on 14/04/2026

**By the METEOMONT Service of the ARMA dei CARABINIERI ITALY**
**In collaboration with Air Force Meteorological Service**

## Situation on 13/04/2026

**DANGER PATTERNS: rain on snow.**

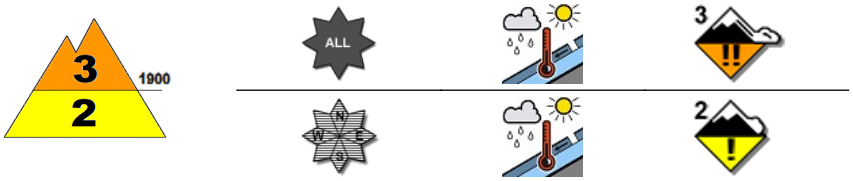


**DANGER PATTERNS: rain on snow.**

| Snow line (m.a.s.l.) | North | South |
|---|---|---|
| | 1400 - 1500 | 1700 - 1800 |

| Snow depth (cm) | ground snow | new snow | Elevation (m.a.s.l.) |
|---|---|---|---|
| | 70-180 | 000 | 2100 |
| | 30-80 | 00 | 1800 |

**REGISTERED AVALANCHES: No avalanches detected.**

## FORECAST 14/04/2026

# Danger level: CONSIDERABLE 3

## DANGER PATTERNS: rain on snow.




## DANGER PATTERNS: rain on snow.

**SNOWPACK: Snowpack stability is poor on some points (areas) above 1800 m.a.s.l. All aspects are critical. large avalanches are possible.**
**Snowpack stability is moderate on few points (areas) below 1800 m.a.s.l. All Isolated slopes are critical. Small avalanches are possible.**

## WARNING

Due to daytime rising temperatures,careful evaluation of the timing of outdoor activities, in order to avoid crossing steep slopes during the warmest hours of the day , is required.

## EUROPEAN AVALANCHE WARNING SERVICE

## AVALANCHE PROBLEMS

According to EAWS standards Meteomont bulletin is a synoptic-scale system (regional scale). It shall be the user's responsibility to correlate the danger level evaluation of the bulletin with a detailed and expertise analysis of the zonal hazards (single slope), that could be markedly different. Meteorological forecast are issued at UTC (for Italy: in winter time UTC+1: in summer time UTC+2).

Bulletin is subjected to check processes through: the record of Observers and Avalanches and snow Experts data in C-Sifa; the validation by forecasters; the certification by Meteomont Section.

MINISTERO DELLA DIFESA

meteomont
Servizio Nazionale di previsione neve e valanghe

EAWS EUROPEAN AVALANCHE WARNING SERVICES

CARABINIERI

In collaborazione con: MARCHE

# APPENNINO UMBRO-MARCHIG. MERID. - MONTI SIBILLINI

## WEATHER FORECAST FOR

| Elevation | | 14/04/2026 h6:00 | 14/04/2026 h12:00 | 14/04/2026 h18:00 |
|---|---|---|---|---|
| 1000 | Wind | 02 Knots from South | 02 Knots from S-East | 02 Knots from East |
| | Temperatures | +08 °C | +09 °C | +08 °C |
| | Wind chill | 8 °C | 9 °C | 8 °C |
| 2000 | Wind | 05 Knots from South | 03 Knots from South | 04 Knots from S-East |
| | Temperatures | +05 °C | +05 °C | +05 °C |
| | Wind chill | 3 °C | 4 °C | 3 °C |
| 3000 | Wind | 06 Knots from South | 08 Knots from South | 05 Knots from South |
| | Temperatures | -02 °C | -01 °C | +00 °C |
| | Wind chill | -6 °C | -6 °C | -3 °C |
| Freezing level | | 2600-2800 m. | 2700-2900 m. | 2800-3000 m. |
| Atmospheric phenomenon | | — | | |
| Keys to sky condition | | | | |

## KEYS TO ATMOSPHERIC PHENOMENON

— Absence of adverse weather phenomena
Fog
Mist
Light rain
Moderate rain
Heavy rain
Thunderstorm
Weak snowfall
Moderate snowfall
Heavy snowfall

## KEYS TO SKY CONDITION

Clear
Partly cloudy
Cloudy
Mostly cloudy
Overcast

## Weather and snow data recorded during field and out of field obsevations on 13/04/2026.

| Observation field | District | Elevation (m.a.s.l.) | Snow depth (cm) | Snowfall in previous 24 hours (cm) | Temp. Min (°C) | Temp. Max (°C) | General weather conditions |
|---|---|---|---|---|---|---|---|
| FORCA DI GUALDO | Castelsantangelo sul Nera (MC) | 1496 | 0 | 0 | +7 | +15 | Absence of rain or other precipitation |
| LA VALLETTA | Bolognola (MC) | 1352 | 0 | 0 | +5 | +12 | Absence of rain or other precipitation |
| COLLE | Montegallo (AP) | 1036 | 0 | 0 | +6 | +15 | Absence of rain or other precipitation |
| PARCO GUARNIERI | Montemonaco (AP) | 980 | 0 | 0 | +8 | +16 | Fog with no visible sky |
| RIFUGIO PERUGIA | Norcia (PG) | 1500 | 0 | 0 | N.P. | N.P. | Absence of rain or other precipitation |
| FRONTIGNANO * | Ussita (MC) | 1602 | 10 | 0 | N.P. | N.P. | Absence of rain or other precipitation |
| VAL DI BOVE * | Ussita (MC) | 1544 | 72 | 0 | N.P. | N.P. | Absence of rain or other precipitation |

(*) Out of field survey

**INFORMATION MEANS PREVENTION - SCAN QRCODE TO KNOW DAILY AVALANCHE DANGER LEVEL!**

IL CAPO DEL CENTRO NAZIONALE METEOMONT
(Ten. Col. RFI Emanuela Gini)
FIRMA AUTOGRAFA OMESSA AI SENSI
DELL'ART.3 DEL D.LGS N.39/1993

According to EAWS standards Meteomont bulletin is a synoptic-scale system (regional scale). It shall be the user's responsibility to correlate the danger level evaluation of the bulletin with a detailed and expertise analysis of the zonal hazards (single slope), that could be markedly different. Meteorological forecast are issued at UTC (for Italy: in winter time UTC+1: in summer time UTC+2).

Bulletin is subjected to check processes through: the record of Observers and Avalanches and snow Experts data in C-Sifa; the validation by forecasters; the certification by Meteomont Section.