Thursday 16.04.2026

Published 15 04 2026, 17:00

AM

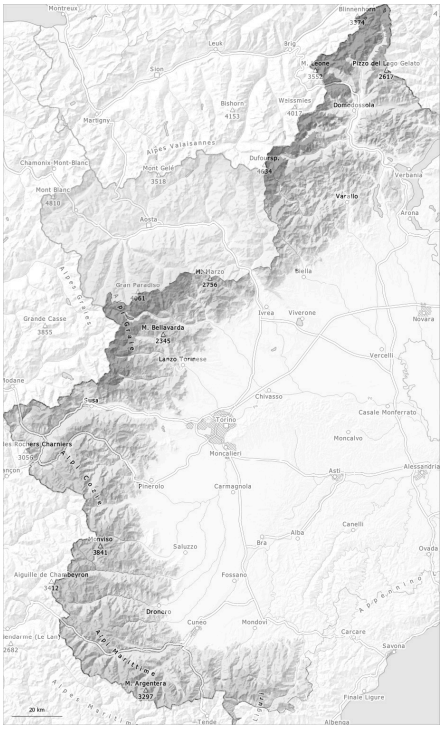

PM

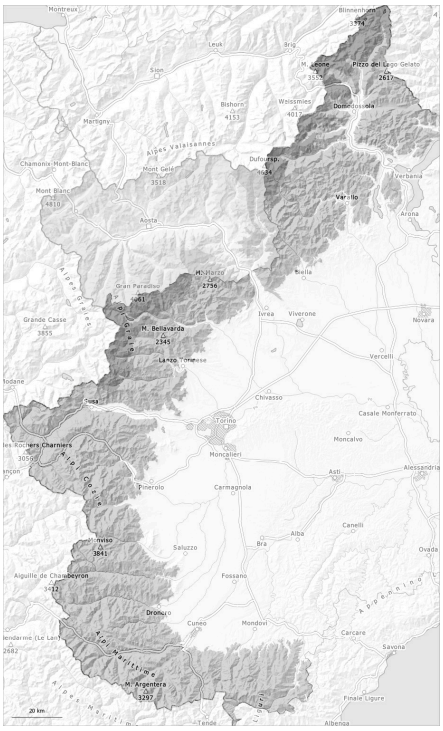

1	2	3	4	5
low	moderate	considerable	high	very high

Danger Level 3 - Considerable

AM:

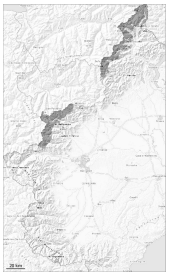

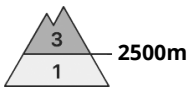

Tendency: Constant avalanche danger
on Friday 17 04 2026

Wind slab

PM:

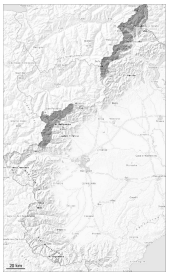

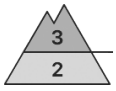

Tendency: Constant avalanche danger
on Friday 17 04 2026

Wind slab

Wet snow

New snow and wind slabs at elevated altitudes. In particular, however, the danger of moist and wet avalanches will increase as the day progresses.

Above approximately 2500 m: As a consequence of new snow and northeasterly wind, sometimes avalanche prone wind slabs formed in the last three days adjacent to ridgelines and in pass areas. Avalanches can be released in near-surface layers and reach large size in particular on very steep shady slopes.

In particular on very steep grassy slopes and on rocky slopes medium-sized and, in isolated cases, large wet avalanches are possible as the day progresses as the moisture increases. Naturally triggered avalanches and penetration of the old snow cover indicate the unfavourable bonding of the snowpack. Backcountry tours should be started and concluded early.

Snowpack

Danger patterns dp.6: cold, loose snow and wind | dp.10: springtime scenario

Over a wide area 40 to 60 cm of snow, and even more in some localities, has fallen since Sunday above approximately 2000 m. In the last two days above approximately 2500 m numerous small and medium-sized avalanches were observed. Several occasionally large powder avalanches have been released at high altitude.

Shady slopes as well as high altitudes: Over a wide area new snow and wind slabs are lying on a hard crust.

A clear night: The surface of the snowpack has frozen to form a strong crust. Sunshine and high temperatures will give rise as the day progresses to rapid moistening of the snowpack. This applies in particular on steep east, south and west facing slopes at intermediate and high altitudes, as well as on north facing slopes below approximately 2400 m.
Below approximately 2500 m only a little snow is lying on south facing slopes.

Tendency

The weather will be mild. A clear night will be followed by favourable conditions generally, but the danger of wet and gliding avalanches will increase later.

As a consequence of highly fluctuating temperatures and solar radiation the snow drift accumulations will stabilise during the next few days.

Danger Level 2 - Moderate

AM:

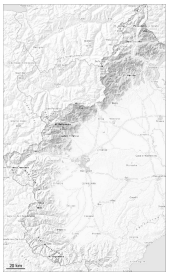

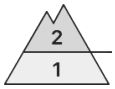

2400m

Tendency: Constant avalanche danger
on Friday 17 04 2026

Wind slab

2400m

PM:

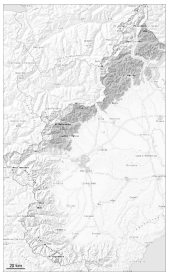

Tendency: Constant avalanche danger
on Friday 17 04 2026

Wind slab

2400m

Wet snow

2700m

The danger of moist and wet avalanches will increase during the day.

As a consequence of new snow and northeasterly wind, sometimes avalanche prone wind slabs formed in the last three days adjacent to ridgelines and in pass areas. These can be released, in particular by large loads and reach medium size. This applies in particular on very steep slopes, as well as at the base of rock walls and behind abrupt changes in the terrain.

In particular on very steep slopes small and medium-sized gliding avalanches and moist snow slides are possible as a consequence of warming during the day and solar radiation.

Naturally triggered avalanches and penetration of the old snow cover indicate the existence of a weak snowack. Backcountry tours should be started early and concluded timely.

Snowpack

Danger patterns dp.6: cold, loose snow and wind | dp.10: springtime scenario

Over a wide area 40 to 60 cm of snow, and even more in some localities, has fallen since Sunday above approximately 2000 m. Since Tuesday above approximately 2500 m several small and medium-sized avalanches were observed.

A clear night: The surface of the snowpack has frozen to form a strong crust. Sunshine and high temperatures will give rise as the day progresses to rapid moistening of the snowpack. This applies in particular on steep east, south and west facing slopes at intermediate and high altitudes, as well as on

north facing slopes below approximately 2400 m.
Below approximately 2400 m only a little snow is lying on south facing slopes.

Tendency

The weather will be mild.
A clear night will be followed by favourable conditions generally, but the danger of wet and gliding avalanches will increase later.

Danger Level 2 - Moderate

AM:

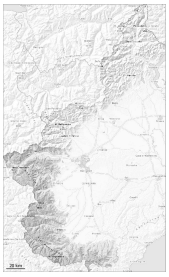

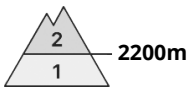

Tendency: Constant avalanche danger
on Friday 17 04 2026

Wind slab

PM:

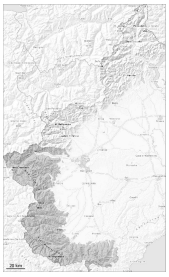

Tendency: Constant avalanche danger
on Friday 17 04 2026

Wind slab

Wet snow

The danger of moist and wet avalanches will increase during the day.

The fresh snow and the mostly small wind slabs formed during the snowfall can be released, especially by large additional loads, at high altitude. This applies in particular on very steep slopes, as well as at the base of rock walls and behind abrupt changes in the terrain.

In particular on very steep slopes small and medium-sized gliding avalanches and moist snow slides are possible as a consequence of warming during the day and solar radiation.

Naturally triggered avalanches and penetration of the old snow cover indicate the existence of a weak snowack. Backcountry tours should be started early and concluded timely.

Snowpack

Danger patterns dp.6: cold, loose snow and wind | dp.10: springtime scenario

Over a wide area 5 to 30 cm of snow has fallen since Sunday above approximately 2100 m. The sleet gave rise on Tuesday to moistening of the snowpack below approximately 2200 m.
The surface of the snowpack has frozen to form a strong crust and will already soften in the late morning. This applies in particular on steep east, south and west facing slopes below approximately 2700 m, as well as on north facing slopes below approximately 2400 m.

Below approximately 2200 m no snow is lying on south facing slopes.

Tendency

The weather will be mild.
A clear night will be followed by favourable conditions generally, but the danger of wet and gliding avalanches will increase later.