Thursday 16.04.2026

Published 15 04 2026, 17:00

AM

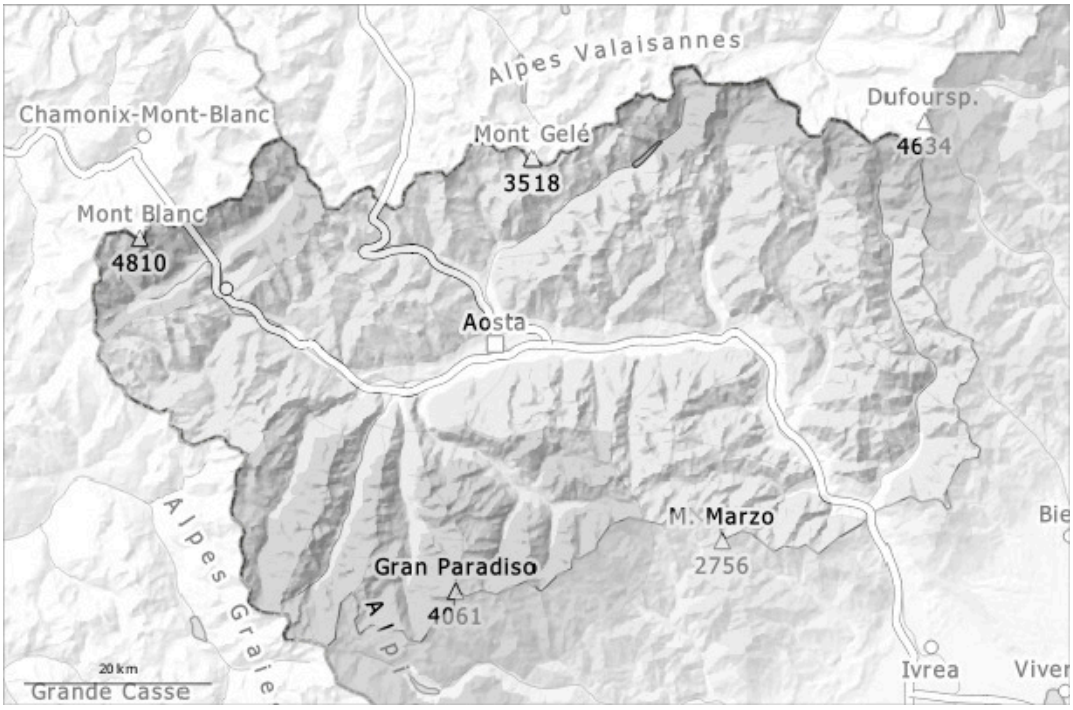

PM

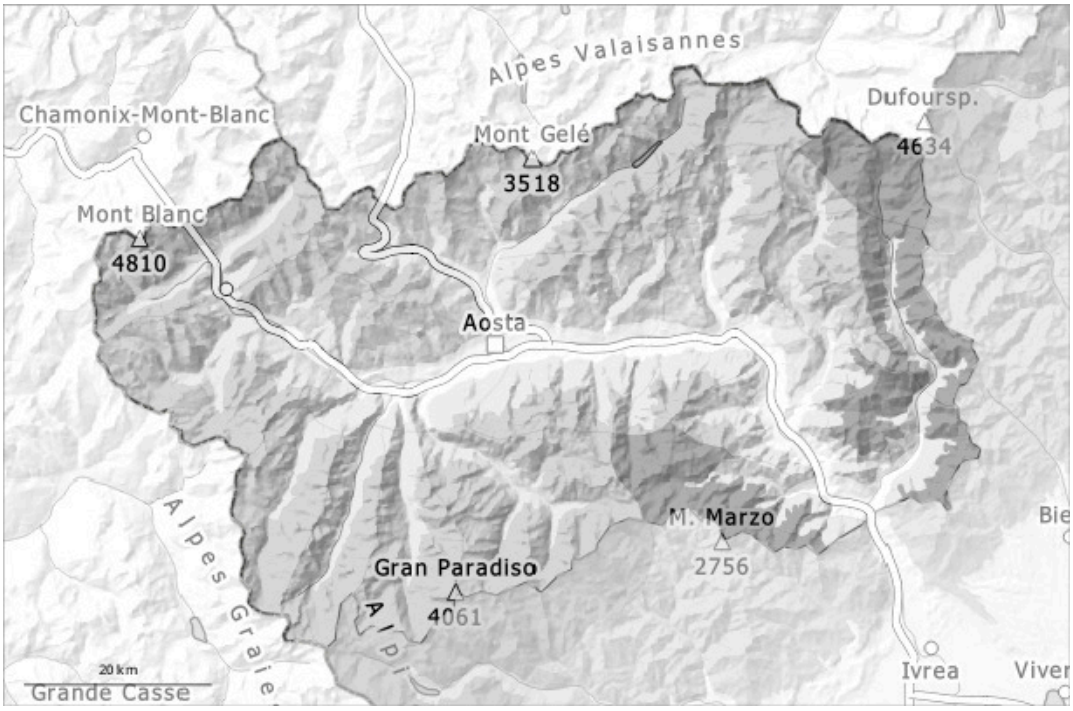

1	2	3	4	5
low	moderate	considerable	high	very high

Danger Level 3 - Considerable

AM:

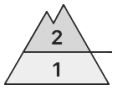

2700m

Tendency: Decreasing avalanche danger
on Friday 17 04 2026

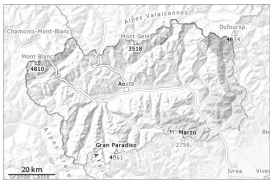

Wind slab

2700m

Wet snow

2500m

PM:

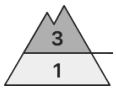

2200m

Tendency: Decreasing avalanche danger
on Friday 17 04 2026

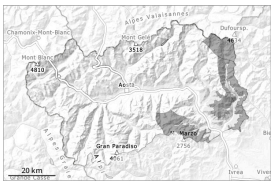

Wet snow

3000m
2200m

Wind slab

2700m

The danger of moist and wet avalanches will already be elevated in the early morning. In the event of an overcast night this applies.

Early morning: The conditions are generally favourable for ski touring.
If there is cloud cover at night combined with warm air, the avalanche risk will already be 2 (moderate) by the morning because The surface of the snowpack will only just freeze. And so conditions in the mid-mountain range will already be somewhat unfavourable.
In the late morning the natural activity of moist and wet avalanches will quickly increase. In particular in starting zones where no previous releases have taken place and on very steep slopes more medium-sized and, in isolated cases, large natural wet avalanches are to be expected.
Backcountry tours and ascents to alpine cabins should be concluded timely.
As a consequence of new snow and a sometimes moderate southeasterly wind, sometimes avalanche prone wind slabs formed on Monday. They have formed at high altitudes and in high Alpine regions.

Snowpack

Danger patterns dp.10: springtime scenario

The surface of the snowpack is hardly frozen at all. 20 to 40 cm of snow, and even more in some localities, fell on Monday above approximately 2300 m. New snow and wind slabs are lying on a wet old snowpack.

At higher altitudes, snow cover becomes thinner and patchy; it is better at mid-altitudes, which are less exposed to the wind. Below approximately 1900 m hardly any snow is lying.
Weak layers exist in the snowpack in particular on steep shady slopes.

Tendency

The spring-like weather conditions will give rise to settling of the snowpack. As the moisture increases more moist and wet avalanches are possible.

Danger Level 2 - Moderate

AM:

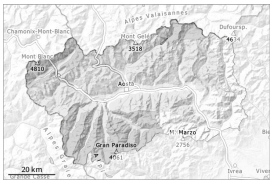

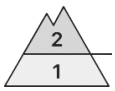

2900m

Tendency: Decreasing avalanche danger
on Friday 17 04 2026

Wind slab

2900m

Wet snow

2500m

PM:

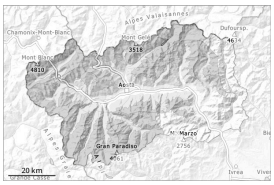

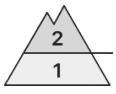

2200m

Tendency: Decreasing avalanche danger
on Friday 17 04 2026

Wet snow

3000m
2200m

Wind slab

2900m

The danger of moist and wet avalanches will already increase in the late morning.

The conditions are generally favourable for ski touring.
The surface of the snowpack will freeze, but a strong crust will not form and will already soften in the late morning.
If there is cloud cover at night combined with warm air, the avalanche risk will already be 2 (moderate) by the morning because The surface of the snowpack will cool hardly at all during the overcast night. And so conditions in the mid-mountain range will already be somewhat unfavourable.
In the late morning the natural activity of moist and wet avalanches will gradually increase. In starting zones where no previous releases have taken place and on very steep slopes more small and, in isolated cases, medium-sized moist snow slides and avalanches are possible.
Backcountry tours and ascents to alpine cabins should be concluded timely.
As a consequence of new snow and a sometimes moderate southeasterly wind, mostly small wind slabs formed on Monday. They have formed at high altitudes and in high Alpine regions.

Snowpack

Danger patterns dp.10: springtime scenario

Colder than expected: The surface of the snowpack has frozen to form a strong crust. New snow and wind slabs are lying on a wet old snowpack.
At higher altitudes, snow cover becomes thinner and patchy; it is better at mid-altitudes, which are less exposed to the wind. Below approximately 1900 m hardly any snow is lying.
Weak layers exist in the snowpack in particular on steep shady slopes.

Tendency

As a consequence of warming during the day and solar radiation more moist and wet avalanches are possible. Sunshine and high temperatures will give rise to settling of the snowpack.