Thursday 16.04.2026

Published 15 04 2026, 17:00

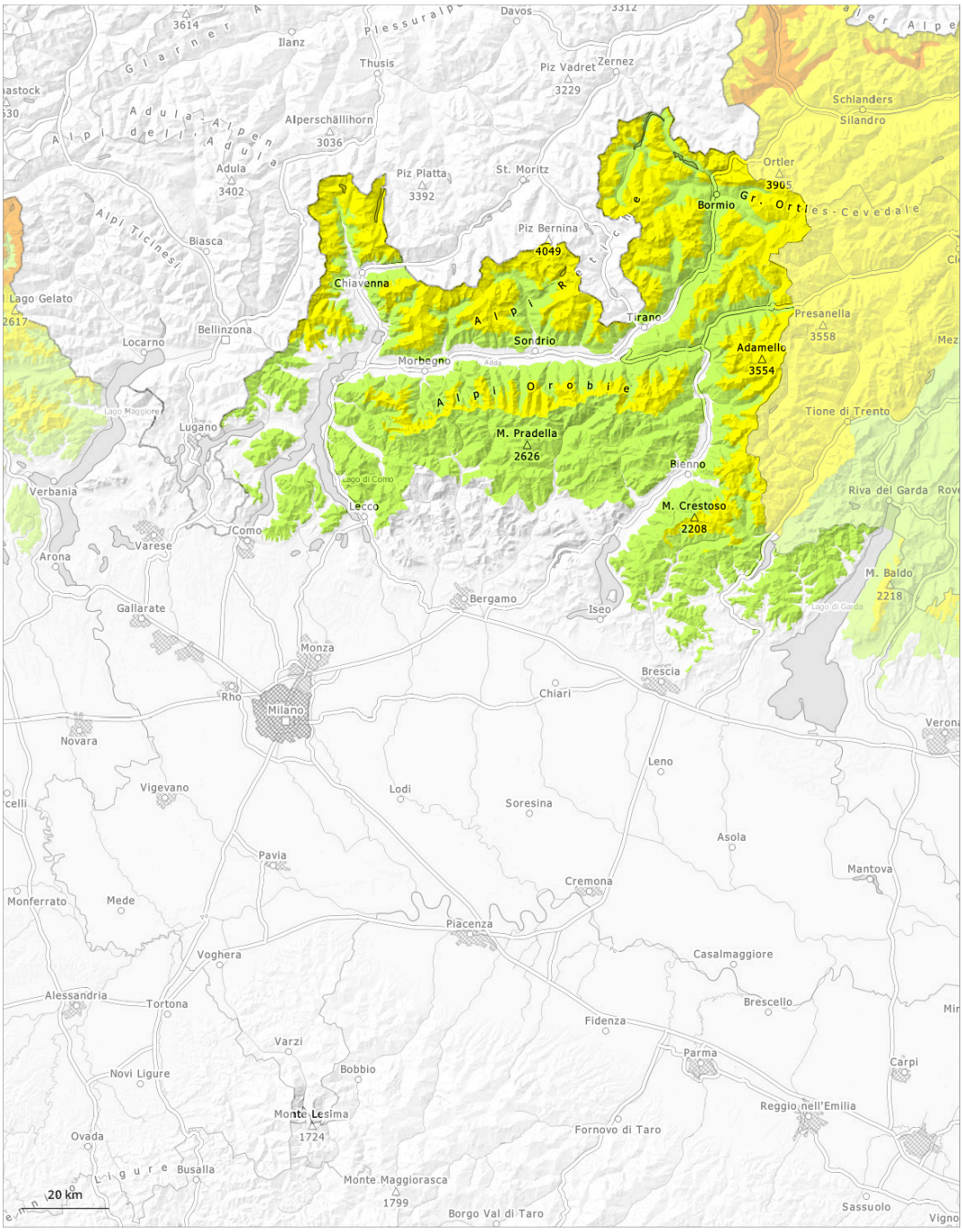

1	2	3	4	5
low	moderate	considerable	high	very high

Danger Level 2 - Moderate

Treeline

Tendency: Constant avalanche danger
on Friday 17 04 2026

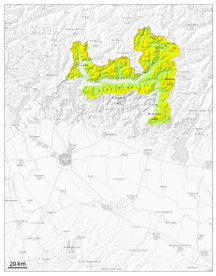

Wet snow

Treeline

Persistent weak layer

Treeline

Wet snow

Treeline

The weather will be partly cloudy over a wide area.
Warming.

The avalanche prone locations for dry avalanches are to be found on steep shady slopes above approximately 2500 m.
As a consequence of warming during the day and the solar radiation, the likelihood of wet avalanches being released will increase in particular on steep shady slopes below approximately 2500 m.
Medium-sized avalanches are possible.

Snowpack

Danger patterns dp.6: cold, loose snow and wind | dp.10: springtime scenario

The surface of the snowpack will already soften in the late morning.
Above approximately 2400 m snow fell in the last few days over a wide area.
As a consequence of wind, mostly shallow wind slabs formed in high Alpine regions.
Steep shady slopes above approximately 2500 m: Faceted weak layers exist in the bottom section of the old snowpack.
Below approximately 2000 m from a snow sport perspective, in most cases insufficient snow is lying.

Danger Level 1 - Low

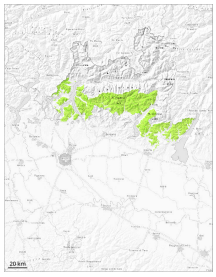

Tendency: Constant avalanche danger
on Friday 17 04 2026

Wet snow

1800m

The weather will be partly cloudy over a wide area.
Warming.

The surface of the snowpack is hardly frozen at all and will already be soft in the early morning.
In isolated cases the avalanches are small.

Snowpack

Danger patterns dp.10: springtime scenario

As a consequence of mild temperatures the snowpack consolidated. As a consequence of warming during the day there will be an increase in the danger of moist and wet avalanches.