MINISTERO DELLA DIFESA

meteomont Servizio Nazionale di previsione neve e valanghe

EAWS EUROPEAN AVALANCHE WARNING SERVICES

CARABINIERI

In collaborazione con: MARCHE

# APPENNINO UMBRO-MARCHIG. MERID. - MONTI SIBILLINI

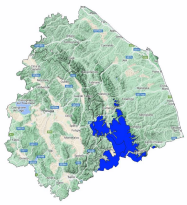

Avalanche Bulletin N. 358/2026 issued at 14:00 on 14/04/2026
48 hours validity. Next issue on 15/04/2026

**By the METEOMONT Service of the ARMA dei CARABINIERI ITALY**
**In collaboration with Air Force Meteorological Service**

## Situation on 14/04/2026

**DANGER PATTERNS: rain on snow.**

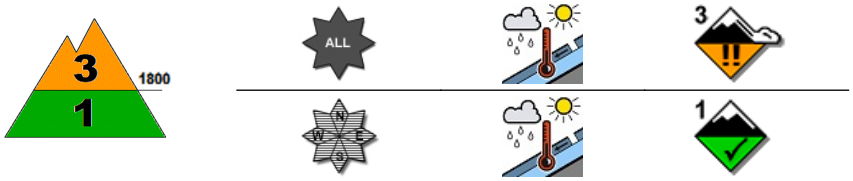


**DANGER PATTERNS: rain on snow.**

| Snow line (m.a.s.l.) | North | South |
|---|---|---|
| | 1500 | 1800 - 1900 |

| Snow depth (cm) | ground snow | new snow | Elevation (m.a.s.l.) |
|---|---|---|---|
| | 60-170 | 000 | 2100 |
| | 20-70 | 000 | 1800 |

**REGISTERED AVALANCHES: Some medium avalanches, Full-depth slab avalanches.**

## FORECAST 15/04/2026

# Danger level: CONSIDERABLE 3

## DANGER PATTERNS: rain on snow.




## DANGER PATTERNS: rain on snow.

**SNOWPACK: Snowpack stability is poor on some points (areas) above 1800 m.a.s.l. All aspects are critical. large avalanches are possible.**
**Snowpack stability is moderate on few points (areas) below 1800 m.a.s.l. All Isolated slopes are critical. Small avalanches are possible.**

## WARNING

Due to daytime rising temperatures,careful evaluation of the timing of outdoor activities, in order to avoid crossing steep slopes during the warmest hours of the day , is required.

## EUROPEAN AVALANCHE WARNING SERVICE

## AVALANCHE PROBLEMS

According to EAWS standards Meteomont bulletin is a synoptic-scale system (regional scale). It shall be the user's responsibility to correlate the danger level evaluation of the bulletin with a detailed and expertise analysis of the zonal hazards (single slope), that could be markedly different. Meteorological forecast are issued at UTC (for Italy: in winter time UTC+1: in summer time UTC+2).

Bulletin is subjected to check processes through: the record of Observers and Avalanches and snow Experts data in C-Sifa; the validation by forecasters; the certification by Meteomont Section.

MINISTERO DELLA DIFESA

meteomont
Servizio Nazionale di previsione neve e valanghe

EAWS EUROPEAN AVALANCHE WARNING SERVICES

CARABINIERI

In collaborazione con: MARCHE

# APPENNINO UMBRO-MARCHIG. MERID. - MONTI SIBILLINI

## WEATHER FORECAST FOR

| Elevation | | 15/04/2026 h6:00 | 15/04/2026 h12:00 | 15/04/2026 h18:00 |
|---|---|---|---|---|
| 1000 | Wind | 05 Knots from N-East | 04 Knots from East | 04 Knots from East |
| | Temperatures | +07 °C | +07 °C | +07 °C |
| | Wind chill | 5 °C | 6 °C | 6 °C |
| 2000 | Wind | 12 Knots from East | 11 Knots from East | 07 Knots from East |
| | Temperatures | +05 °C | +05 °C | +05 °C |
| | Wind chill | 1 °C | 1 °C | 2 °C |
| 3000 | Wind | 13 Knots from East | 13 Knots from East | 09 Knots from East |
| | Temperatures | -02 °C | -01 °C | +01 °C |
| | Wind chill | -8 °C | -7 °C | -3 °C |
| Freezing level | | 2600-2800 m. | 2700-2900 m. | 3100-3300 m. |
| Atmospheric phenomenon | | | — | — |
| Keys to sky condition | | | | |

## KEYS TO ATMOSPHERIC PHENOMENON

Absence of adverse weather phenomena — Fog — Mist — Light rain — Moderate rain — Heavy rain — Thunderstorm

Weak snowfall — Moderate snowfall — Heavy snowfall

## KEYS TO SKY CONDITION

Clear — Partly cloudy — Cloudy — Mostly cloudy — Overcast

## Weather and snow data recorded during field and out of field obsevations on 14/04/2026.

| Observation field | District | Elevation (m.a.s.l.) | Snow depth (cm) | Snowfall in previous 24 hours (cm) | Temp. Min (°C) | Temp. Max (°C) | General weather conditions |
|---|---|---|---|---|---|---|---|
| FORCA DI GUALDO | Castelsantangelo sul Nera (MC) | 1496 | 0 | 0 | +4 | +12 | Intermittent light rain |
| LA VALLETTA | Bolognola (MC) | 1352 | 0 | 0 | +4 | +8 | Intermittent light rain |
| COLLE | Montegallo (AP) | 1036 | 0 | 0 | +4 | +11 | Light rain |
| PARCO GUARNIERI | Montemonaco (AP) | 980 | 0 | 0 | +8 | +13 | Absence of rain or other precipitation |
| FRONTIGNANO * | Ussita (MC) | 1561 | 18 | 0 | N.P. | N.P. | Absence of rain or other precipitation |

(*) Out of field survey

**INFORMATION MEANS PREVENTION - SCAN QRCODE TO KNOW DAILY AVALANCHE DANGER LEVEL!**

IL CAPO DEL CENTRO NAZIONALE METEOMONT
(Ten. Col. RFI Emanuela Gini)
FIRMA AUTOGRAFA OMESSA AI SENSI
DELL'ART.3 DEL D.LGS N.39/1993

According to EAWS standards Meteomont bulletin is a synoptic-scale system (regional scale). It shall be the user's responsibility to correlate the danger level evaluation of the bulletin with a detailed and expertise analysis of the zonal hazards (single slope), that could be markedly different. Meteorological forecast are issued at UTC (for Italy: in winter time UTC+1: in summer time UTC+2).

Bulletin is subjected to check processes through: the record of Observers and Avalanches and snow Experts data in C-Sifa; the validation by forecasters; the certification by Meteomont Section.