aineva.it

Friday 17.04.2026

Published 16 04 2026, 17:00

AM

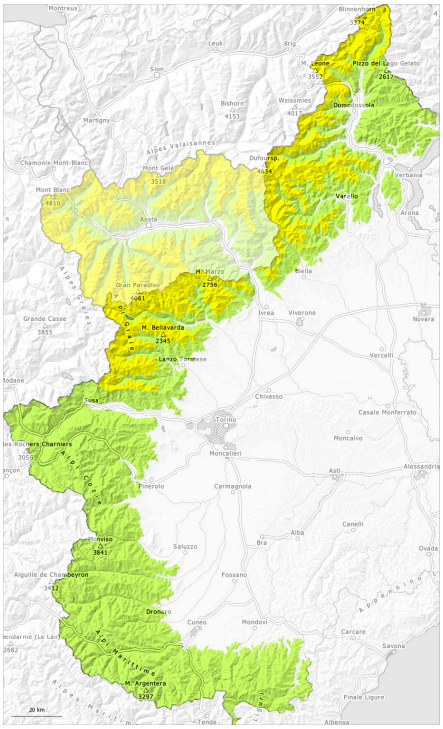

PM

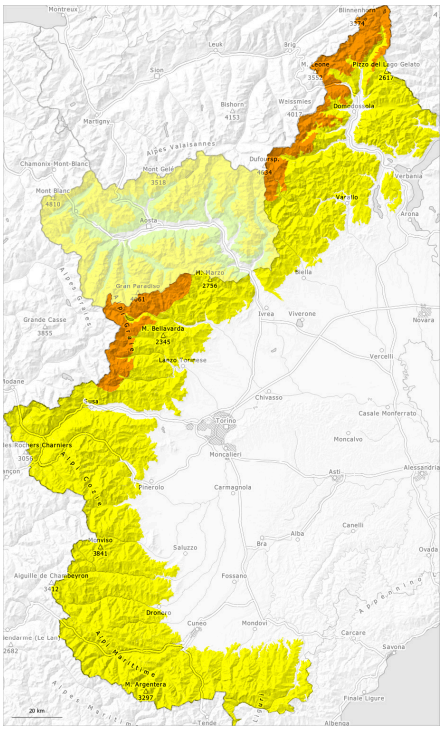

1	2	3	4	5
low	moderate	considerable	high	very high

Danger Level 3 - Considerable

AM:

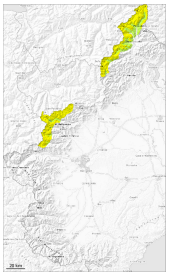

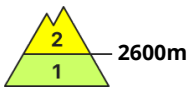

Tendency: Decreasing avalanche danger
on Saturday 18 04 2026

Wet snow

2600m

PM:

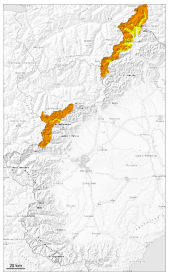

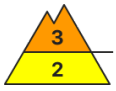

Tendency: Decreasing avalanche danger
on Saturday 18 04 2026

Wet snow

2600m

Wet snow

2600m

The danger of moist and wet avalanches will already increase in the late morning.

The high temperatures in the late morning will give rise to a loss of strength within the snowpack on sunny slopes at high altitudes and in high Alpine regions. This situation will give rise to extreme and thorough wetting of the snowpack over a wide area in all aspects at low and intermediate altitudes. Naturally triggered avalanches and penetration of the old snow cover show the existence of a weak snowack.

In particular on very steep slopes more medium-sized and, in isolated cases, large gliding avalanches and moist snow slides are possible as a consequence of warming during the day and solar radiation.
High altitudes and the high Alpine regions: Avalanches can in isolated cases be released in the old snowpack and reach medium size on steep sunny slopes. This applies even in case of a single winter sport participant in some cases.

Backcountry tours should be concluded timely.

Snowpack

Danger patterns dp.6: cold, loose snow and wind | dp.10: springtime scenario

Up to 60 cm of snow fell on Monday above approximately 2200 m. The new snow of Monday has settled to a large extent.

Below approximately 3000 m: The snowpack is moist and its surface has a melt-freeze crust. The surface of

the snowpack will already soften in the late morning.

Sunshine and high temperatures will give rise as the day progresses to rapid moistening of the snowpack. This applies in particular on steep sunny slopes at high altitudes and in high Alpine regions, and in all aspects at low and intermediate altitudes.
Below approximately 2400 m only a little snow is lying on south facing slopes.

Danger Level 2 - Moderate

AM:

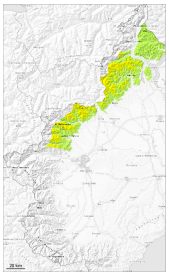

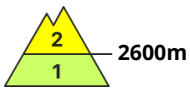

Tendency: Constant avalanche danger
on Saturday 18 04 2026

Wet snow

2600m

PM:

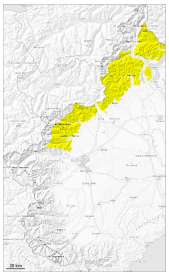

Tendency: Constant avalanche danger
on Saturday 18 04 2026

Wet snow

The danger of moist and wet avalanches will already increase in the late morning.

The high temperatures in the late morning will give rise to a loss of strength within the snowpack on sunny slopes at high altitudes and in high Alpine regions. This situation will give rise to extreme and thorough wetting of the snowpack over a wide area in all aspects at low and intermediate altitudes. Naturally triggered avalanches and penetration of the old snow cover show the existence of a weak snowack.

In particular on very steep slopes and in steep rocky terrain more small and medium-sized gliding avalanches and moist snow slides are possible as a consequence of warming during the day and solar radiation.
High altitudes and the high Alpine regions: The near-surface layers of the snowpack can be released in isolated cases by individual winter sport participants.
Backcountry tours should be concluded timely.

Snowpack

Danger patterns dp.6: cold, loose snow and wind | dp.10: springtime scenario

Over a wide area 40 to 60 cm of snow fell on Monday above approximately 2000 m. The new snow of Monday has settled to a large extent.

Below approximately 3000 m: The snowpack is moist and its surface has a melt-freeze crust. The surface of the snowpack will already soften in the late morning.

Sunshine and high temperatures will give rise as the day progresses to rapid moistening of the snowpack. This applies in particular on steep sunny slopes at high altitudes and in high Alpine regions, and in all

aspects at low and intermediate altitudes.
Below approximately 2400 m only a little snow is lying on south facing slopes.

Danger Level 2 - Moderate

AM:

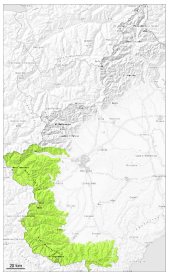

Tendency: Constant avalanche danger
on Saturday 18 04 2026

PM:

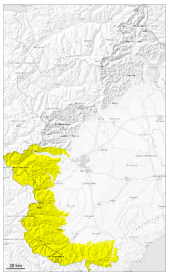

Tendency: Constant avalanche danger
on Saturday 18 04 2026

Wet snow

Wet snow

A clear night will be followed in the early morning by favourable conditions over a wide area, but the danger of wet avalanches will increase later.

The avalanche danger will already increase in the late morning, especially on east, south and west facing slopes at high altitudes and in high Alpine regions, and in all aspects below approximately 2500 m.

In particular on steep sunny slopes small and medium-sized moist and wet avalanches are possible as a consequence of warming during the day and solar radiation. Moist avalanches can occur easily or triggered naturally. Naturally triggered avalanches and penetration of the old snow cover indicate the existence of a weak snowack.

Backcountry tours should be started early and concluded timely. Early morning: There is a danger of falling on the hard snow surface.

Snowpack

Danger patterns dp.6: cold, loose snow and wind | dp.10: springtime scenario

Over a wide area 5 to 30 cm of snow has fallen since Sunday above approximately 2100 m.
The surface of the snowpack has frozen to form a strong crust and will already soften in the late morning. This applies in particular on steep east, south and west facing slopes below approximately 2600 m, as well as on north facing slopes below approximately 2400 m.

Below approximately 2200 m no snow is lying on south facing slopes.