BUTLLETÍ DEL PERILL D'ALLAUS DEL PRINCIPAT D'ANDORRA

Prepared on 17/04/2026 16:00
Next update 18/04/2026 at 16 am

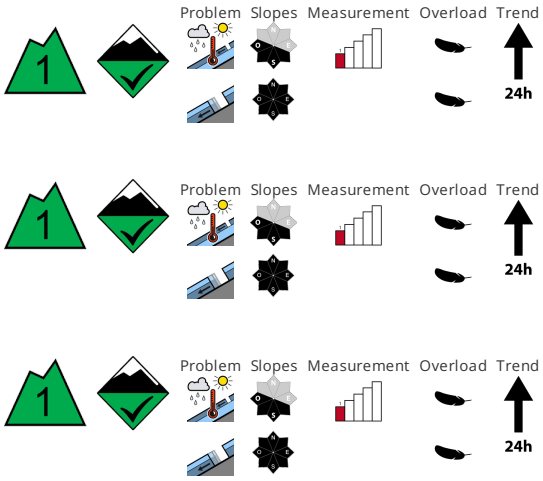

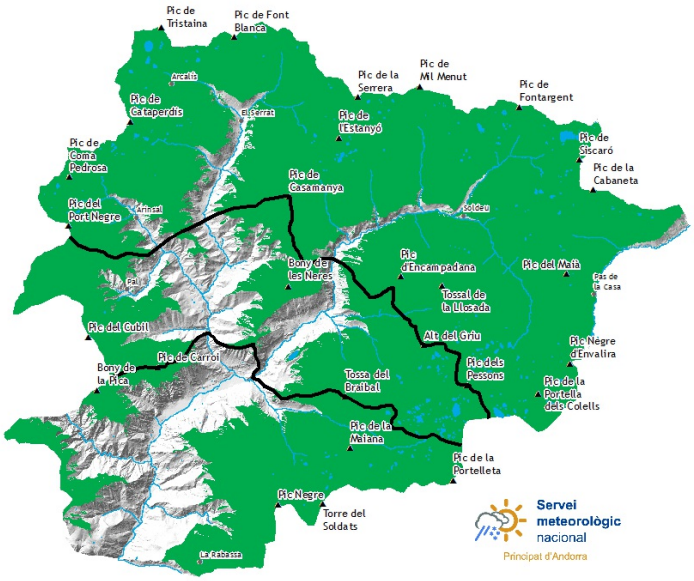

SNOW QUALITY

A clear night will be followed in the early morning by generally favourable conditions, but the danger of wet and gliding avalanches will increase later. As a consequence of warming during the day and solar radiation moist snow slides and avalanches are to be expected. Explanation: these may only stand for these avalanches can be released naturally and reach medium size in isolated cases. Individual gliding avalanches can also occur. The avalanche prone locations are easy to recognise.

STABILITY OF THE SNOW MANTLE

The conditions are spring-like. Outgoing longwave radiation during the night will be good. The surface of the snowpack will freeze to form a strong crust and will soften earlier than the day before. Even in moderately steep terrain there is a danger of falling on the icy crust. Snow depths vary greatly, depending on the infuence of the wind. The solar radiation will give rise as the day progresses to increasing moistening of the snowpack on sunny slopes. Areas with glide cracks are to be avoided. Backcountry tours should be started and concluded early.

OFF-PISTE SNOW COVER THICKNESSES

North zone		Snow thickness		
Snowpack		1500m	2000m	2500m
N	1600 m	0 cm	150 cm	250 cm
S	1800 m	0 cm	100 cm	180 cm

Center area		Snow thickness		
Snowpack		1500m	2000m	2500m
N	1600 m	0 cm	120 cm	160 cm
S	1800 m	0 cm	60 cm	120 cm

South zone		Snow thickness		
Snowpack		1500m	2000m	2500m
N	1600 m	0 cm	120 cm	160 cm
S	1800 m	0 cm	60 cm	120 cm

Govern d'Andorra

EAWS EUROPEAN AVALANCHE WARNING SERVICES

Aquest butlletí ha estat elaborat seguint les normes i recomanacions de l'**European Avalanche Warning Services**, del qual el **Servei meteorològic Nacional** n'és membre

BUTLLETÍ DEL PERILL D'ALLAUS DEL PRINCIPAT D'ANDORRA

Servei meteorològic nacional
Principat d'Andorra

Detailed information for protected areas

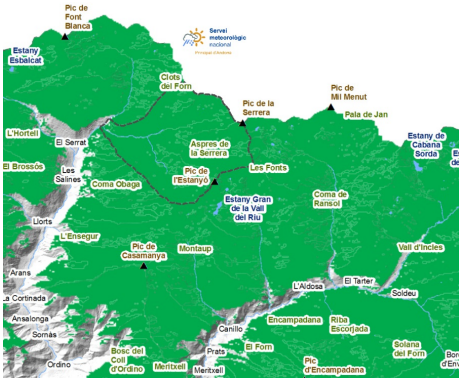

SORTENY

Low clouds overnight Wednesday into Thursday moistened and subsequently refrozen all snow at all elevations and orientations. This fact has consolidated the wind plates and we find hard snow on all slopes and heights. It only softens on sunny slopes as the day progresses. The northern slopes still have significant thicknesses, but on the southern slopes continuous snow must be sought above 2,200 meters. Access to the refuge must be done on foot, and you can no longer do the Planell del Quer on skis. To go to Rialb you have to go through Forn.

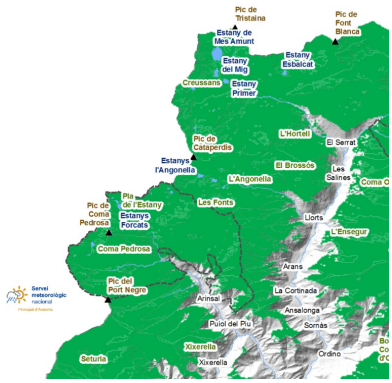

COMAPEDROSA

The snow will be moistened on the southern slopes and medium elevations, but in the morning we will find it very hard. Flurries of wet snow will continue to fall on the steeper slopes. In the early hours, with the snow still hard, it will be more difficult and technical to circulate.

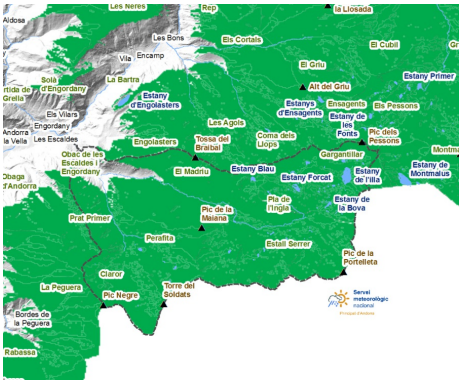

MADRIU-PERAFITA-CLAROR

The low clouds have stabilized the snow cover, but during the day we expect purges on the southern slopes. In the flatter parts of the cirques, brown snow is often still faster than white snow. From the Estall Serrer downstream, there is no continuous snow left.

Govern d'Andorra

EAWS
EUROPEAN AVALANCHE WARNING SERVICES

Aquest butlletí ha estat elaborat seguint les normes i recomanacions de l'**European Avalanche Warning Services**, del qual el **Servei meteorològic Nacional** n'és membre

BUTLLETÍ DEL PERILL D'ALLAUS DEL PRINCIPAT D'ANDORRA

Servei meteorològic nacional
Principat d'Andorra

Thick snow in recent days (last 24 hours measured at 06:00 UTC)

	13/04/2026	14/04/2026	15/04/2026	16/04/2026
FEDA (Central)	0 cm	0 cm	0 cm	0 cm
Engolasters - FEDA	0 cm	0 cm	0 cm	0 cm
Bony de les Neres	0 cm	0 cm	0 cm	0 cm
Sorteny	0 cm	0 cm	0 cm	0 cm
Les Fonts d'Arinsal	0 cm	0 cm	0 cm	0 cm
Aixàs	0 cm	0 cm	0 cm	0 cm
Perafita	0 cm	0 cm	0 cm	0 cm
Tossa Espiolets	1 cm	0 cm	0 cm	0 cm
Grau Roig - FEDA	2 cm	0 cm	0 cm	0 cm
Fontverd	0 cm	0 cm	0 cm	0 cm
Coll Ordino	0 cm	0 cm	0 cm	0 cm
Ransol - FEDA	0 cm	0 cm	0 cm	0 cm
Setúria	0 cm	0 cm	0 cm	0 cm
Caborreu	0 cm	0 cm	0 cm	0 cm
La Solana	4 cm	0 cm	0 cm	0 cm
Coll Pa	0 cm	0 cm	0 cm	1 cm
Envalira Antenes	1 cm	0 cm	0 cm	0 cm
Vall del Riu FEDA	0 cm	1 cm	0 cm	0 cm