MINISTERO DELLA DIFESA

meteomont
Servizio Nazionale di previsione neve e valanghe

EAWS EUROPEAN AVALANCHE WARNING SERVICES

CARABINIERI

ALPI RETICHE

Avalanche Bulletin N. 408/2026 issued at 14:00 on 16/04/2026
48 hours validity. Next issue on 17/04/2026

By the METEOMONT Service of the ARMA dei CARABINIERI ITALY
In collaboration with Air Force Meteorological Service

Situation on 16/04/2026

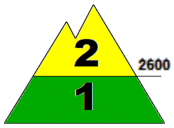

DANGER PATTERNS: no distinct danger pattern.



DANGER PATTERNS: springtime situation.

Snow line (m.a.s.l.)	North	South
	1900 - 2000	2500 - 2600

Snow depth (cm)	ground snow	new snow	Elevation (m.a.s.l.)
	83	10	2212
	18	0	1860

REGISTERED AVALANCHES: Some medium avalanches, Surface loose snow avalanches.

FORECAST 17/04/2026

Danger level: MODERATE 2

DANGER PATTERNS: no distinct danger pattern.

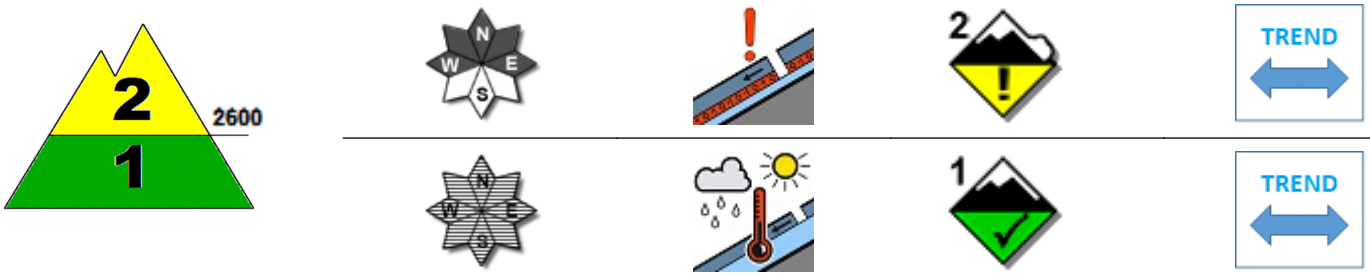

DANGER PATTERNS: springtime situation.

SNOWPACK: Snowpack stability is moderate on some points (areas) above 2600 m.a.s.l. All From west to east-facing slopes are critical. medium avalanches are possible.
Snowpack stability is moderate on few points (areas) below 2600 m.a.s.l. All Isolated slopes are critical. Medium avalanches are possible.

WARNING

Due to daytime rising temperatures,careful evaluation of the timing of outdoor activities, in order to avoid crossing steep slopes during the warmest hours of the day , is required.

EUROPEAN AVALANCHE WARNING SERVICE

AVALANCHE PROBLEMS

According to EAWS standards Meteomont bulletin is a synoptic-scale system (regional scale). It shall be the user's responsibility to correlate the danger level evaluation of the bulletin with a detailed and expertise analysis of the zonal hazards (single slope), that could be markedly different. Meteorological forecast are issued at UTC (for Italy: in winter time UTC+1: in summer time UTC+2).

Bulletin is subjected to check processes through: the record of Observers and Avalanches and snow Experts data in C-Sifa; the validation by forecasters; the certification by Meteomont Section.

MINISTERO DELLA DIFESA

meteomont
Servizio Nazionale di previsione neve e valanghe

EAWS EUROPEAN AVALANCHE WARNING SERVICES

CARABINIERI

ALPI RETICHE

WEATHER FORECAST FOR

Elevation		17/04/2026 h6:00	17/04/2026 h12:00	17/04/2026 h18:00
1000	Wind	01 Knots from North	01 Knots from N-West	02 Knots from North
	Temperatures	+03 °C	+07 °C	+05 °C
	Wind chill	3 °C	7 °C	5 °C
2000	Wind	01 Knots from North	01 Knots from N-West	02 Knots from North
	Temperatures	+03 °C	+07 °C	+05 °C
	Wind chill	3 °C	7 °C	5 °C
3000	Wind	02 Knots from West	02 Knots from N-West	01 Knots from North
	Temperatures	-02 °C	+00 °C	+01 °C
	Wind chill	-2 °C	0 °C	1 °C
Freezing level		2500-2700 m.	2900-3100 m.	3000-3200 m.
Atmospheric phenomenon		—	—	—
Keys to sky condition				

KEYS TO ATMOSPHERIC PHENOMENON

— Absence of adverse weather phenomena
Fog
Mist
Light rain
Moderate rain
Heavy rain
Thunderstorm
Weak snowfall
Moderate snowfall
Heavy snowfall

KEYS TO SKY CONDITION

Clear
Partly cloudy
Cloudy
Mostly cloudy
Overcast

Weather and snow data recorded during field and out of field obsevations on 16/04/2026.

Observation field	District	Elevation (m.a.s.l.)	Snow depth (cm)	Snowfall in previous 24 hours (cm)	Temp. Min (°C)	Temp. Max (°C)	General weather conditions
LA SASSA *	Sondalo (SO)	1923	40	0	N.P.	N.P.	Absence of rain or other precipitation
VALAR	Valdidentro (SO)	1930	16	0	+3	+8	Absence of rain or other precipitation
FORNI *	Valfurva (SO)	2207	55	0	-6	+8	Absence of rain or other precipitation
CHIAREGGIO *	Chiesa in Valmalenco (SO)	1636	20	0	N.P.	N.P.	Absence of rain or other precipitation
VALLE ACQUA SERIA *	Ponte di Legno (BS)	1860	18	0	N.P.	N.P.	Absence of rain or other precipitation
VALLACCIA ORIENTALE *	Valdidentro (SO)	2212	83	0	N.P.	N.P.	Absence of rain or other precipitation

(*) Out of field survey

INFORMATION MEANS PREVENTION - SCAN QRCODE TO KNOW DAILY AVALANCHE DANGER LEVEL!

IL CAPO DEL CENTRO NAZIONALE METEOMONT
(Ten. Col. RFI Emanuela Gini)
FIRMA AUTOGRAFA OMESSA AI SENSI
DELL'ART.3 DEL D.LGS N.39/1993

According to EAWS standards Meteomont bulletin is a synoptic-scale system (regional scale). It shall be the user's responsibility to correlate the danger level evaluation of the bulletin with a detailed and expertise analysis of the zonal hazards (single slope), that could be markedly different. Meteorological forecast are issued at UTC (for Italy: in winter time UTC+1: in summer time UTC+2).

Bulletin is subjected to check processes through: the record of Observers and Avalanches and snow Experts data in C-Sifa; the validation by forecasters; the certification by Meteomont Section.