MINISTERO DELLA DIFESA

meteomont
Servizio Nazionale di previsione neve e valanghe

EAWS EUROPEAN AVALANCHE WARNING SERVICES

CARABINIERI

# ALPI PENNINE

Avalanche Bulletin N. 407/2026 issued at 14:00 on 16/04/2026
48 hours validity. Next issue on 17/04/2026

**By the METEOMONT Service of the ARMA dei CARABINIERI ITALY**
**In collaboration with Air Force Meteorological Service**

## Situation on 16/04/2026

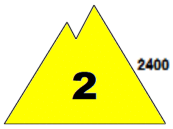


**DANGER PATTERNS: no distinct danger pattern.**




**DANGER PATTERNS: springtime situation.**

| Snow line (m.a.s.l.) | North | South |
|---|---|---|
| | 1700 - 1900 | 2100 - 2300 |

| Snow depth (cm) | ground snow | new snow | Elevation (m.a.s.l.) |
|---|---|---|---|
| | 169 | 000 | 2820 |
| | 132 | 000 | 2075 |

**REGISTERED AVALANCHES: Small avalanches, Slab surface avalanches.**

## FORECAST 17/04/2026

## Danger level: MODERATE 2

### DANGER PATTERNS: shallow snow next to deep snow.

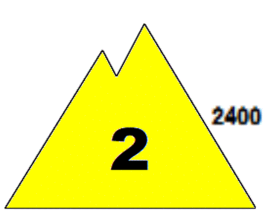


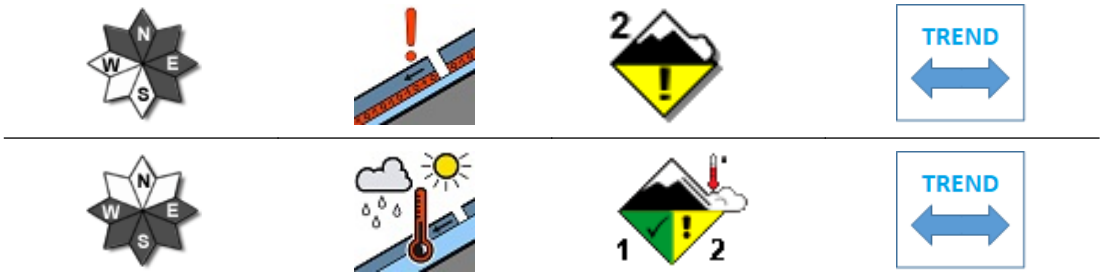


### DANGER PATTERNS: springtime situation.

**SNOWPACK: Snowpack stability is moderate on few points (areas) above 2400 m.a.s.l. All are critical. large avalanches are possible.**
**Snowpack stability is moderate on some points (areas) below 2400 m.a.s.l. All From east to west-facing slopes are critical. Medium avalanches are possible.**

## WARNING

Due to daytime rising temperatures,careful evaluation of the timing of outdoor activities, in order to avoid crossing steep slopes during the warmest hours of the day , is required.

## EUROPEAN AVALANCHE WARNING SERVICE

5 - VERY HIGH | 4 - HIGH | 3 - CONSIDERABLE | 2 - MODERATE | 1 - LOW | NO SNOW | NO INFO

## AVALANCHE PROBLEMS

NEW SNOW | WIND - DRIFTED SNOW | PERSISTENT WEAK LAYERS | WET SNOW | GLIDING SNOW | SNOW CORNICES | NO EVIDENT AVALANCHE PROBLEM. | NO INFO

According to EAWS standards Meteomont bulletin is a synoptic-scale system (regional scale). It shall be the user's responsibility to correlate the danger level evaluation of the bulletin with a detailed and expertise analysis of the zonal hazards (single slope), that could be markedly different. Meteorological forecast are issued at UTC (for Italy: in winter time UTC+1: in summer time UTC+2).

Bulletin is subjected to check processes through: the record of Observers and Avalanches and snow Experts data in C-Sifa; the validation by forecasters; the certification by Meteomont Section.

MINISTERO DELLA DIFESA

meteomont
Servizio Nazionale di previsione neve e valanghe

EAWS EUROPEAN AVALANCHE WARNING SERVICES

CARABINIERI

# ALPI PENNINE

## WEATHER FORECAST FOR

| Elevation | | 17/04/2026 h6:00 | 17/04/2026 h12:00 | 17/04/2026 h18:00 |
|---|---|---|---|---|
| 1000 | Wind | 02 Knots from N-West | 00 Calm | 02 Knots from N-West |
| | Temperatures | +07 °C | +09 °C | +09 °C |
| | Wind chill | 7 °C | 9 °C | 9 °C |
| 2000 | Wind | 01 Knots from S-West | 01 Knots from N-West | 01 Knots from North |
| | Temperatures | +04 °C | +06 °C | +08 °C |
| | Wind chill | 4 °C | 6 °C | 8 °C |
| 3000 | Wind | 03 Knots from West | 03 Knots from North | 01 Knots from North |
| | Temperatures | +00 °C | +02 °C | +01 °C |
| | Wind chill | -2 °C | 0 °C | 1 °C |
| Freezing level | | 2800-3000 m. | 3400-3600 m. | 3200-3400 m. |
| Atmospheric phenomenon | | — | — | — |
| Keys to sky condition | | | | |

## KEYS TO ATMOSPHERIC PHENOMENON

— Absence of adverse weather phenomena
Fog
Mist
Light rain
Moderate rain
Heavy rain
Thunderstorm
Weak snowfall
Moderate snowfall
Heavy snowfall

## KEYS TO SKY CONDITION

Clear
Partly cloudy
Cloudy
Mostly cloudy
Overcast

## Weather and snow data recorded during field and out of field obsevations on 16/04/2026.

| Observation field | District | Elevation (m.a.s.l.) | Snow depth (cm) | Snowfall in previous 24 hours (cm) | Temp. Min (°C) | Temp. Max (°C) | General weather conditions |
|---|---|---|---|---|---|---|---|
| OPACO DI PECETTO | Macugnaga (VB) | 1330 | 0 | 0 | N.P. | N.P. | Absence of rain or other precipitation |
| PIANALUNGA | Alagna Valsesia (VC) | 2025 | 71 | 0 | -1 | +4 | Absence of rain or other precipitation |

(*) Out of field survey

**INFORMATION MEANS PREVENTION - SCAN QRCODE TO KNOW DAILY AVALANCHE DANGER LEVEL!**

IL CAPO DEL CENTRO NAZIONALE METEOMONT
(Ten. Col. RFI Emanuela Gini)
FIRMA AUTOGRAFA OMESSA AI SENSI
DELL'ART.3 DEL D.LGS N.39/1993

According to EAWS standards Meteomont bulletin is a synoptic-scale system (regional scale). It shall be the user's responsibility to correlate the danger level evaluation of the bulletin with a detailed and expertise analysis of the zonal hazards (single slope), that could be markedly different. Meteorological forecast are issued at UTC (for Italy: in winter time UTC+1: in summer time UTC+2).

Bulletin is subjected to check processes through: the record of Observers and Avalanches and snow Experts data in C-Sifa; the validation by forecasters; the certification by Meteomont Section.