aineva.it

Sunday 19.04.2026

Published 18 04 2026, 17:00

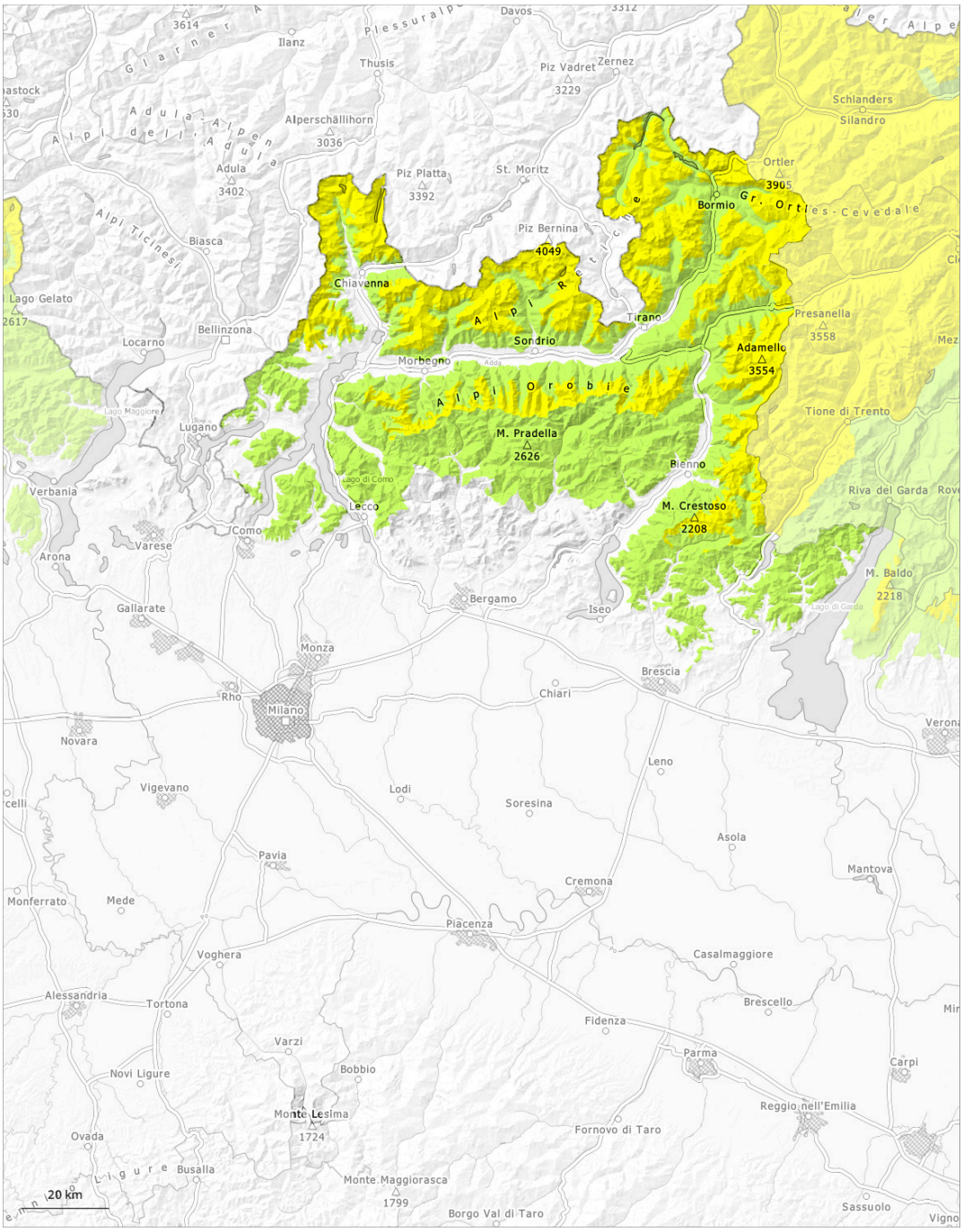

1	2	3	4	5
low	moderate	considerable	high	very high

Danger Level 2 - Moderate

Treeline

Tendency: Constant avalanche danger
on Monday 20 04 2026

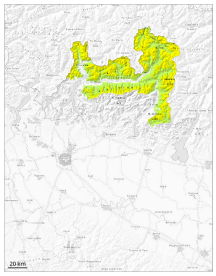

Wet snow

Treeline

Persistent weak layer

2500m

Wet snow

Treeline

The weather will be partly cloudy over a wide area.

The avalanche prone locations for dry avalanches are to be found on steep shady slopes above approximately 2800 m.
As a consequence of warming during the day and the solar radiation, the likelihood of wet avalanches being released will increase in particular on steep shady slopes below approximately 2800 m.
Medium-sized avalanches are possible.

Snowpack

Danger patterns dp.1: deep persistent weak layer | dp.10: springtime scenario

The surface of the snowpack will soften during the day.
As a consequence of wind, mostly shallow wind slabs formed in high Alpine regions.
Steep shady slopes above approximately 2500 m: Faceted weak layers exist in the bottom section of the old snowpack.
Below approximately 2100 m from a snow sport perspective, in most cases insufficient snow is lying.

Danger Level 1 - Low

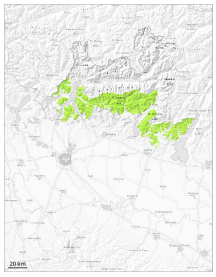

Tendency: Constant avalanche danger
on Monday 20 04 2026

Wet snow

1800m

The weather will be partly cloudy over a wide area.

The surface of the snowpack will only just freeze and will soften during the day.
In isolated cases the avalanches are small.

Snowpack

Danger patterns dp.10: springtime scenario

As a consequence of mild temperatures the snowpack consolidated. As a consequence of warming during the day there will be an increase in the danger of moist and wet avalanches.