MINISTERO DELLA DIFESA

meteomont Servizio Nazionale di previsione neve e valanghe

EAWS EUROPEAN AVALANCHE WARNING SERVICES

CARABINIERI

In collaborazione con: MARCHE

APPENNINO UMBRO-MARCHIG. MERID. - MONTI SIBILLINI

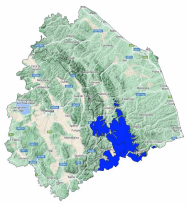

Avalanche Bulletin N. 362/2026 issued at 14:00 on 18/04/2026
48 hours validity. Next issue on 19/04/2026

By the METEOMONT Service of the ARMA dei CARABINIERI ITALY
In collaboration with Air Force Meteorological Service

Situation on 18/04/2026

DANGER PATTERNS: springtime situation.

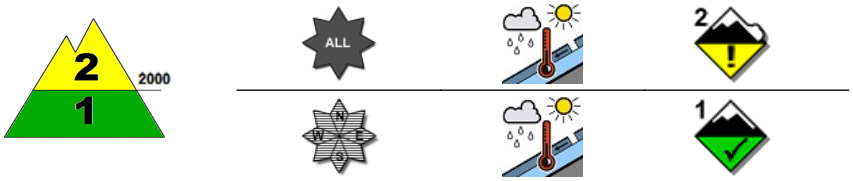

DANGER PATTERNS: springtime situation.

Snow line (m.a.s.l.)	North	South
	1600 - 2000	1900 - 2200

Snow depth (cm)	ground snow	new snow	Elevation (m.a.s.l.)
	50-150	000	2100
	0-50	000	1900

REGISTERED AVALANCHES: Small avalanches, Full-depth slab avalanches.

FORECAST 19/04/2026

Danger level: MODERATE 2

DANGER PATTERNS: springtime situation.



DANGER PATTERNS: springtime situation.

SNOWPACK: Snowpack stability is poor on few points (areas) above 2000 m.a.s.l. All aspects are critical. large avalanches are possible.
Snowpack stability is moderate on few points (areas) below 2000 m.a.s.l. All Isolated slopes are critical. Small avalanches are possible.

WARNING

Due to daytime rising temperatures,careful evaluation of the timing of outdoor activities, in order to avoid crossing steep slopes during the warmest hours of the day , is required.

EUROPEAN AVALANCHE WARNING SERVICE

5 - VERY HIGH | 4 - HIGH | 3 - CONSIDERABLE | 2 - MODERATE | 1 - LOW | NO SNOW | NO INFO

AVALANCHE PROBLEMS

NEW SNOW | WIND - DRIFTED SNOW | PERSISTENT WEAK LAYERS | WET SNOW | GLIDING SNOW | SNOW CORNICES | NO EVIDENT AVALANCHE PROBLEM. | NO INFO

According to EAWS standards Meteomont bulletin is a synoptic-scale system (regional scale). It shall be the user's responsibility to correlate the danger level evaluation of the bulletin with a detailed and expertise analysis of the zonal hazards (single slope), that could be markedly different. Meteorological forecast are issued at UTC (for Italy: in winter time UTC+1: in summer time UTC+2).

Bulletin is subjected to check processes through: the record of Observers and Avalanches and snow Experts data in C-Sifa; the validation by forecasters; the certification by Meteomont Section.

MINISTERO DELLA DIFESA

meteomont Servizio Nazionale di previsione neve e valanghe

EAWS EUROPEAN AVALANCHE WARNING SERVICES

CARABINIERI

In collaborazione con: MARCHE

APPENNINO UMBRO-MARCHIG. MERID. - MONTI SIBILLINI

WEATHER FORECAST FOR

Elevation		19/04/2026 h6:00	19/04/2026 h12:00	19/04/2026 h18:00
1000	Wind	01 Knots from S-East	02 Knots from North	05 Knots from West
	Temperatures	+09 °C	+14 °C	+11 °C
	Wind chill	9 °C	14 °C	10 °C
2000	Wind	02 Knots from N-East	03 Knots from N-West	11 Knots from West
	Temperatures	+06 °C	+09 °C	+07 °C
	Wind chill	6 °C	8 °C	4 °C
3000	Wind	05 Knots from North	05 Knots from N-West	09 Knots from West
	Temperatures	-01 °C	+00 °C	+03 °C
	Wind chill	-4 °C	-3 °C	-1 °C
Freezing level		2800-3000 m.	2800-3000 m.	3300-3500 m.
Atmospheric phenomenon		—	—	—
Keys to sky condition				

KEYS TO ATMOSPHERIC PHENOMENON

— Absence of adverse weather phenomena; Fog; Mist; Light rain; Moderate rain; Heavy rain; Thunderstorm; Weak snowfall; Moderate snowfall; Heavy snowfall

KEYS TO SKY CONDITION

Clear; Partly cloudy; Cloudy; Mostly cloudy; Overcast

Weather and snow data recorded during field and out of field obsevations on 18/04/2026.

Observation field	District	Elevation (m.a.s.l.)	Snow depth (cm)	Snowfall in previous 24 hours (cm)	Temp. Min (°C)	Temp. Max (°C)	General weather conditions
FORCA DI GUALDO	Castelsantangelo sul Nera (MC)	1496	0	0	+5	+15	Absence of rain or other precipitation
LA VALLETTA	Bolognola (MC)	1352	0	0	+3	+11	Absence of rain or other precipitation
COLLE	Montegallo (AP)	1036	0	0	+3	+18	Absence of rain or other precipitation
PARCO GUARNIERI	Montemonaco (AP)	980	0	0	+9	+18	Absence of rain or other precipitation
RIFUGIO PERUGIA	Norcia (PG)	1500	0	0	+6	+17	Absence of rain or other precipitation
FRONTIGNANO *	Ussita (MC)	1706	0	0	N.P.	N.P.	Absence of rain or other precipitation

(*) Out of field survey

INFORMATION MEANS PREVENTION - SCAN QRCODE TO KNOW DAILY AVALANCHE DANGER LEVEL!

IL CAPO DEL CENTRO NAZIONALE METEOMONT
(Ten. Col. RFI Emanuela Gini)
FIRMA AUTOGRAFA OMESSA AI SENSI
DELL'ART.3 DEL D.LGS N.39/1993

According to EAWS standards Meteomont bulletin is a synoptic-scale system (regional scale). It shall be the user's responsibility to correlate the danger level evaluation of the bulletin with a detailed and expertise analysis of the zonal hazards (single slope), that could be markedly different. Meteorological forecast are issued at UTC (for Italy: in winter time UTC+1: in summer time UTC+2).

Bulletin is subjected to check processes through: the record of Observers and Avalanches and snow Experts data in C-Sifa; the validation by forecasters; the certification by Meteomont Section.