BUTLLETÍ DEL PERILL D'ALLAUS DEL PRINCIPAT D'ANDORRA

Prepared on 20/04/2026 16:00
Next update 21/04/2026 at 16 am

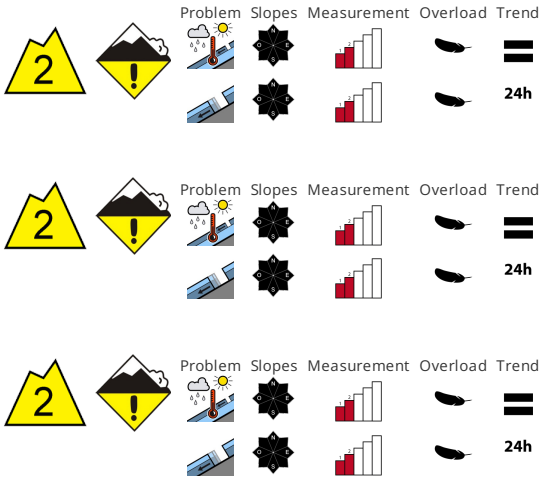

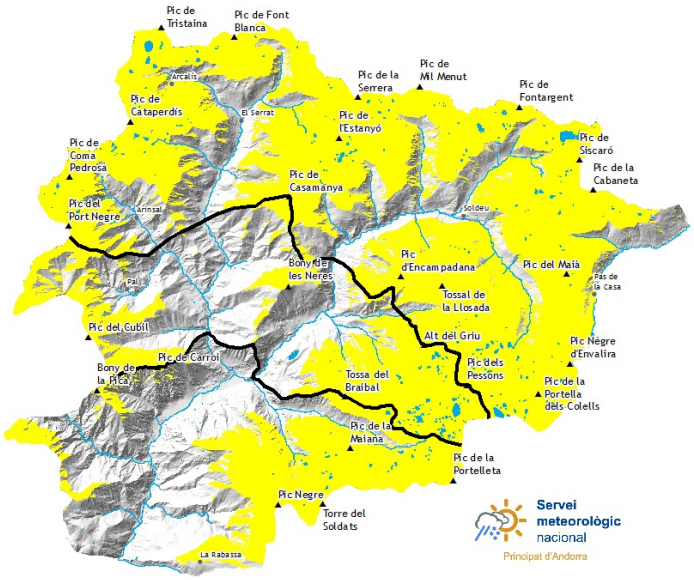

SNOW QUALITY

In the early morning the weather will be mostly sunny. Up to high altitudes rain will fall from midday. As a consequence of the rain medium-sized and, in isolated cases, large moist and wet avalanches are possible. Gliding avalanches are also to be expected.

STABILITY OF THE SNOW MANTLE

Outgoing longwave radiation during the night will be reduced. The weather conditions in the early morning will give rise to increasing moistening of the snowpack. The rain will give rise from midday to a loss of strength within the snowpack in some cases. Areas with glide cracks are to be avoided. Backcountry tours should be started and concluded early.

OFF-PISTE SNOW COVER THICKNESSES

North zone		Snow thickness		
Snowpack		1500m	2000m	2500m
N	1800 m	0 cm	150 cm	250 cm
S	2200 m	0 cm	0 cm	180 cm

Center area		Snow thickness		
Snowpack		1500m	2000m	2500m
N	1800 m	0 cm	120 cm	160 cm
S	2200 m	0 cm	0 cm	120 cm

South zone		Snow thickness		
Snowpack		1500m	2000m	2500m
N	1800 m	0 cm	120 cm	160 cm
S	2200 m	0 cm	0 cm	120 cm

Govern d'Andorra

Aquest butlletí ha estat elaborat seguint les normes i recomanacions de l'**European Avalanche Warning Services**, del qual el **Servei meteorològic Nacional** n'és membre

Detailed information for protected areas

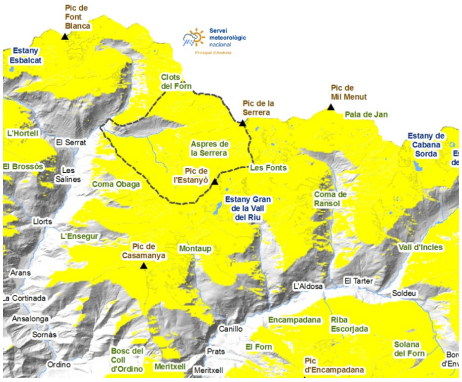

SORTENY

The weak frost of the last nights and the rains of the afternoons have left a more precarious snow cover than in previous days. The ice is not as good or effective, so driving through the snow that has not been compacted throughout the season is more difficult.

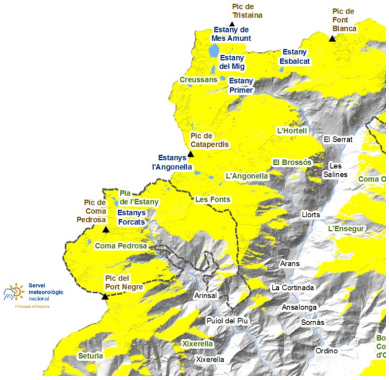

COMAPEDROSA

The snow is wetter than in previous days. Pay attention to the ice bridges above the torrents, as they will be weakened by the increase in temperatures and the increase in the flow of the rivers.

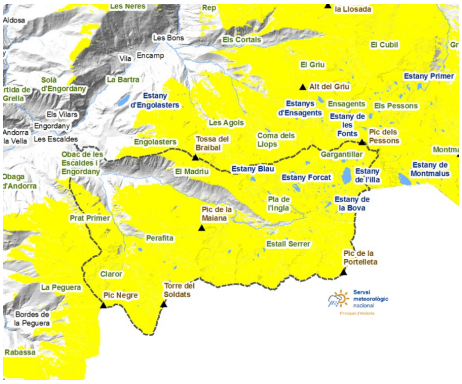

MADRIU-PERAFITA-CLAROR

The penetration of moisture will favor a cycle of natural avalanches of wet snow and basal slides. From the Estall Serrer downstream, there is no continuous snow left.

BUTLLETÍ DEL PERILL D'ALLAUS DEL PRINCIPAT D'ANDORRA

Servei meteorològic nacional
Principat d'Andorra

Thick snow in recent days (last 24 hours measured at 06:00 UTC)

	16/04/2026	17/04/2026	18/04/2026	19/04/2026
FEDA (Central)	0 cm	0 cm	0 cm	0 cm
Engolasters - FEDA	0 cm	0 cm	0 cm	0 cm
Bony de les Neres	0 cm	0 cm	0 cm	0 cm
Sorteny	0 cm	0 cm	0 cm	0 cm
Les Fonts d'Arinsal	0 cm	0 cm	0 cm	0 cm
Aixàs	0 cm	0 cm	0 cm	0 cm
Perafita	0 cm	0 cm	0 cm	0 cm
Tossa Espiolets	0 cm	0 cm	0 cm	0 cm
Grau Roig - FEDA	0 cm	0 cm	0 cm	0 cm
Fontverd	0 cm	0 cm	0 cm	0 cm
Coll Ordino	0 cm	0 cm	0 cm	0 cm
Ransol - FEDA	0 cm	0 cm	0 cm	0 cm
Setúria	0 cm	0 cm	0 cm	0 cm
Caborreu	0 cm	0 cm	0 cm	0 cm
La Solana	0 cm	0 cm	0 cm	0 cm
Coll Pa	0 cm	0 cm	0 cm	0 cm
Envalira Antenes	0 cm	0 cm	0 cm	0 cm
Vall del Riu FEDA	0 cm	0 cm	0 cm	0 cm