Wednesday 22.04.2026

Published 21 04 2026, 17:00

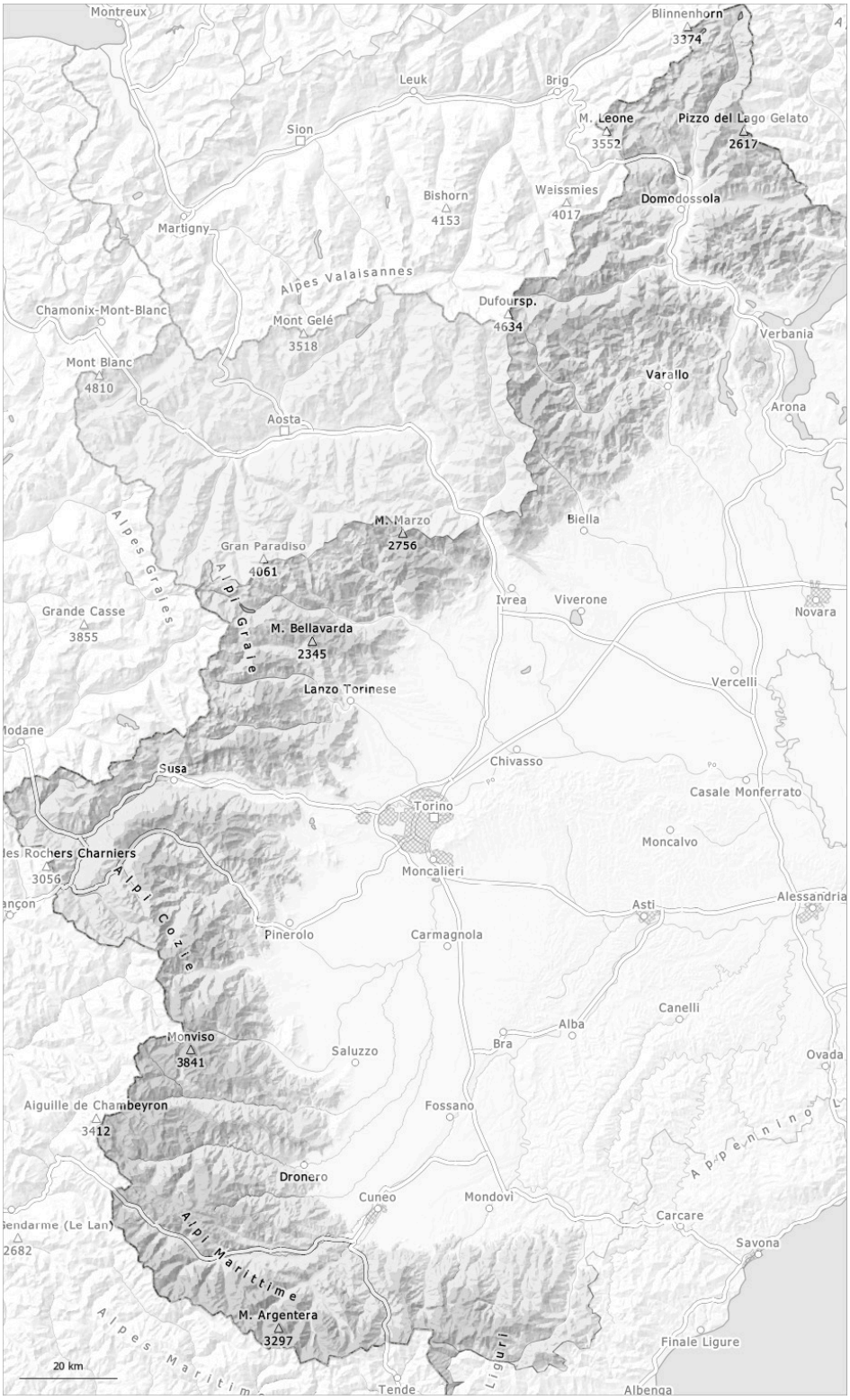

1	2	3	4	5
low	moderate	considerable	high	very high

Danger Level 2 - Moderate

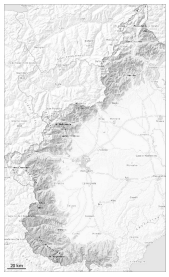

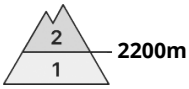

Tendency: Increasing avalanche danger
on Thursday 23 04 2026

New snow

The new snow and wind slabs represent the main danger.

Above approximately 1600 m snow will fall until midday over a wide area. 20 to 30 cm of snow will fall above approximately 2200 m.
Until the afternoon the weather will be partly cloudy.
Small and medium-sized avalanches are possible as a consequence of the new snow. The new snow must be evaluated with care and prudence in all aspects and generally at intermediate and high altitudes.

Snowpack

Danger patterns dp.6: cold, loose snow and wind

Towards its surface, the snowpack is weak. The new snow is bonding only slowly with the old snowpack in all aspects.

Below approximately 2400 m only a little snow is lying on south facing slopes.

Tendency

Significant warming.
On steep slopes numerous small and medium-sized gliding avalanches and moist snow slides are possible as the moisture increases.

Danger Level 1 - Low

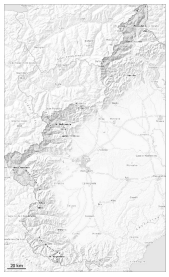

1

Tendency: Constant avalanche danger
on Thursday 23 04 2026

In these regions the avalanche situation is mostly favourable.

Little snow will fall until late morning. Until the afternoon the weather will be cloudy.
Currently there are favourable conditions mostly. In these regions the avalanche prone locations are rare and the danger is level 1 (low).

Snowpack

Danger patterns dp.10: springtime scenario

Below approximately 2800 m: The snowpack is fairly homogeneous and its surface has a melt-freeze crust. Above approximately 3000 m, shady slopes: The snowpack is dry and its surface consists of loosely bonded snow lying on a crust that is strong in many cases.

As a consequence of mild temperatures and solar radiation the snowpack consolidated at the weekend. This applies in particular on steep sunny slopes at high altitude, and in all aspects at low and intermediate altitudes.

Below approximately 2400 m only a little snow is lying on south facing slopes.