aineva.it

# Thursday 23.04.2026

Published 22 04 2026, 17:00

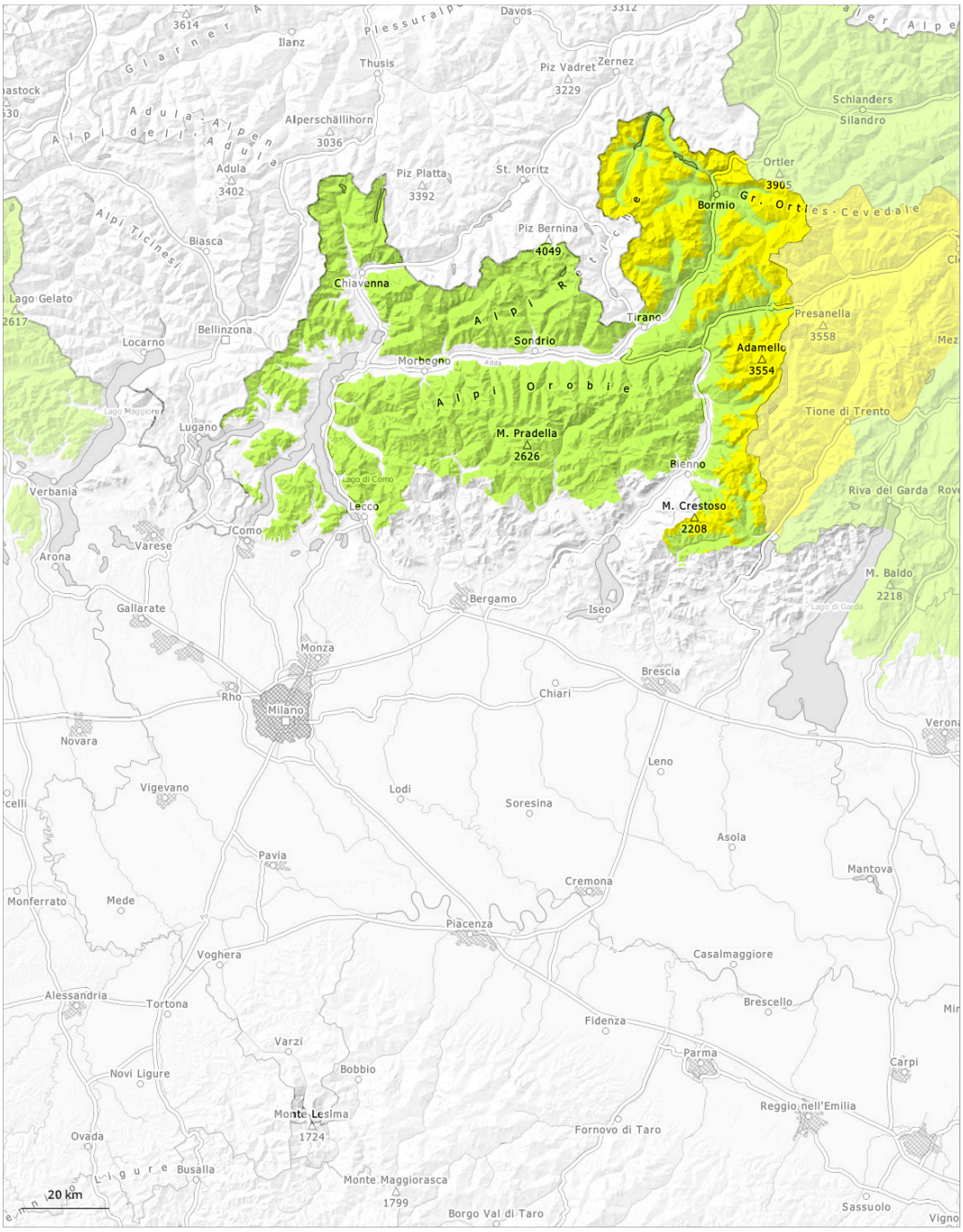


| 1 | 2 | 3 | 4 | 5 |
|---|---|---|---|---|
| low | moderate | considerable | high | very high |

## Danger Level 2 - Moderate

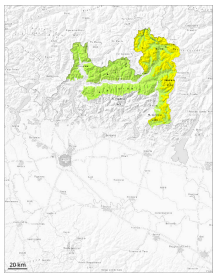

2800m

**Tendency: Constant avalanche danger**
on Friday 24 04 2026

Persistent weak layer

2800m

Wet snow

2800m

The surface of the snowpack has frozen to form a strong crust only at high altitudes and will soften during the day. Faceted weak layers exist in the bottom section of the snowpack on steep shady slopes.

The avalanche prone locations for dry avalanches are to be found on steep shady slopes above approximately 2800 m.
As a consequence of warming during the day and the solar radiation, the likelihood of wet avalanches being released will increase in particular on steep shady slopes below approximately 2800 m.
Medium-sized avalanches are possible.

### Snowpack

**Danger patterns** dp.1: deep persistent weak layer | dp.10: springtime scenario

The surface of the snowpack will soften during the day.
Steep shady slopes above approximately 2800 m: Faceted weak layers exist in the bottom section of the old snowpack.
Below approximately 2100 m from a snow sport perspective, in most cases insufficient snow is lying.

## Danger Level 1 - Low

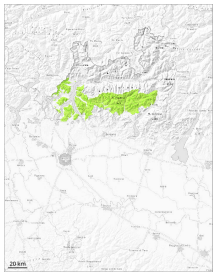

**Tendency: Constant avalanche danger**
on Friday 24 04 2026

Wet snow

**2000m**

The surface of the snowpack has frozen to form a strong crust only at high altitudes and will already soften in the late morning.

The surface of the snowpack will only just freeze and will soften during the day.
In isolated cases the avalanches are small.

### Snowpack

**Danger patterns** dp.10: springtime scenario

As a consequence of mild temperatures the snowpack consolidated. As a consequence of warming during the day there will be an increase in the danger of moist and wet avalanches.