MINISTERO DELLA DIFESA

meteomont Servizio Nazionale di previsione neve e valanghe

EAWS EUROPEAN AVALANCHE WARNING SERVICES

CARABINIERI

In collaborazione con: arpav

# DOLOMITI SETTENTRIONALI

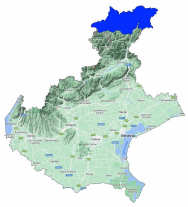

Avalanche Bulletin N. 413/2026 issued at 14:00 on 23/04/2026
48 hours validity. Next issue on 24/04/2026

**By the METEOMONT Service of the ARMA dei CARABINIERI ITALY**
**In collaboration with Air Force Meteorological Service**

## Situation on 23/04/2026

**DANGER PATTERNS: springtime situation.**

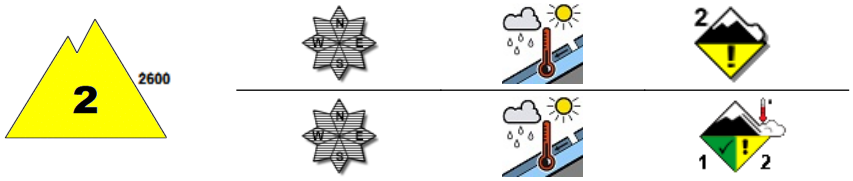


**DANGER PATTERNS: springtime situation.**

| Snow line (m.a.s.l.) | North | South |
|---|---|---|
| | 1900 - 2100 | 2200 |

| Snow depth (cm) | ground snow | new snow | Elevation (m.a.s.l.) |
|---|---|---|---|
| | 97 | 0 | 2592 |
| | 62 | 0 | 2172 |

**REGISTERED AVALANCHES: No avalanches detected.**

## FORECAST 24/04/2026

## Danger level: MODERATE 2

## DANGER PATTERNS: springtime situation.




## DANGER PATTERNS: springtime situation.

**SNOWPACK: Snowpack stability is moderate on some points (areas) above 2600 m.a.s.l. All Isolated slopes are critical. medium avalanches are possible.**
**Snowpack stability is moderate on some points (areas) below 2600 m.a.s.l. All Isolated slopes are critical. Medium avalanches are possible.**

## WARNING

Due to daytime rising temperatures,careful evaluation of the timing of outdoor activities, in order to avoid crossing steep slopes during the warmest hours of the day , is required.

## EUROPEAN AVALANCHE WARNING SERVICE

5 - VERY HIGH | 4 - HIGH | 3 - CONSIDERABLE | 2 - MODERATE | 1 - LOW | NO SNOW | NO INFO

## AVALANCHE PROBLEMS

NEW SNOW | WIND - DRIFTED SNOW | PERSISTENT WEAK LAYERS | WET SNOW | GLIDING SNOW | SNOW CORNICES | NO EVIDENT AVALANCHE PROBLEM. | NO INFO

According to EAWS standards Meteomont bulletin is a synoptic-scale system (regional scale). It shall be the user's responsibility to correlate the danger level evaluation of the bulletin with a detailed and expertise analysis of the zonal hazards (single slope), that could be markedly different. Meteorological forecast are issued at UTC (for Italy: in winter time UTC+1: in summer time UTC+2).

Bulletin is subjected to check processes through: the record of Observers and Avalanches and snow Experts data in C-Sifa; the validation by forecasters; the certification by Meteomont Section.

MINISTERO DELLA DIFESA

meteomont
Servizio Nazionale di previsione neve e valanghe

EAWS EUROPEAN AVALANCHE WARNING SERVICES

CARABINIERI

In collaborazione con: arpav

# DOLOMITI SETTENTRIONALI

## WEATHER FORECAST FOR

| Elevation | | 24/04/2026 h6:00 | 24/04/2026 h12:00 | 24/04/2026 h18:00 |
|---|---|---|---|---|
| 1000 | Wind | 02 Knots from North | 02 Knots from West | 02 Knots from North |
| | Temperatures | +03 °C | +13 °C | +08 °C |
| | Wind chill | 3 °C | 13 °C | 8 °C |
| 2000 | Wind | 04 Knots from North | 03 Knots from N-West | 03 Knots from North |
| | Temperatures | +04 °C | +10 °C | +08 °C |
| | Wind chill | 2 °C | 10 °C | 7 °C |
| 3000 | Wind | 05 Knots from North | 05 Knots from North | 05 Knots from N-West |
| | Temperatures | +00 °C | +01 °C | +02 °C |
| | Wind chill | -3 °C | -2 °C | -1 °C |
| Freezing level | | 2900-3100 m. | 3000-3200 m. | 3200-3400 m. |
| Atmospheric phenomenon | | — | — | — |
| Keys to sky condition | | | | |

## KEYS TO ATMOSPHERIC PHENOMENON

— Absence of adverse weather phenomena
Fog
Mist
Light rain
Moderate rain
Heavy rain
Thunderstorm
Weak snowfall
Moderate snowfall
Heavy snowfall

## KEYS TO SKY CONDITION

Clear
Partly cloudy
Cloudy
Mostly cloudy
Overcast

## Weather and snow data recorded during field and out of field obsevations on 23/04/2026.

| Observation field | District | Elevation (m.a.s.l.) | Snow depth (cm) | Snowfall in previous 24 hours (cm) | Temp. Min (°C) | Temp. Max (°C) | General weather conditions |
|---|---|---|---|---|---|---|---|
| MISURINA | Auronzo di Cadore (BL) | 1759 | 0 | 0 | -5 | +15 | Absence of rain or other precipitation |
| MONTE FALORIA * | Cortina d'Ampezzo (BL) | 2173 | 32 | 0 | +0 | +14 | Absence of rain or other precipitation |
| CIMA FANTON * | Calalzo di Cadore (BL) | 3100 | 140 | 0 | N.P. | N.P. | Absence of rain or other precipitation |

(*) Out of field survey

**INFORMATION MEANS PREVENTION - SCAN QRCODE TO KNOW DAILY AVALANCHE DANGER LEVEL!**

IL CAPO DEL CENTRO NAZIONALE METEOMONT
(Ten. Col. RFI Emanuela Gini)
FIRMA AUTOGRAFA OMESSA AI SENSI
DELL'ART.3 DEL D.LGS N.39/1993

According to EAWS standards Meteomont bulletin is a synoptic-scale system (regional scale). It shall be the user's responsibility to correlate the danger level evaluation of the bulletin with a detailed and expertise analysis of the zonal hazards (single slope), that could be markedly different. Meteorological forecast are issued at UTC (for Italy: in winter time UTC+1: in summer time UTC+2).

Bulletin is subjected to check processes through: the record of Observers and Avalanches and snow Experts data in C-Sifa; the validation by forecasters; the certification by Meteomont Section.