BUTLLETÍ DEL PERILL D'ALLAUS DEL PRINCIPAT D'ANDORRA

Prepared on 28/04/2026 16:00
Next update 29/04/2026 at 16 am

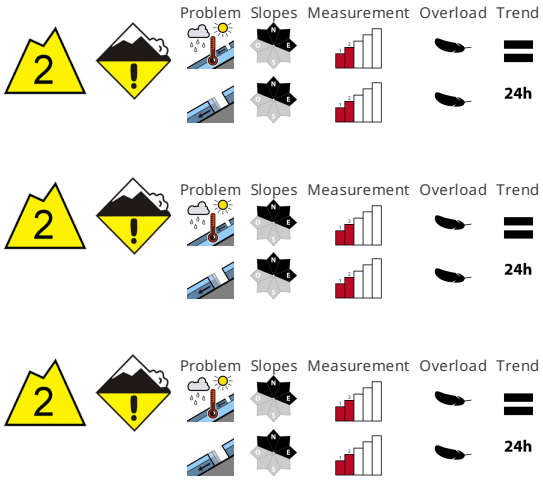

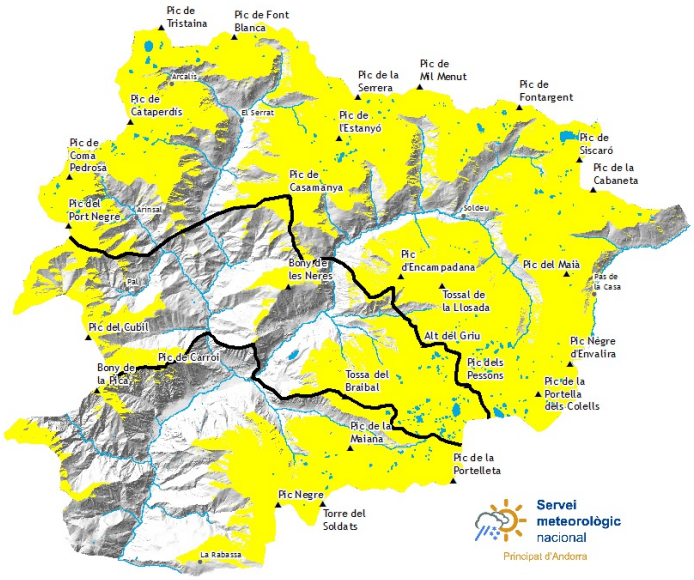

SNOW QUALITY

The conditions are spring-like. As the penetration by moisture increases more medium-sized moist and wet avalanches are possible. Caution is to be exercised in areas with glide cracks. Gliding avalanches can also occur at any time. Caution is to be exercised in particular in case of releases originating from starting zones that still retain some snow. As the day progresses in all aspects there will be a significant increase in the danger of wet and gliding avalanches within the current danger level. The avalanche danger will persist. Natural avalanches and field observations confirm the existence of a weak snowack.

STABILITY OF THE SNOW MANTLE

The snowpack will be moist. Outgoing longwave radiation during the night will be severely restricted. Sunshine and high temperatures will give rise as the day progresses to increasing moistening of the snowpack. Areas with glide cracks are to be avoided. Backcountry tours should be started and concluded very early.

OFF-PISTE SNOW COVER THICKNESSES

North zone		Snow thickness		
Snowpack		1500m	2000m	2500m
N	1800 m	0 cm	100 cm	200 cm
S	2200 m	0 cm	0 cm	150 cm

Center area		Snow thickness		
Snowpack		1500m	2000m	2500m
N	1800 m	0 cm	90 cm	130 cm
S	2200 m	0 cm	0 cm	100 cm

South zone		Snow thickness		
Snowpack		1500m	2000m	2500m
N	1800 m	0 cm	90 cm	130 cm
S	2200 m	0 cm	0 cm	90 cm

Govern d'Andorra

EAWS EUROPEAN AVALANCHE WARNING SERVICES

Aquest butlletí ha estat elaborat seguint les normes i recomanacions de l'**European Avalanche Warning Services**, del qual el **Servei meteorològic Nacional** n'és membre

Detailed information for protected areas

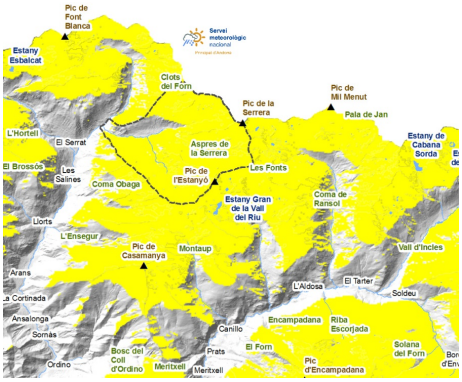

SORTENY

The snow cover is becoming more and more precarious. The night frost is not good or effective, therefore the circulation in the snow that has not been compacted throughout the season is more difficult.

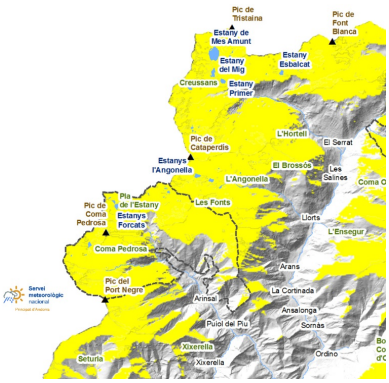

COMAPEDROSA

The snow is wetter than last week. Attention to the ice bridges above the torrents, as they will be weakened by the increase in river flow and the weakening of the snow cover.

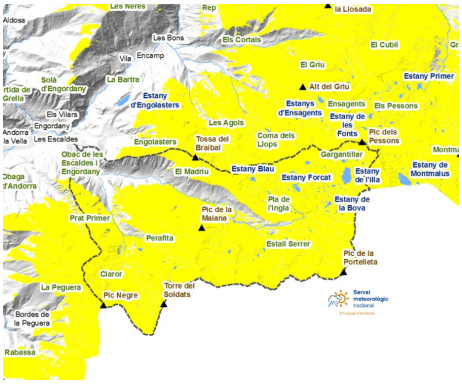

MADRIU-PERAFITA-CLAROR

The moisture is reaching the deepest layers of the mantle favoring a cycle of natural wet snow avalanches and basal slides. From the Estall Serrer downstream, there is no continuous snow left.

BUTLLETÍ DEL PERILL D'ALLAUS DEL PRINCIPAT D'ANDORRA

Servei meteorològic nacional
Principat d'Andorra

Thick snow in recent days (last 24 hours measured at 06:00 UTC)

	24/04/2026	25/04/2026	26/04/2026	27/04/2026
FEDA (Central)	0 cm	0 cm	0 cm	0 cm
Aixàs	0 cm	0 cm	0 cm	0 cm
Engolasters - FEDA	0 cm	0 cm	0 cm	0 cm
Ransol - FEDA	0 cm	0 cm	0 cm	0 cm
Fontverd	0 cm	0 cm	0 cm	0 cm
Setúria	0 cm	0 cm	0 cm	3 cm
Coll Ordino	0 cm	0 cm	0 cm	0 cm
Bony de les Neres	0 cm	0 cm	0 cm	0 cm
Grau Roig - FEDA	0 cm	0 cm	0 cm	0 cm
Caborreu	0 cm	0 cm	0 cm	0 cm
Sorteny	0 cm	0 cm	0 cm	0 cm
Coll Pa	0 cm	0 cm	0 cm	0 cm
Perafita	0 cm	0 cm	0 cm	0 cm
Tossa Espiolets	0 cm	0 cm	0 cm	0 cm
La Solana	0 cm	0 cm	0 cm	0 cm
Vall del Riu FEDA	0 cm	0 cm	0 cm	0 cm
Envalira Antenes	0 cm	0 cm	0 cm	0 cm
Les Fonts d'Arinsal	0 cm	0 cm	0 cm	0 cm