aineva.it

Thursday 30.04.2026

Published 29 04 2026, 17:00

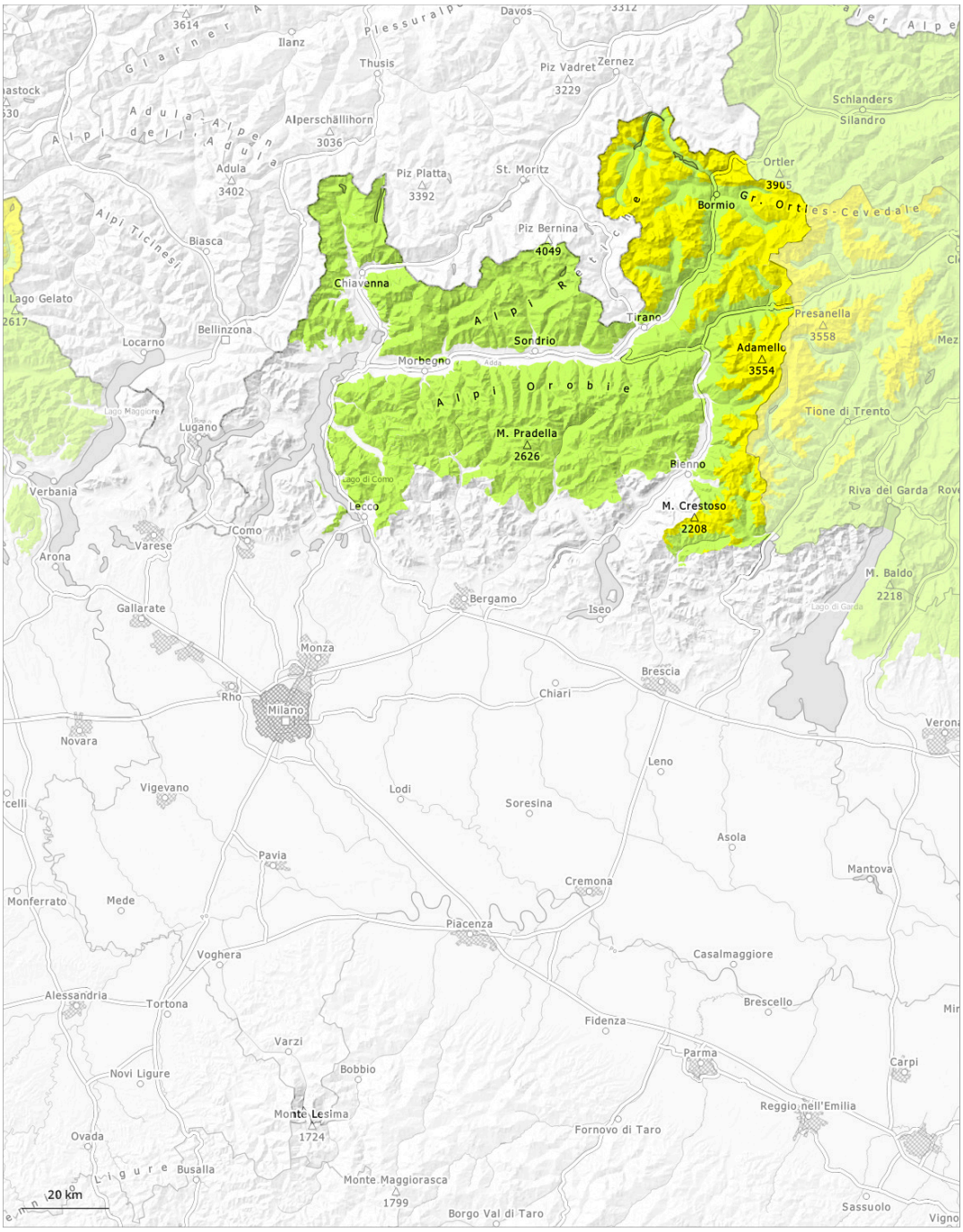

1	2	3	4	5
low	moderate	considerable	high	very high

Danger Level 2 - Moderate

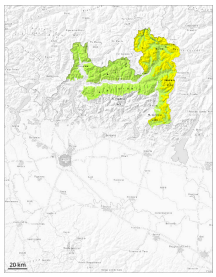

2800m

Tendency: Constant avalanche danger
on Friday 01 05 2026

Persistent weak layer

2800m

Wet snow

2500m

In some localities 5 to 15 cm of snow has fallen above approximately 2600 m. The surface of the snowpack has frozen to form a strong crust only at high altitudes and will soften during the day. Isolated avalanche prone weak layers exist in the bottom section of the snowpack on shady slopes.

The avalanche prone locations for dry avalanches are to be found on steep shady slopes above approximately 2700 m.
As a consequence of warming during the day and the solar radiation, the likelihood of wet avalanches being released will increase in particular on steep shady slopes below approximately 2700 m.
Medium-sized avalanches are possible.

Snowpack

Danger patterns dp.1: deep persistent weak layer | dp.10: springtime scenario

The surface of the snowpack will soften during the day.
Steep shady slopes above approximately 2800 m: Isolated avalanche prone weak layers exist in the bottom section of the old snowpack.
Below approximately 2200 m from a snow sport perspective, in most cases insufficient snow is lying.

Danger Level 1 - Low

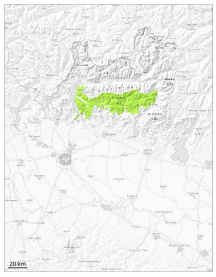

Tendency: Constant avalanche danger
on Friday 01 05 2026

Wet snow

2200m

The surface of the snowpack will freeze to form a strong crust only at high altitudes and will already soften in the late morning.

The surface of the snowpack will only just freeze and will soften during the day.
In isolated cases the avalanches are small.

Snowpack

Danger patterns dp.10: springtime scenario

As a consequence of mild temperatures the snowpack consolidated. As a consequence of warming during the day there will be an increase in the danger of moist and wet avalanches.